NATIONAL ROADS SITUATIONAL ANALYSIS REPORT

Uganda National Roads Authority

Network Planning Department

November 2020

PLOT 3-5, NEW PORTBELL RD, NAKAWA UAP BUSINESS PARK.
P.O BOX 28487 KAMPALA, UGANDA

Contents

1. Introduction **1**

2. The UNRA Road Network **1**

3. Traffic Information **4**

3.1 Traffic per road type 5

4. Paved Roads Network Condition **8**

4.1 Background to the VCI 8

4.2 Visual Assessment and Distress Graphs for Paved Road network 9

4.3 Condition trend for paved roads 12

5. Unpaved Road Network Condition **13**

5.1 Background to Unpaved VCI 13

5.2 Visual assessment of Unpaved Road network 14

5.3 Average VCI for Unpaved roads 16

5.4 Condition distribution graphs for the VCI of Unpaved roads 17

5.5 Condition trends for unpaved roads 18

6. Conclusion **19**

Appendix 1: Pictures of roads on the UNRA network **20**

Appendix 2: International Roughness Index for Paved roads **21**

Appendix 3: Traffic Summary Spreadsheet **22**

Appendix 4: Visual Condition Summary Unpaved roads **23**

Executive Summary

The director rate of Network planning and Engineering is mandate to; Collect and update road network and bridge asset data, Maintenance of Road, and Bridge data bank and Road Management Systems; Formulate short and long term bridge and road investment plans; Collect road condition and traffic data to support development and maintenance programming of the network among other duties. The Network planning department executes these particular duties.

In that regard, annual data collection studies of inventory and condition assessment were undertaken. The principle objective of this study was to prepare a situational assessment report that reports about the condition and usage of the road network for the FY 2019/20.

A total of 2817km of paved roads and 12,823km of unpaved roads were assessed. Accordingly, the average condition of the paved roads based on Roughness measurements was classified as “good” and unpaved roads based on the visual condition ratings as “fair”. Average IRI was found to be 3.16m/km with 450km found to be in the poor zone. These shall require immediate intervention.
The percentage of unpaved roads in poor and very poor category has remained at 23% like in the previous assessment of 2018.

The traffic data of the UNRA network is high with 28% of the paved roads carrying more than 5,000 vehicles per day, 11% carrying over 10,000 vehicle per day and 72% of the unpaved roads carrying more than 500 vehicles per day. When the AADT is disaggregated, it is clear that most dominant vehicle class travelling on the road network is motorcycles or scooters (boda-boda).

1. Introduction

This document provides results of the situational analysis, which is an integral part of the Uganda National Roads Authority (UNRA), planning cycle. It provides an understanding of the composition of UNRA's road network, traffic information as well as the current condition. A precise understanding of the current condition of a network is the first major step in infrastructure planning. Therefore, the findings herein are usually inputs in the needs analysis whose outputs are; preventive maintenance, rehabilitation and upgrading needs of UNRA road network, also referred to as an Investment Plan or National Road Investment Plan (NRIP).

The purpose of this analysis was to report on the assets and further prepare inputs into the needs analysis for the road network. Due to the access restrictions to office at the critical stage of the study, it was not possible to do the analysis for this report using the dTIMS software customised with the World Bank's Highway Development and Management (HDM-4) pavement performance and prediction algorithms. Therefore, the analysis for this FY 2019/20 was done outside the system using programmable spreadsheets.

2. The UNRA Road Network

Summary:

- *UNRA has 21,010 km of road under its jurisdiction.*
- *26% (5,398 km) is paved, and 74% (15,612 km) unpaved.*
- *2,817 km (52%) of paved roads was analysed in this report.*
- *12,823 km (82%) unpaved roads was analysed.*

Network Classification and Length

The total length of the national road network is 21,010 km. Of these 5,398 km are paved roads and 15,612 km are unpaved roads. Furthermore, according to functional classification, 12.3% of this network is Class A, 13.5% Class B, 73.7% is Class C and 0.4% is Class M as indicated below.

Functional Classification	Bituminous, km	Unsealed, km	Total, km	% Total	Description
A	2594	0	2594	12.3%	International Trunk Roads
B	1395	1447	2842	13.5%	National Trunk Roads
C	1323	14165	15489	73.7%	Primary Roads
M	85	0	85	0.4%	Expressways
Total	5398	15612	21010		

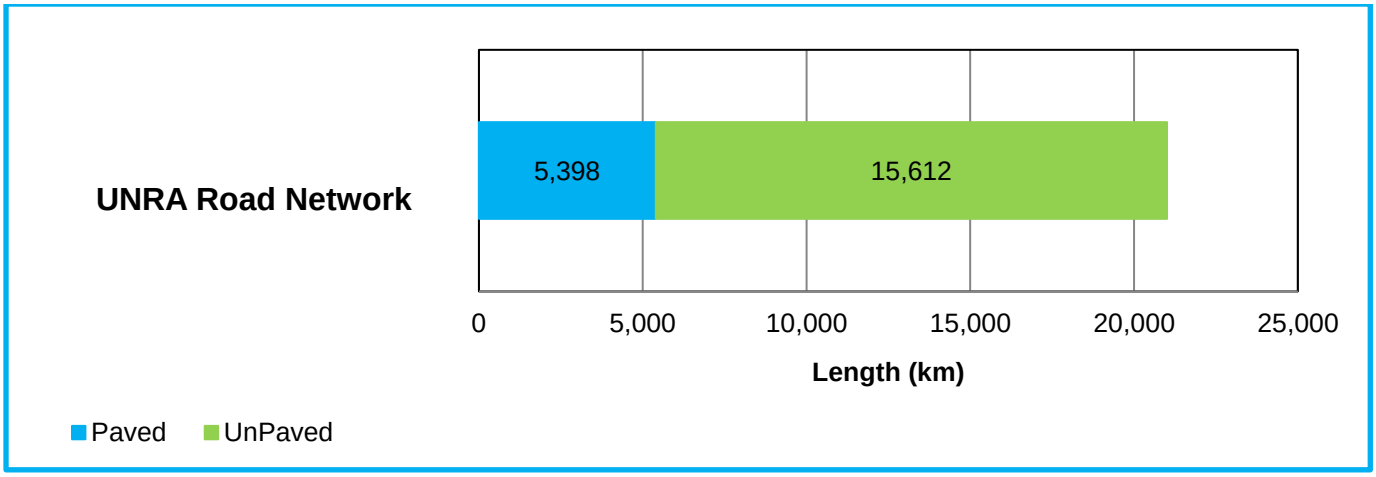

Figure 3.1: Split between Paved (26%) and Unpaved (74%) Road lengths of UNRA Network (2020)

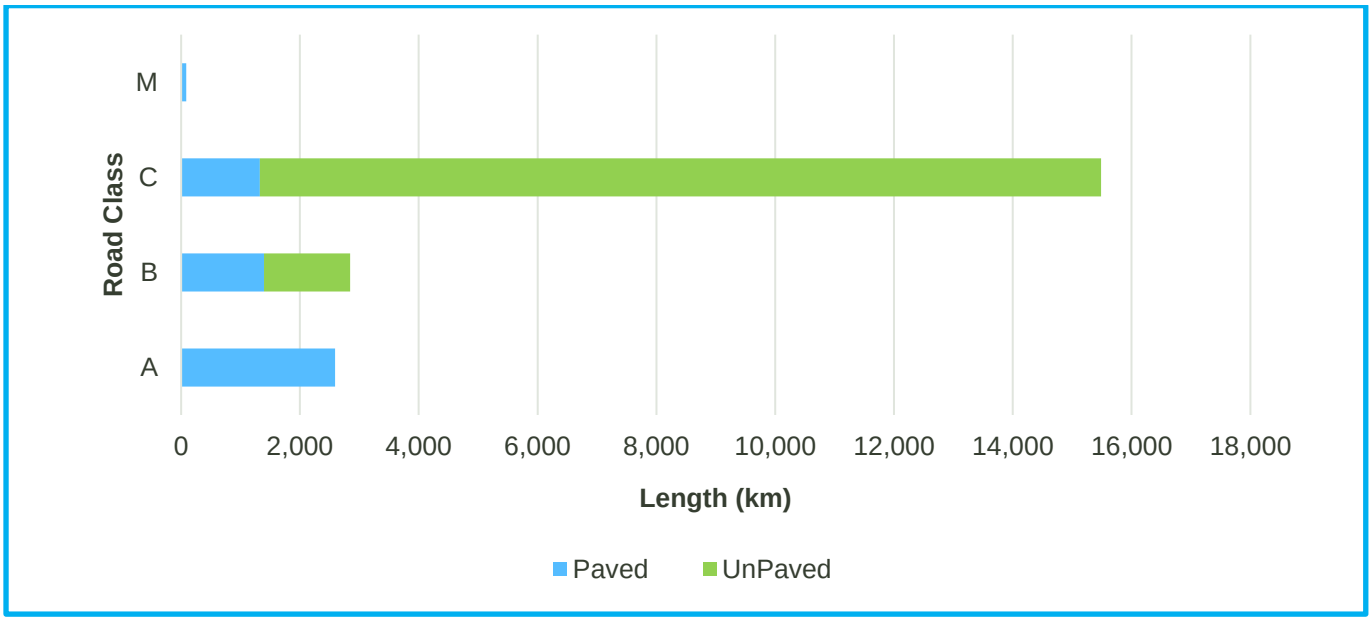

Figure 3.2: Functional Classification of UNRA Road Network.

The national network has increased from 20856km to 21010km in total lane length. This was discovered following the verification in the stations of Moroto, Kotido, Kitgum, Moyo and Luwero in 2019, as well as the continuous feedback from stations. There were also short access links that were not in the database. As well as roads that were not fully motorable at the time the network was being mapped but have now been connected. The table below shows the changes;

Road Name	Length	Type	Station	Comment	Change in length
Kikondo-Kikandwa-Nvuye	7.4	Unsealed	Luwero	New on network	7.4
Mate - Kabulamuliro-Kakinga	9.2	Unsealed	Luwero	Reduced length from 18.9km to 9.2	-9.7
Sungira Hill Access	1.6	Bituminous	Luwero	New on network	1.6
Ngoma - Kasozi - Kyamukonda	42	Unsealed	Luwero	Created Link to Kyamukonda	42
Nakitooma Access	2.4	Unsealed	Luwero	New on network	2.4
Kahunga - Nyakyera-Rukoni	31	Unsealed	Mbarara	Road name and length revised from 25.1 to 31km	5.9

Nyanga Swamp	0.7	Unsealed	Mbarara	New on network	0.7
Kityaza Bugango access	1	Unsealed	Mbarara	New on network	1
Bubandi - Kahuka -Malindi	11	Unsealed	Fort Portal	Edited length from 7 to 11km	4
Access to Muhooti Army Barracks	6	Unsealed	Fort Portal	Edited length from 4.4 to 6km	1.6
Kyehooro Link 3	6.7	Unsealed	Hoima	Adjusted legnth from 12.5km to 6.7	-5.8
Isimba-Ntoma	14	Unsealed	Masindi	Adjusted length from 6.5 to 14.	20.5
Kaliro railway access	3	Unsealed	Jinja	Added 2km to length	2
Koputh Junction-Orom	60	Unsealed	Kotido	Edited length from 12.8 to 60km	47.2
Koputh Junction - Lolelia	22	Unsealed	Kotido	Edited length from 7.7 to 22km	14.3
Lwampanga - Lwabyata	32.0	Unsealed	Luwero	Corrected	
Ngoma-Lugogo	7.5	Unsealed	Luwero	Deleted because of repetition	-7.5
Kakinga-Mate-Kabulamuliro	9.0	Unsealed	Luwero	Deleted because of repetition	-9.0
Ruerere - Biraara - Kanungu	24.7	Unsealed	Kabale	New on Network	24.7
Kituti-Buhuka	10.1	Bituminous	Hoima	New on Network	10.1
				Total change in length =	**153.4**

Note also that the bituminous surfacing reported now is as per substantial completion of roads. There was an error carried forward in the previous reporting where km of tarmac were added based on equivalent km in relation to progress reports. This has since been revised to report roads handed over as substantially complete.

Changes in Length (2008 – 2020)

Category/ Year	08/9	09/10	10/11	11/12	12/13	13/14	14/15	15/16	16/17	17/18	18/19	19/20
Paved (Km)	2916	3119	3264	3317	3490	3795	3919	4157	4257	4636	5015	5398
Unpaved (Km)	7137	7311	17120	17683	17510	16749	16625	16387	16287	15908	15841	15612
Total	10053	10430	20384	21000	21000	20544	20544	20544	20544	20544	20856	21010

The paved road network is now 26% of the total network.

Bridges and Structures

Bridges and structures were also verified and redefined. We categorized them into Bridges and Major Culverts as the two have different maintenance needs and life spans. We now have a total of 672No. Validation of this data has been on going and the numbers are likely to change due to construction of new bridges and upgrading of roads. Inventory of some of the roads under upgrade is not yet covered.

Bridges	**379No**
Major Culvert Structures	**293No**

The Bridge condition status report is attached.

Length Investigated

The total length of the national road network investigated in this analysis is based on the length of road with complete visual assessment information in 2019/2020. In total 15,640 km of road is investigated of which 2,817 km are paved roads and 12,823 km are unpaved roads. This is 74% of the total road network, being 52% of the paved roads and 82% of the unpaved road network.

Both unpaved and paved roads data collection was done using in-house capacity. Road condition surveys using the Mobicap tool were done for both unpaved and paved roads and IRI surveys using the ROMDAS system.

Reasons for incomplete data collected was due to the ongoing works on some of the roads at the time. A total of about 1600km of upgrading works and 600km of rehabilitations were on going. Data collection was also affected by the COVID 19 pandemic, as the team could not travel upcountry.

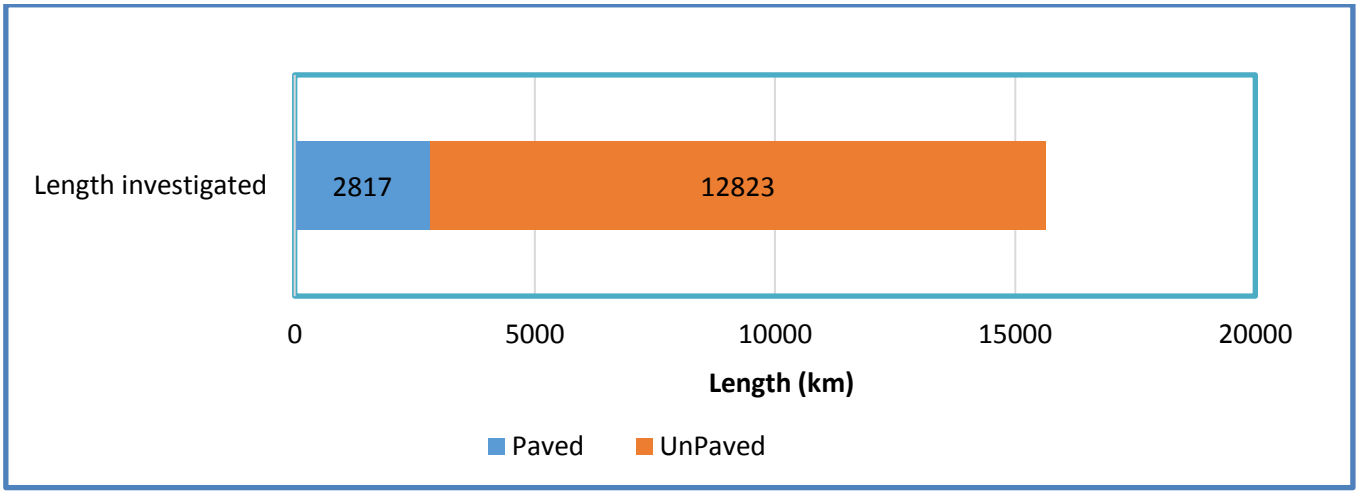

Figure 3.3: Paved and Unpaved road lengths investigated (km), 2020

3. Traffic Information

Summary:

Approximately, 15,633 million vehicle-kilometres are travelled annually on the UNRA road network.

Approximately 9,415 million vehicle-kilometres are travelled annually on paved roads and approximately 6,217 million vehicle-kilometres annually on unpaved roads.

Approximately 28% of the paved network carries more than 5,000 vehicles per day and 72% of unpaved roads carries more than 500 vehicles per day.

Traffic analysis was done using the traffic data collected by UNRA staff and Data Collection Consultants in the second and third quarter of 2018/2019 at 310 manual counting stations. This data was then projected to 2020 using traffic growth factors derived from analysis of data collected from

the Automatic Traffic Counters (ATCs). Traffic information is expressed as the Annual Average Daily Traffic (AADT), travelling on each road link of the road network. Furthermore, the product of the AADT on a road link and its length represents the daily vehicle-kilometres travelled on that link in one day. Summarised for the road network, they represent the total distance travelled by vehicles on the road network on a daily, or yearly basis. Approximately, 15,633 million vehicle-kilometres are travelled each year on the national road network. Approximately 9,415 million vehicle-kilometres are travelled annually on paved roads and approximately 6,217 million vehicle-kilometres annually on unpaved roads.

Figure 3-1 shows that although the investigated paved road network is 26% of the total road network investigated, it carries 60% of the network's traffic. A focus on the maintenance and rehabilitation of paved roads will therefore influence more road users per kilometre than unpaved roads.

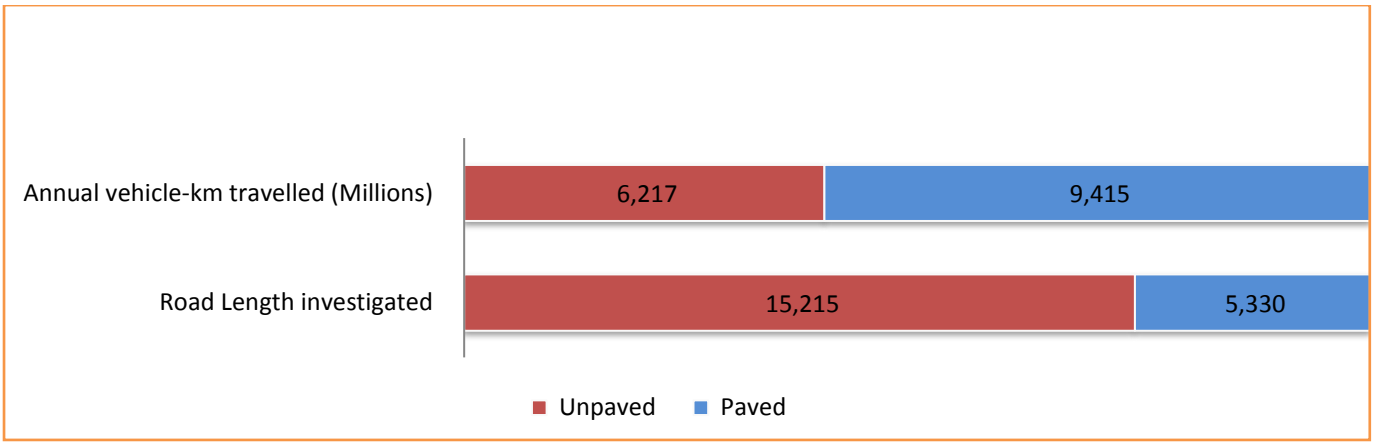

Figure 3-1: Network Length investigated Vs vehicle-kilometres travelled, 2020

3.1 Traffic per road type

The distribution of traffic volumes for paved and unpaved roads is given in Figure 3-2 and Figure 3-3 respectively. These figures show the portions of network carrying low to high categories of traffic. Approximately 72% of the paved network carries less than 5,000 vehicles per day while 17% carries 5,000 to 10,000 vehicles per day and the other 11% carries more than 10,000 vehicles per day. For unpaved roads, approximately 28% of the unpaved network carries less than 500 vehicles per day while 30% carries 500 to 1,000 vehicles per day, 40% carries 1,000 to 5,000 vehicles per day and the other 2% carries more than 5,000 vehicles per day.

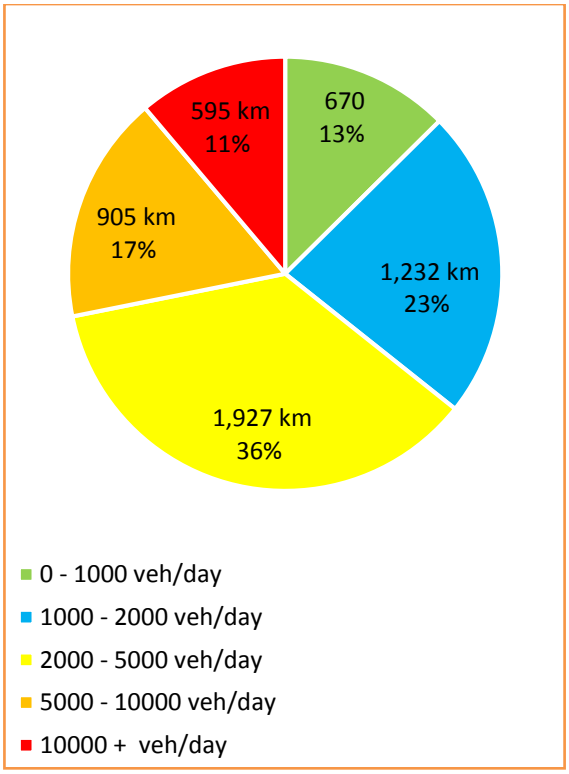

Figure 3-2: Traffic on paved roads, 2020

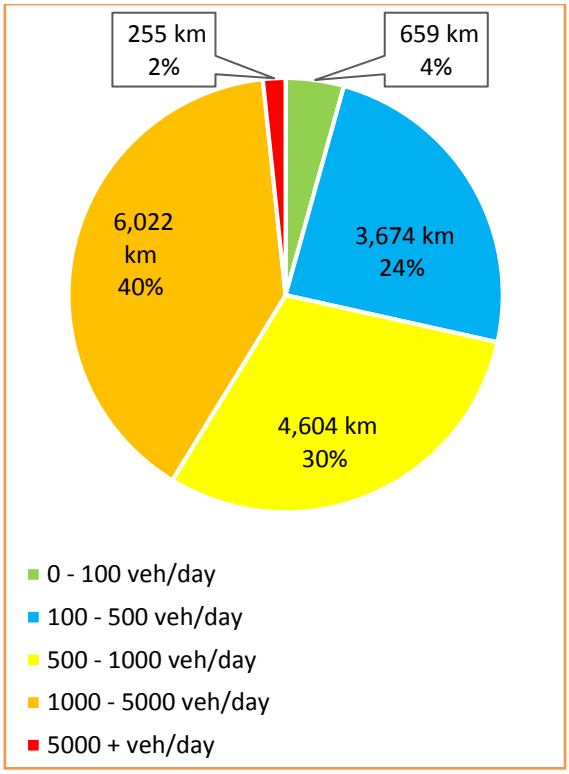

Figure 3-3: Traffic on unpaved roads, 2020

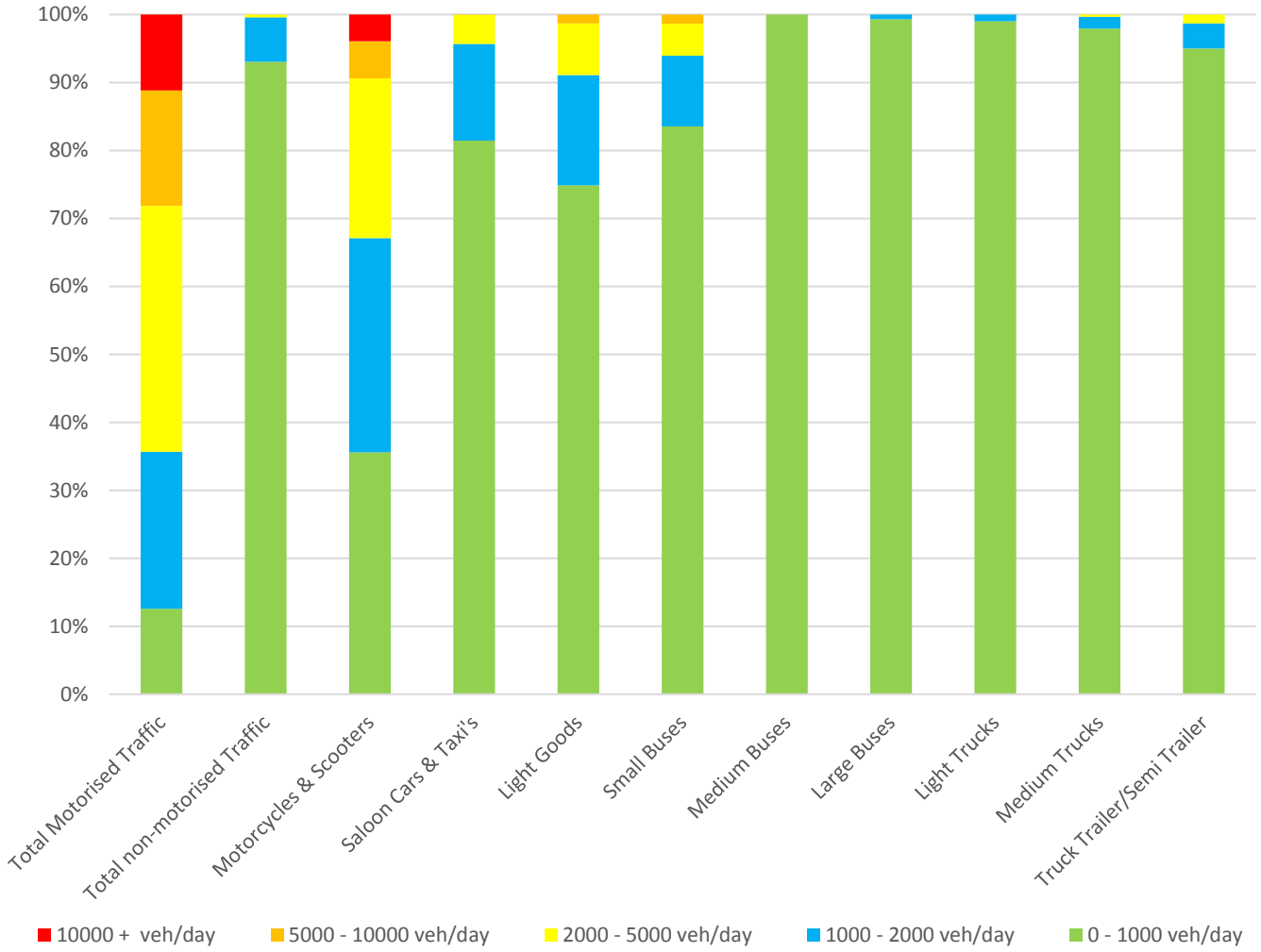

Figure 3-4: Traffic distribution on paved roads per Vehicle Type, 2020

This figure shows the vehicle classes carrying low to high categories of traffic on the paved road network.

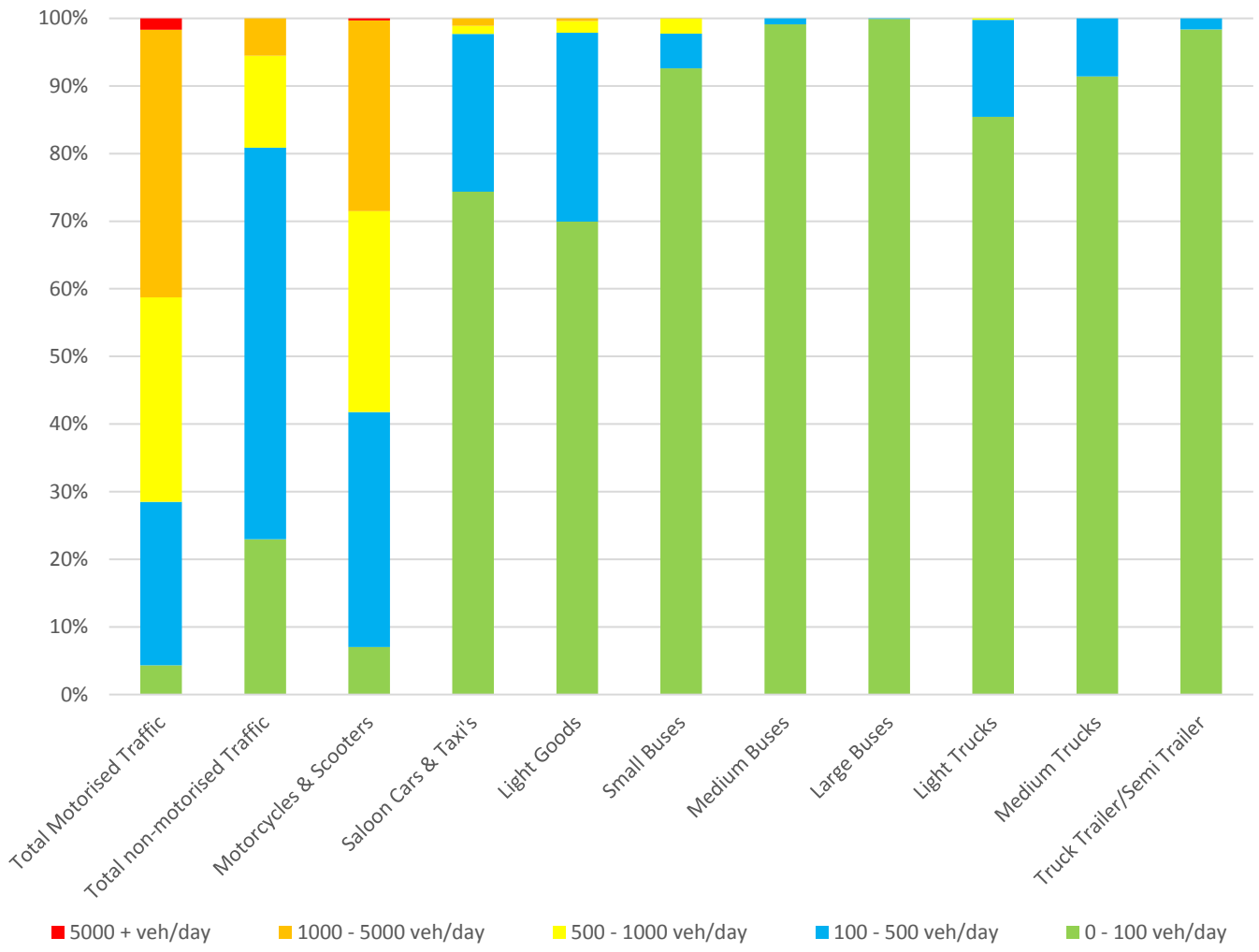

Figure 3-5: Traffic distribution on unpaved roads per Vehicle Type, 2020

This figure shows the vehicle classes carrying low to high categories of traffic on the Unpaved road network.

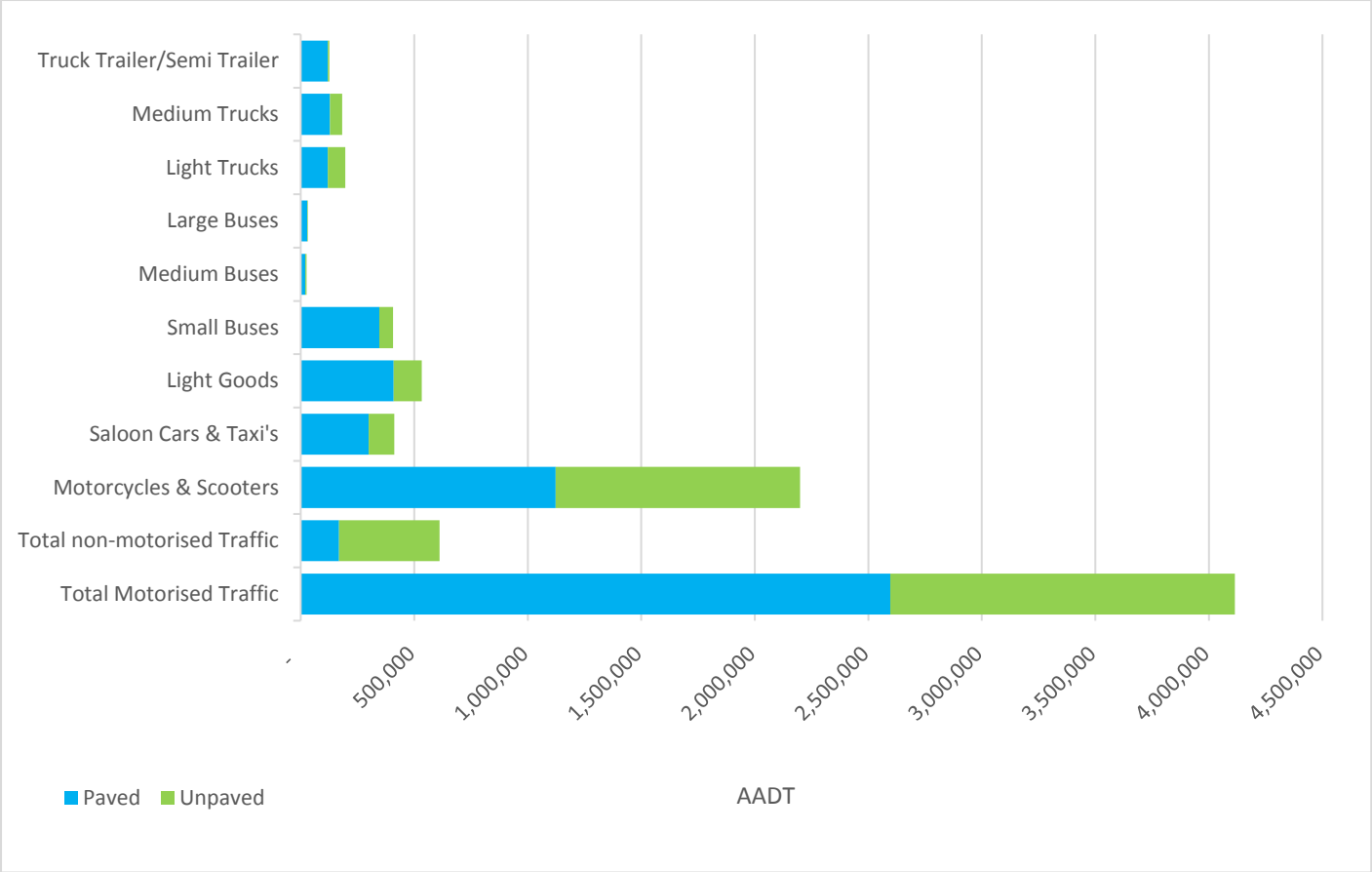

Figure 3-6: AADT Traffic distribution per Vehicle Type, 2020

Figure 3-4 indicates the AADT vehicle split on the paved and unpaved road network. It shows that the paved road network carries the highest traffic volumes. Generally, Motorcycles & Scooters (Boda Bodas) have the highest traffic volume on the entire network followed by Light Goods, Saloon Cars & Taxi's and Small Buses and Medium buses, Large Buses and Truck Trailers/Semi trailers have the least volumes.

4. Paved Roads Network Condition

Summary:

- *Moderate to severe 'All Cracking' is noted on 31% of the paved.*
- *31% of roads have severe to moderate ravelling (surface disintegration) and immediate maintenance is required on these roads.*
- *There is severe to warning roughness on 16% of the road network.*
- *28% of the road network exhibits rutting in moderate to severe state.*

4.1 Background to the VCI

The assessment data, expressing the carriageway condition through the assessment ratings of pavement defects are utilised to calculate a single Visual Condition Index (VCI). This VCI is

calculated for each paved road segment (typically of 1 km length) that was surveyed. VCI is a percentage index ranging between 0 and 100; 0 represents a road segment in very poor condition and 100 represents a road segment in very good condition. During this analysis the VCI is used as follows:

- An average network VCI is calculated representing the average condition of the paved road network or any sub-network (e.g. regional network). This average network VCI is weighted by length and is used to describe/investigate the average condition of the road network/sub-network.
- The VCI is furthermore used to categorise the condition of a paved road segment, the paved road network or sub-network into one of five condition categories. The condition categories adopted are:
  - Very Good = 86% to 100%
  - Good = 71% to 85%
  - Fair = 51% to 70%
  - Poor = 31% to 50%
  - Very Poor = 0% to 30%

4.2 Visual Assessment and Distress Graphs for Paved Road network

The condition of flexible pavements was assessed by visual inspection and by profile measurement equipment. UNRA staff executed paved visual assessments and paved roughness measurements in 2020. The Pavement Management System (PMS) of the UNRA RMS was updated with this data following basic data validation.

Figure 5-1 is a schematic representation of the distress items showing the total percentage of paved roads rated as 1 (very good or non-existent), 2 (slight, good or isolated occurrence), 3 (discernible, fair or moderate occurrence), 4 (warning, poor or general occurrence) and 5 (severe, very poor or extensive occurrence). These ratings can indirectly be related to the proportion of the paved road network with none, isolated, moderate, warning and severe problems.

According to international standards, a “healthy” road network has less than 10% poor and very poor roads. Attention should thus be given to the distresses and condition ratings exceeding this benchmark for warning and severe problems. According to the visual assessments and automated measurements the following conclusions can be made with regards to the paved roads of UNRA:

Cracking

- Moderate to severe ‘All Cracking’ is noted on 31% of the paved roads with another 32% exhibiting isolated cracking and 37% exhibiting no cracking. There are moderate to severe ratings for wide cracks on 27% of the paved road network with 30% exhibiting isolated wide cracking. Wide cracking is a particular concern

because these cracks indicate the disintegration of the structural layers in the wheel paths. Wide cracks also initiate the formation of rutting. Preventive measures should be considered as soon as possible to delay further deterioration with the development of secondary distresses.

Ravelling	▪ Ravelling is the loss of aggregate material from the road surfacing. In seals, this manifests through stone loss, in asphalts through disintegration of the surfacing. ▪ 9% of roads have severe to warning ravelling and immediate maintenance is required on these roads. Future maintenance of roads with moderate ravelling is crucial since it accounts for 22% of roads which could easily deteriorate to warning condition.
Potholes	▪ 5% of roads are in a moderate to severe condition due to the occurrence of potholes. Isolated potholes occur on a further 23% of the network.
Roughness (measured)	▪ From IRI surveys, 16% of the road network has severe to warning roughness. These roads typically require some form of rehabilitation. ▪ 32% of the road network is in a moderate condition regarding roughness. Although some of these roads might not require immediate attention it is crucial to monitor the condition continuously and apply the right treatment at the right time to delay further deterioration.
Rutting	▪ 28% of the road network exhibits rutting in moderate to severe state and 61% with isolated rutting.
Width Loss	▪ There is very minimal width loss (due to edge break) on the network whether shoulders exist or not with 98% of the network exhibiting no edge break.
Edge Drops	▪ There is also very minimal edge drop on the network with 98% of the network with no edge drop.
Bleeding	▪ 3% of the paved network exhibits bleeding in severe to warning states with 44% having isolated bleeding.
Shoulder condition	▪ The 2m width is available to the road user as emergency stopping area. There are isolated problems on 23% of the road network and 9% in moderate to severe condition.
Drainage on road	▪ This refers to surface drainage and ability of road to drain water from the surfacing. Generally not a problem with only 22% in moderate condition and 5% in severe condition.

Drainage off road	▪ Referring to condition of side drainage, mitre drains and cross drainage underneath the road. 5% of the paved road network in a warning to severe conditions, 73% in warning state and 21% with isolated drainage problems.

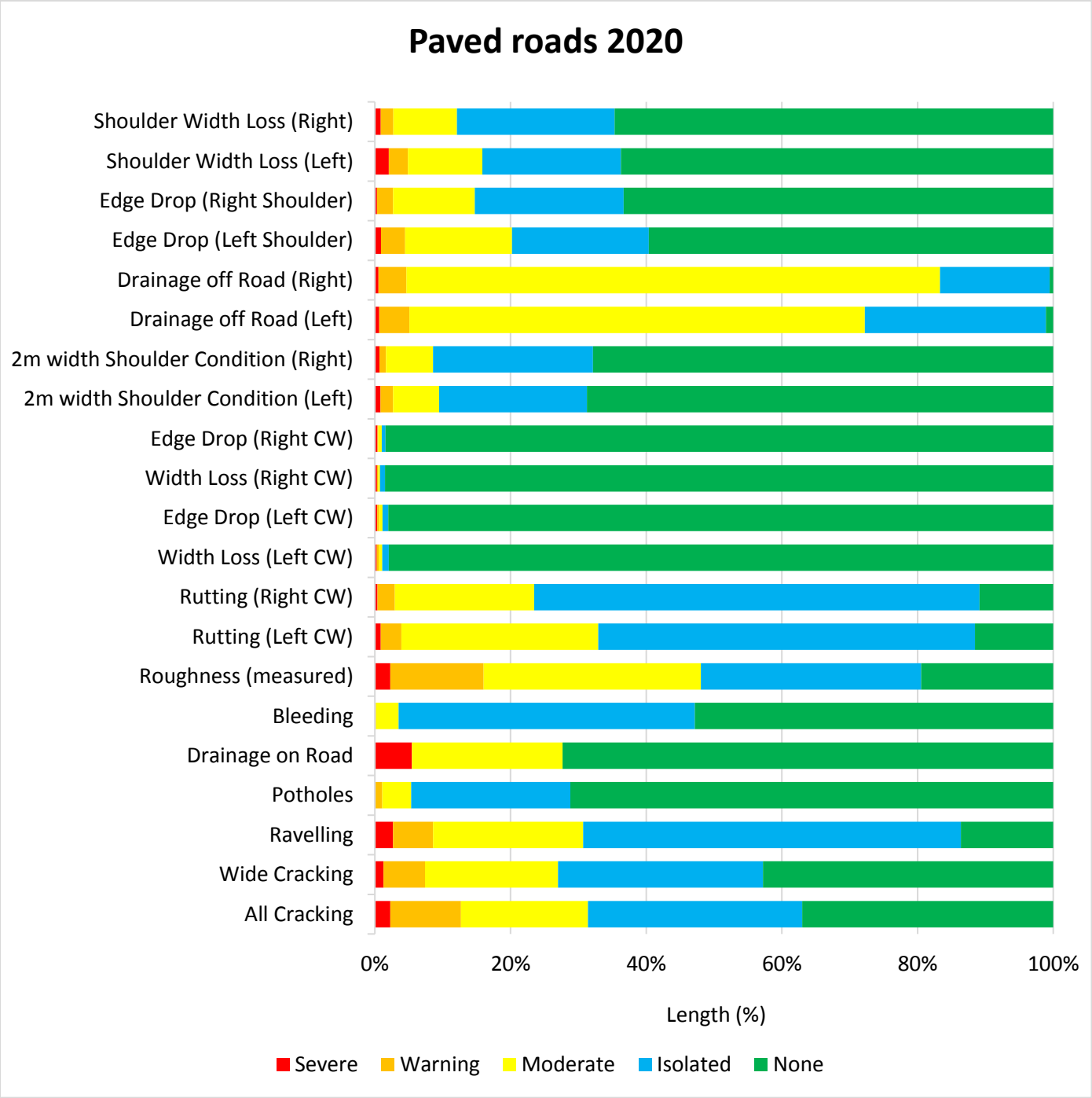

Figure 5-1: Measured values and distress ratings of paved roads, 2020

In summary, the paved network is in good condition. From a pavement management perspective, roads appear to be structurally sound, but cracking, roughness and rutting indicate some structural deterioration (rated as severe to warning). A preventive maintenance regime of timely patching, crack sealing, diluted emulsions and resurfacings will contribute significantly to delay the structural deterioration by preventing water from entering the pavement structures.

4.3 Condition trend for paved roads

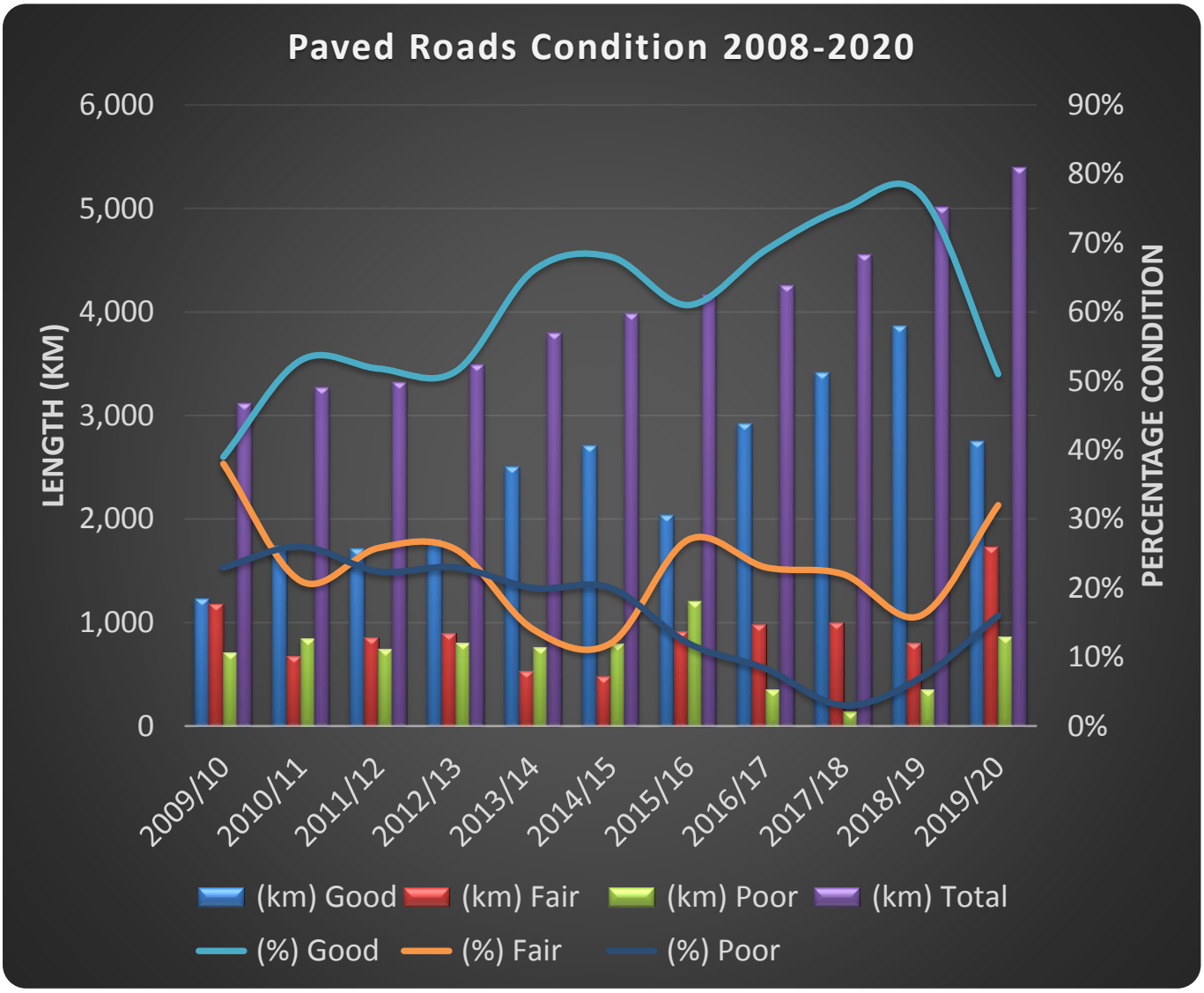

The figure above shows the condition trend for the paved roads from 2009/10 to 2020.

TABLE 1: CONDITION OF ROADS IN KM							
Year	(km)				(%)		
	Good	**Fair**	**Poor**	**Total**	**Good**	**Fair**	**Poor**
2009/10	1,230	1,180	709	3119	39%	38%	23%
2010/11	1,742	680	843	3264	53%	21%	26%
2011/12	1717	856	744	3317	52%	26%	22%
2012/13	1,794	893	803	3490	51%	26%	23%
2013/14	2505	531	759	3795	66%	14%	20%
2014/15	2,707	478	796	3,981	68%	12%	20%
2015/16	2040	913	1204	4,157	61%	27%	12%
2016/17	2924	979	354	4,257	69%	23%	8%
2017/18	3413	1001	136	4551	75%	22%	3%
2018/19	3862	802	351	5015	77%	16%	7%
2019/20	2753	1727	864	5398	51%	32%	16%

5. Unpaved Road Network Condition

Summary:

- *The average unpaved road VCI based on the 2020 data is 63% which categorises the road network in the "fair" condition category.*
- *The gravel thickness ratings indicate the need for urgent re-gravelling on 15%. 3% has no gravel at all and 12% has gravel less than 50mm.*
- *The roughness ratings on the unpaved network indicate severe to moderate condition states on 35% of the road network.*
- *Roads with rutting in a moderate to severe condition accounts for almost 46% of the network.*
- *37% of all roads have severe to moderate corrugations.*
- *Erosion is very common with almost 57% of roads showing the occurrence of severe to moderate erosion.*
- *Drainage condition and formation level is poor and very poor on 13% of the network.*
- *% of Roads in very poor and poor condition has decreased from 25% in 2018 to 23% in 2020.*

5.1 Background to Unpaved VCI

The assessment ratings are utilised to calculate a Visual Condition Index (VCI) similar to the VCI of paved roads. This unpaved VCI is calculated for each unpaved road segment that was surveyed. VCI is a percentage index ranging between 0 and 100; 0 represents a road segment in very poor condition and 100 represents a road segment in very good condition. During this analysis the VCI is used as follows:

- An average unpaved network VCI is calculated representing the average condition of the unpaved road network or any sub-network. This average network VCI is weighted by length and is used to describe/investigate the average condition of the road network/sub-network.
- The VCI is furthermore used to categorise the condition of an unpaved road segment, the unpaved road network or sub-network into one of five condition categories. The condition categories adopted are:
    - Very Good = 86% to 100%
    - Good = 71% to 85%
    - Fair = 51% to 70%
    - Poor = 31% to 50%
    - Very Poor = 0% to 30%

5.2 Visual assessment of Unpaved Road network

Unpaved visual assessment data was collected in 2020 and the PMS updated with these data.

The assessment data expresses the condition and characteristics of the wearing course material and the functional condition of the gravel roads as a set of rating scores, rating these as 1 (very good or non-existent), 2 (slight, good or isolated occurrence), 3 (discernible, fair or moderate occurrence), 4 (warning, poor or general occurrence) and 5 (severe, very poor or extensive occurrence).

These ratings can indirectly be related to the proportion of the unpaved road network with none, isolated, moderate, warning and severe problems.

According to the visual assessments, the following conclusions can be made about the unpaved roads of UNRA (refer

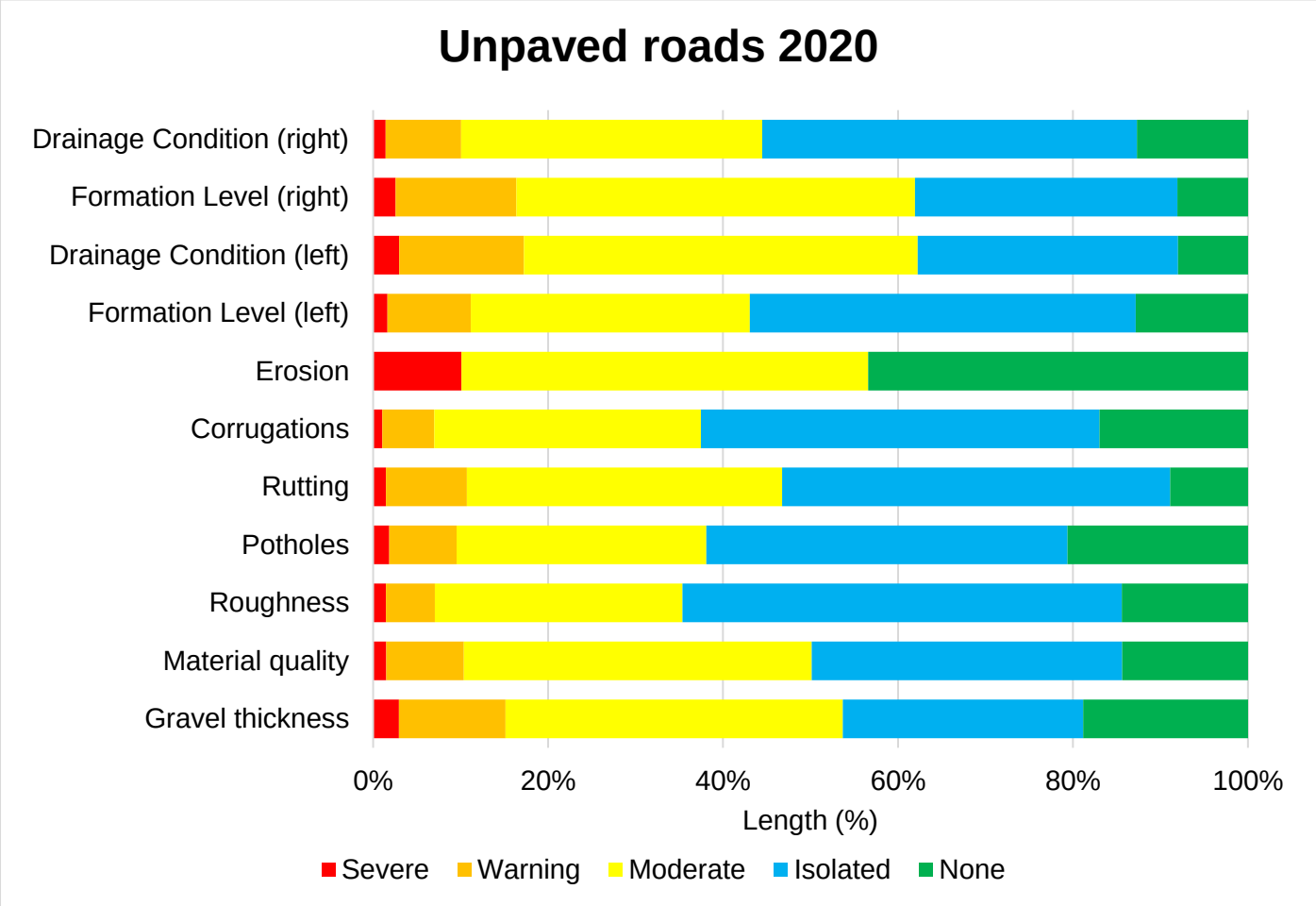

Figure 6-1):

Gravel thickness

- The gravel thickness ratings indicate the need for re-gravelling on 15% of the unpaved road network, with 3% having no gravel, another 12% having less than 50mm gravel wearing course and severe exposure of the sub grade. A further 39% is in the moderate

Material quality	condition state, with subgrade exposed in local areas (average of 50 to 100mm gravel thickness). ▪ 2% of roads having severe material quality exhibiting poorly distributed range of particle sizes and/or zero or excessive plasticity, 9% of roads was rated with warning material quality (poor particle size distribution). A further 40% exhibits cracking, loose material or stones clearly visible, thus rated as material quality of moderate state.
Roughness	▪ The roughness ratings on the unpaved network indicate 35% of the road network to be warning to moderate condition. This will result in high road user costs.
Potholes	▪ The high occurrence of potholes especially in severe to moderate states (39%) and 41% in isolated state is indicative of inadequate maintenance.
Rutting	▪ Roads with rutting in a moderate to severe condition accounts closely to 46% of the network. These roads are in need of blading and re-graveling.
Corrugations	▪ 37% of all roads have severe to moderate corrugations. A further 44% has isolated corrugations.
Erosion	▪ Erosion was rated serious on 10% of road network. There is a need to repair erosion more regularly.
Drain condition and formation level	▪ Drainage condition and formation level indicate the ability of roads to drain water away, transversely underneath and longitudinally next to them. Roads with severe or warning formation levels, would act as a canal, this is the case for 14% of the unpaved road network. 39% of the unpaved roads have moderate formation levels indicating that the drainage is level with ground level. ▪ Furthermore, the drainage condition is warning to severe for 13% the network with moderate drainage conditions existing on 40% of the network.

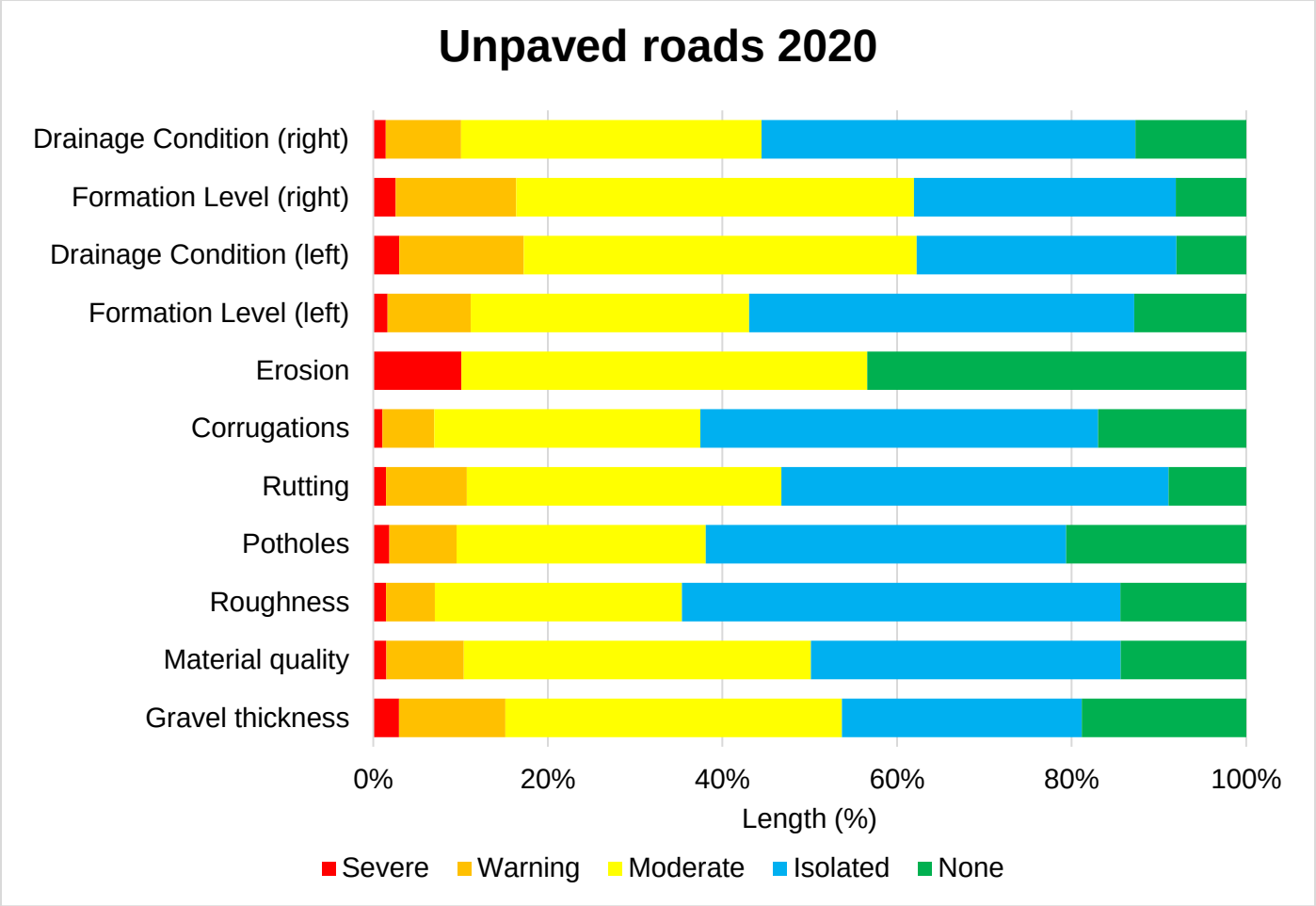

Figure 6-1: Distress, characteristic and condition ratings of unpaved roads, 2020

In summary, the unpaved network is in fair condition. From a road user's perspective, material quality and possibly non-sufficient maintenance regime contribute to the development of rough roads with potholes, rutting and corrugations. From an unpaved roads management perspective, gravel thickness problems, low formation levels and poor drainage conditions result in erosion, wetting of the gravel layers and subgrade which result in potholes and rutting. A well planned gravelling programme should be supported by an effective maintenance regime of blading (to maintain cambers and limit roughness), cleaning of side drains, mitre drains and cross drainage.

5.3 Average VCI for Unpaved roads

The average unpaved road VCI based on the 2020 data is 63% which categorises the road network in the "fair" condition category, this is 2% improvement as compared to the average VCI calculated on the 2018 visual assessment data.

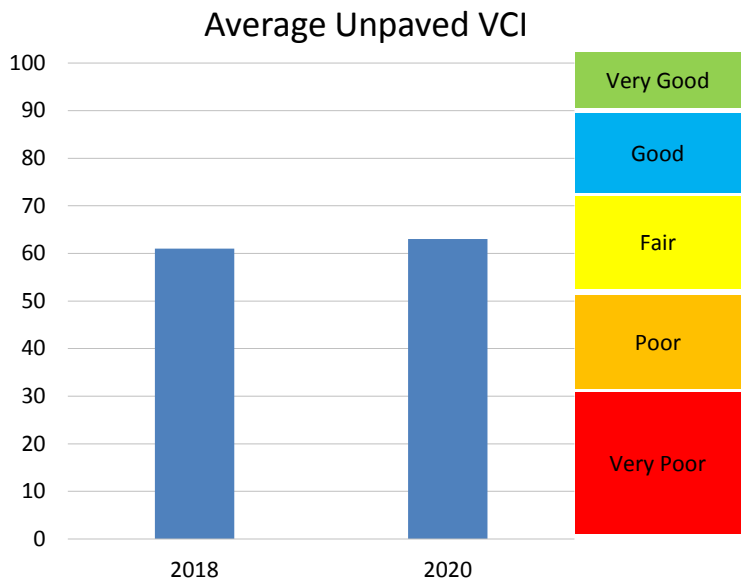

Figure 6-2: Average Unpaved VCI comparison

5.4 Condition distribution graphs for the VCI of Unpaved roads

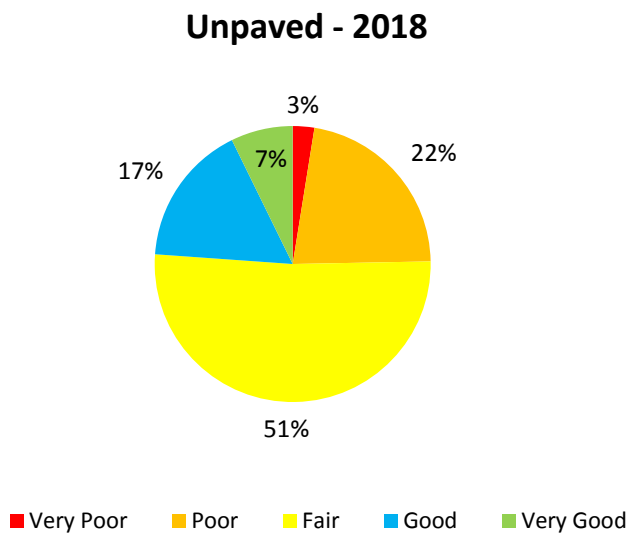

Figure 6-3:Unpaved VCI distribution for 2018

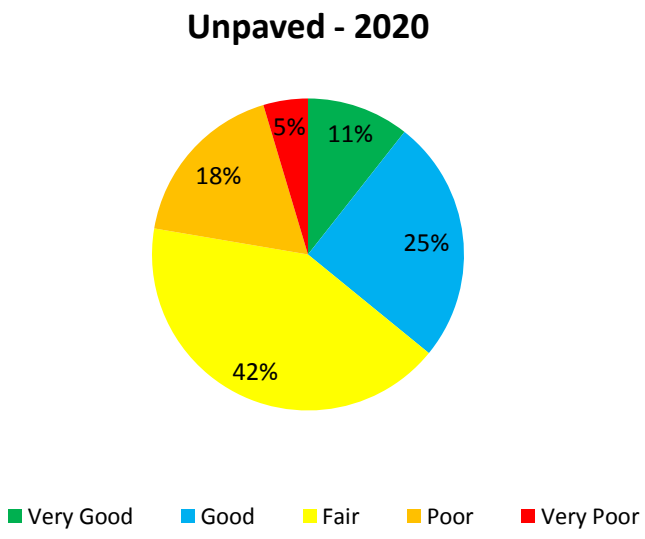

Figure 5-4:Unpaved VCI distribution for 2020

The figures show that the percentage of roads in very poor and poor condition has reduced from 25% in 2018 to 23% in 2020. The roads in fair condition has decreased from 51% in 2018 to 42% in 2020. The condition of roads in good and very good condition has increased from 24% in 2018 to 36% in 2020.

5.5 Condition trends for unpaved roads

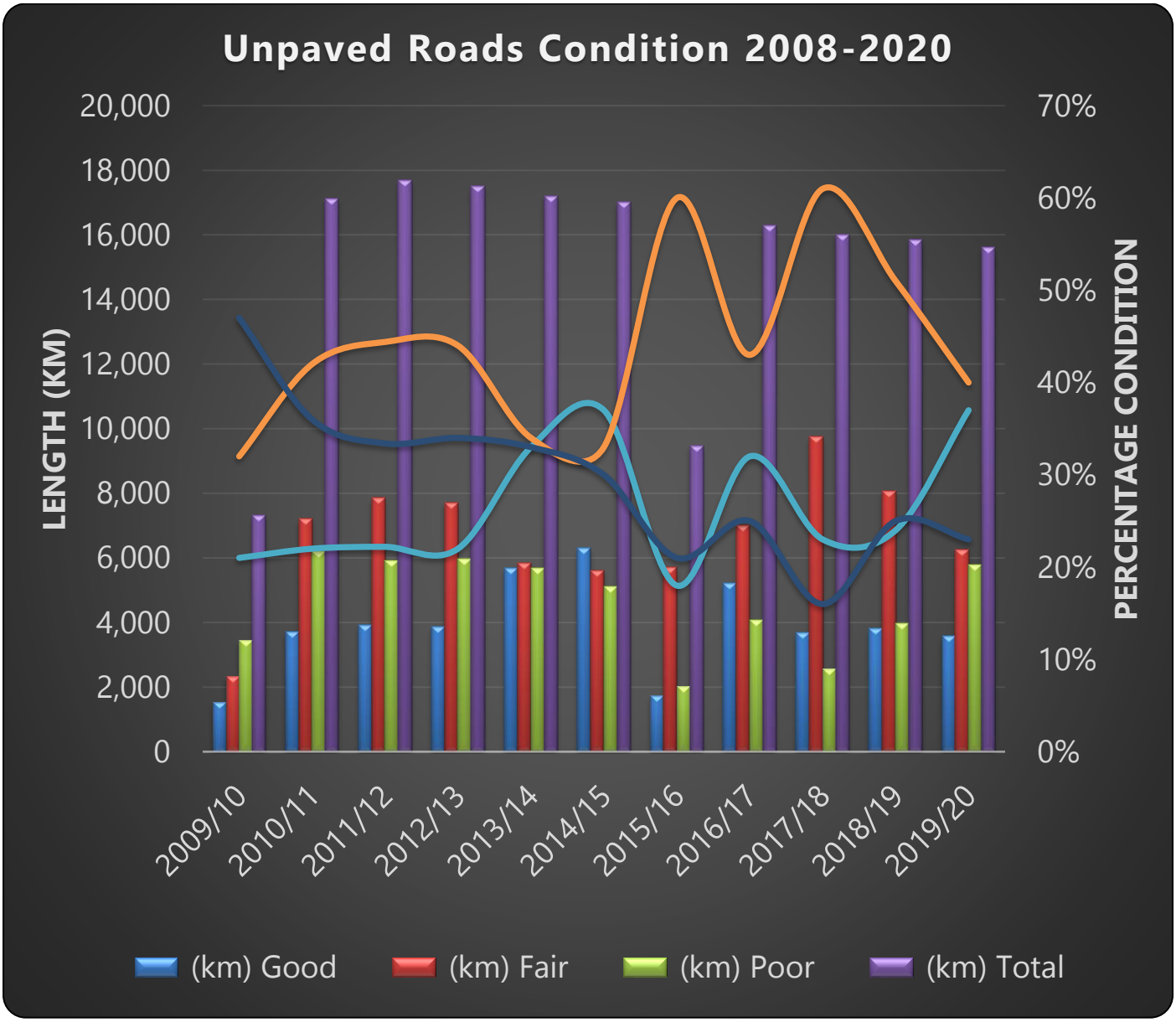

The figure above shows the condition trend for the unpaved roads from 2009/10 to 2020.

	Unpaved Roads Condition (km)				Unpaved Roads Condition (%)		
	Good	Fair	Poor	Total	Good	Fair	Poor
2009/10	1,535	2,340	3,436	7,311	21%	32%	47%
2010/11	3,719	7,215	6186	17,120	22%	42%	36%
2011/12	3,926	7,853	5,904	17,683	22%	44%	33%
2012/13	3,852	7,705	5,954	17,510	22%	44%	34%
2013/14	5,678	5,850	5,677	17,205	33%	34%	33%
2014/15	6297	5616	5106	17019	37%	33%	30%
2015/16	1737	5707	2033	9477	18%	60%	21%
2016/17	5212	7003	4072	16287	32%	43%	25%
2017/18	3678	9755	2558	15993	23%	61%	16%
2018/19	3802	8079	3960	15841	24%	51%	25%
2019/20	3591	6245	5776	15612	37%	40%	23%

6. Conclusion

The UNRA road network total length is now at 21,010km. Of these roads, 5,398km are paved roads and 15,612km are unpaved roads. Of these a new class “M of expressways totalling to 85km.

The condition of the paved roads has been rated “good” with 52% but with a significant length that is in dire need of preventive maintenance to deter accelerated deterioration.

The high AADT on the unpaved roads indicates a growing increase in the paving more roads from gravel to tarmac.

The mode of failure of unpaved roads is mainly drainage and formation level related.

The most doming mode of failure of paved roads is cracking with a significant portion of the northern corridor route affected all the way from Malaba/Busia to Katuna. This shall require periodic maintenance very soon.

Appendix 1: Pictures of roads on the UNRA network

UNPAVED ROADS SURVEYS

Construction along Apeitolim-Iriri Road in North Eastern region

Section of Okude – Amuria with poor drainage in North Eastern region

Section of Ruzinga (Bugamba) Chitwe in Southern region with poor drainage.

Fair road section along Ruti- Mwizi-Kabuyanda-Kikagati in Southern region

Isingiro-Kityanza in Southern region in good condition.

Madiopei-Agoro Hills road in Northern region at chainage 19+000 21+000

Section along Paloga-Potika Link with gullies.

Section along Yuku –Lobe Spur link which is not maintained.

Hard to reach section along Kotein-Kenya Border in the North East

Section along Kikoloto-Bukwiri in Western region

PAVED ROAD SURVEYS

Kabale-Kisoro road in good condition

Severe cracking on a section along Kabale-Katuna (A002_11) at 20+300

Shear Cracks along sections of Rubale-Muhanga-Kabale (A002_Link010) at 391+300

Section along Pallisa- Kumi road through a trading centre. The road is in very good condition.

Kasese-Kilembe mines at CH 8+700km. Road cut off due to heavy downpour which caused river to change path

Appendix 2: International Roughness Index for Paved roads

LinkID	Link Name	Length (km)	Avg IRI	Very Good (km)	Good (km)	Fair (km)	Poor (km)	Very Poor (km)
A001_LINK01	Kampala - Mukono	17.7	4.0	0.3	4.9	7.4	3.6	1.5
A001_LINK02	Mukono - Lugazi	24.1	3.1	0.4	14.0	7.9	1.5	0.3
A001_LINK03	Lugazi - Njeru	30.1	3.0	0.0	17.5	11.9	1.1	0.0
A001_LINK05	Jinja - Kakira Junction	11.9	2.4	4.2	6.4	0.9	0.3	0.1
A001_LINK06	Kakira junction - Iganga	26.8	2.4	12.7	10.1	1.9	2.1	0.0
A001_LINK07	Iganga - Nakalama	4.9	2.4	2.2	2.0	0.3	0.4	0.0
A001_LINK08	Nakalama - Bugiri - Namutere	51.3	1.7	31.5	17.8	1.8	0.5	0.0
A001_LINK09	Namutere - Busitema Junction	3.6	1.5	1.7	1.9	0.0	0.0	0.0
A001_LINK10	Busitema Junction - Tororo junction	28.3	1.7	10.1	15.3	2.2	0.7	0.1
A002_LINK01	Kibuye - Natete - Busega	6.5	1.9	0.0	0.5	4.3	1.3	0.4
A002_LINK02	Busega - Mpigi	25.3	1.8	4.4	15.8	3.9	0.9	0.3
A002_LINK03	Mpigi - Buwama	32.1	2.3	8.3	20.6	3.0	0.1	0.1
A002_LINK04	Buwama - Lukaya	30.5	4.1	14.4	35.2	8.5	0.5	0.2
A002_LINK05	Lukaya - Masaka - bypass	34.0	2.6	1.4	3.9	0.8	0.0	0.1
A002_LINK06	Masaka - Lyantonde	67.8	2.3	35.9	27.6	4.5	0.1	0.0
A002_LINK07	Lyantonde - Mbarara(Bushenyi junction	67.3	2.3	24.5	36.8	4.6	0.9	0.8
A002_LINK08	Mbarara(Bushenyi Junction) - Ntungam	61.7	2.4	7.1	29.0	19.2	6.0	0.4
A002_LINK09	Ntungamo - Rubaale	15.0	2.1	1.0	9.4	4.0	0.7	0.0
A002_LINK10	Rubaale - Muhanga - Kabale	59.4	2.2	6.2	34.9	16.0	2.6	0.1
A002_LINK11	Kabale - Katuna	21.7	3.1	1.1	14.6	4.9	0.8	0.2
A003_LINK01	Kibuye - Zana	4.9	2.8	0.0	2.7	2.1	0.1	0.0
A003_LINK02	Zana - Entebbe Airport	32.0	2.8	6.7	6.1	8.2	10.0	1.0
A003N1_LINK01	Kibuye - Zana(Dual Section)	5.0	2.8	0.1	3.4	1.4	0.0	0.0
A003N2_LINK01	Entebbe Airport (Dual)	5.4	2.9	2.4	2.2	0.4	0.4	0.0
A004_LINK01	Masaka round about - Kyotera	44.2	3.6	0.1	5.9	27.5	9.7	1.1
A004_LINK02	Kyotera - Mutukula	44.7	2.8	0.0	15.0	21.1	5.5	1.1
A005_LINK01	Busega - Bujuuko	32.9	2.3	10.9	13.0	6.4	2.6	0.0
A006_LINK01	Kampala - Kawempe	7.7	4.0	0.0	3.8	2.6	1.0	0.3
A006_LINK02	Kawempe - Matuga	8.6	3.6	0.9	6.5	1.1	0.1	0.0
A006_LINK03	Matuga - Wobulenzi	28.9	2.3	4.4	23.2	0.9	0.4	0.0
A006_LINK04	Wobulenzi - Kasana - L uweero	15.6	3.4	0.2	13.7	1.6	0.1	0.0
A006_LINK05	Luweero - Nakasongola	54.8	2.4	16.4	37.4	1.4	0.0	0.0
A006_LINK06	Nakasongola - Kafu	52.2	2.3	18.5	13.4	17.9	2.3	0.1
A006_LINK07	Kafu - Kigumba	29.7	2.6	18.6	6.9	3.1	1.0	0.1
A006_LINK08	Kigumba - Karuma	56.7	2.2	7.4	8.8	34.6	6.1	0.4
A006_LINK09	Karuma - Kamdini	12.2	2.7	0.0	1.4	9.7	0.9	0.2

A006_LINK10	Kamdini - Minakulu	24.2	2.1	0.0	0.4	16.6	6.8	0.5
A006_LINK11	Minakulu - Bobi - Gulu	37.5	3.4	0.1	2.1	27.9	6.7	0.7
A006_LINK12	Gulu - Atiak	68.2	3.7	0.1	16.0	46.2	5.5	0.4
A006_LINK13	Atiak - Nimule(Uganda/Sudan border	37.3	4.2	0.0	4.2	27.5	5.2	0.4
A008_LINK01	Karuma - Olwiyo	51.6	4.0	0.0	0.0	9.9	32.4	9.3
A008_LINK02	Olwiyo - Packwach	54.4	3.6	0.0	1.1	14.1	28.9	10.7
A008_LINK03	Packwach - Nebbi	53.5	3.8	0.0	2.6	33.7	14.1	3.0
A008_LINK04	Nebbi - Eruba	63.8	5.5	0.0	2.5	34.2	23.1	4.2
A008_LINK05	Eruba - Arua - Manibe	18.8	5.4	0.0	1.6	10.1	6.1	1.0
A008_LINK06	Manibe - Maracha - Koboko	49.9	4.3	0.0	0.1	17.1	45.9	5.2
A009_LINK02	Nansana - Busunju	45.6	4.5	11.9	30.0	2.8	0.8	0.1
A009_LINK03	Busunju - Kiboga - Lwamata	50.0	4.4	11.6	69.8	17.3	1.0	0.2
A009_LINK04	Lwamata - Hoima	96.5	5.2	11.8	28.4	5.5	0.7	0.2
A010_LINK01	Nsambya-Kabalagala-Gaba	9.1	2.1	0.1	3.2	4.1	1.3	0.4
B100_LINK01	Kubiri round about - Gayaza	13.3	2.5	0.0	3.4	7.9	1.9	0.4
B100_LINK02	Gayaza - Kalagi	20.2	2.3	2.5	3.7	11.3	2.0	0.7
B101_LINK01	Mukono - Kalagi	17.9	3.7	9.4	8.0	0.5	0.0	0.0
B101_LINK02	Kalagi - Bukoloto - kayunga	31.7	3.9	20.0	10.6	0.9	0.1	0.1
B102_LINK01	Njeru - Bukoloto	42.6	3.3	22.4	19.9	0.3	0.0	0.0
B150_LINK01	Ishanyu - Bwizibwera	18.9	2.0	0.0	7.6	10.7	0.5	0.2
B150_LINK02	Bwizibwera - Ibanda	45.8	1.7	7.1	15.0	21.0	2.3	0.4
B151_LINK01	Mbarara - Ishanyu	4.9	1.7	0.0	1.2	2.2	1.3	0.2
B151_LINK02	Ishanyu - Kabwohe	26.2	3.3	0.0	3.8	18.0	4.2	0.2
B151_LINK03	Kabwohe - Ishaka	28.1	2.8	0.0	2.3	13.7	9.8	2.3
B152_LINK01	Ntungamo - Kagamba	15.2	4.0	0.0	1.6	10.0	3.2	0.4
B153_LINK01	Kabale - Ikumba - Muko	42.0	3.8	2.6	23.3	14.1	2.0	0.0
B153_LINK02	Muko - Nyakabande - Kisoro	33.8	4.5	8.1	20.4	4.5	0.0	0.1
B153_LINK03	Kisoro - Bunagana	12.0	4.0	0.8	10.8	4.9	0.1	0.0
B204_LINK01	Hoima - Masindi	51.8	2.9	0.0	0.1	12.3	7.6	0.0
C002_LINK01	Seeta-Namilyango	3.8	2.4	0.0	0.1	1.1	0.9	1.4
C004_LINK01	Namboole - Gayaza road	12.4	2.8	4.4	6.5	0.9	0.4	0.1
C004_LINK02	Gayaza road - Hoima road	3.4	4.3	0.4	2.1	0.5	0.5	0.0
C004_LINK03	Hoima road - Busega	5.2	6.7	0.8	3.8	0.2	0.2	0.2
C004N1_LINK01	Gayaza road - Hoima road(Dual)	3.5	2.5	1.0	1.3	0.6	0.3	0.3
C022_LINK01	Mbuya/SilverSprings-Kireka	4.6	2.8	0.0	0.7	2.6	1.8	1.2
C024_LINK01	Mukono-Kyetume-Kisoga-Katosi	26.6	2.6	7.8	1.3	10.7	6.8	0.0
C025_LINK01	Kisoga - Lugasa	27.9	3.0	3.7	1.0	14.8	7.9	0.2

C025_LINK02	Lugasa - Najja	10.4	4.7	0.6	0.4	3.9	5.5	0.0
C028_LINK01	Najja - Nyenga	9.8	3.0	2.3	0.4	4.2	2.6	0.2
C029_LINK01	Njeru-Nyenga-Buikwe	9.8	3.8	0.0	0.7	4.0	4.4	0.1
C152_LINK01	Kireka-Namugongo-Misindye-Seeta	14.9	4.2	4.1	5.3	3.6	1.2	0.1
C154_LINK01	Matugga - Semuto - Kapeka	39.7	3.2	0.0	2.8	20.7	13.4	2.8
C157_LINK01	Entebbe-Nakiwogo	3.4	4.4	0.0	0.0	0.6	1.8	1.0
C158_LINK01	Nakiwogo Statehouse road	1.5	2.6	0.0	0.0	0.3	0.8	0.4
C161_LINK01	Mpigi Loop	3.4	4.5	0.0	0.7	2.5	0.1	0.0
C162_LINK01	Mpigi - Kanoni	59.0	5.7	0.0	26.4	33.3	0.5	0.0
C162_LINK02	Kanoni - Kabulasoke	11.3	5.4	1.0	0.9	4.9	4.5	0.0
C162_LINK03	Kabulasoke - Madu	19.7	3.4	1.9	0.9	13.8	2.6	0.4
C166_LINK01	Madu-Kisozi-R.Katonga	22.1	3.1	0.0	3.9	13.6	4.6	0.0
C168_LINK01	Bweyogerere - Bukasa	2.0	3.8	0.3	4.1	1.1	0.2	0.1
C170_LINK01	Namboole Access Road	2.1	3.6	0.0	0.8	1.0	0.2	0.1
C232_LINK01	Lyantonde - High Street	1.3	3.8	0.1	0.8	0.3	0.1	0.0
C302_LINK01	Gayaza-Zirobwe	30.9	3.1	0.0	8.2	19.9	2.6	0.2
C350_LINK01	Katete-Isingiro	30.6	3.5	11.3	11.4	6.8	1.0	0.2
C350_LINK02	Isingiro-Nsongezi	23.7	2.7	7.2	12.5	2.9	1.1	0.0
C354_LINK01	Kikagati - Murungo bridge	2.7	3.6	0.1	1.6	0.7	0.3	0.0
C355_LINK01	Nyakahita-Rushere	33.2	2.5	9.7	1.0	13.5	9.0	1.5
C355_LINK02	Rushere-Kazo	34.8	2.5	1.7	0.5	16.5	13.7	0.9
C356_LINK01	Ibanda-Kanoni-Kazo	32.4	2.9	0.0	4.4	23.8	4.0	0.2
C383_LINK01	Rushere-Rwakitura	8.6	3.2	0.0	1.2	6.5	1.0	0.0
C410_LINK01	Kagamba-Kebisoni	20.6	4.3	0.0	0.0	9.7	9.5	1.4
C410_LINK02	Kebisoni-Rukugiri	13.9	3.7	0.0	0.4	9.6	3.8	0.1
C412_LINK01	Kisoro - Kyanika	9.9	3.8	0.8	6.4	1.2	0.0	0.0
C419_LINK02	Kikagati-Nsongezi	13.8	4.7	3.0	6.9	2.8	1.0	0.0
C590_LINK01	Hoima-Biso	35.7	1.7	27.6	5.2	0.2	0.0	0.0
C592_LINK01	Parajwoki-Buseruka	21.7	4.1	20.8	0.5	0.4	0.0	0.0
C592_LINK02	Buseruka-Kabaale	21.3	2.5	19.2	1.6	0.1	0.1	0.3
C596_LINK01	Kiziranfumbi-Kaiso	59.4	2.7	28.5	5.1	0.4	0.0	0.0
C860_LINK01	Kamonkoli-Pallisa	44.4	1.7	16.7	5.2	0.0	0.0	0.0

Appendix 3: Traffic Summary Spreadsheet

Name	From	To	Length	Link_ID	SurfType	District	Region	Station	Total Motorised Traffic 2020	Total non-motorised Traffic 2020	Motorcycles & Scooters 2020	Saloon Cars & Taxi's 2020	Light Goods 2020	Small Buses 2020	Medium Buses 2020	Large Buses 2020	Light Trucks 2020	Medium Trucks 2020	Truck Trailer/Semi Trailer 2020	Bicycles 2020	Carts 2020	Vechile km 2020
Name	From	To	Length	Link_ID	SurfType	District	Region	Station	MT_AADT	NM_AADT	veh_type_01	veh_type_02	veh_type_03	veh_type_04	veh_type_05	veh_type_06	veh_type_07	veh_type_08	veh_type_09	veh_type_10	veh_type_11	Vechile km
A001	0	4.312	4	A001_Link01	F	Kampala	Central	Kampala	37401	312	9565	4358	8250	8176	494	253	1224	2358	2724	312	0	58864061
A001	4.312	9.402	5	A001_Link01	F	Wakiso	Central	Kampala	37401	312	9565	4358	8250	8176	494	253	1224	2358	2724	312	0	69484711
A001	9.402	17.737	8	A001_Link01	F	Mukono	Central	Kampala	37401	312	9565	4358	8250	8176	494	253	1224	2358	2724	312	0	113782920
A001	17.737	19.146	1	A001_Link02	F	Mukono	Central	Kampala	16772	139	4289	1954	3700	3666	222	114	549	1057	1222	139	0	8625445
A001	19.146	26.662	8	A001_Link02	F	Mukono	Central	Kampala	15262	127	3903	1778	3367	3336	201	103	499	962	1111	127	0	41869280
A001	26.662	41.879	15	A001_Link02	F	Buikwe	Central	Kampala	15262	127	3903	1778	3367	3336	201	103	499	962	1111	127	0	84769136
A001	41.879	71.62	30	A001_Link03	F	Buikwe	Central	Kampala	12413	103	3174	1445	2738	2713	164	84	406	783	904	103	0	134747522
A001	71.62	71.992	0	A001_Link03	F	Buikwe	Central	Kampala	27748	319	11800	3026	3813	5056	524	142	736	1085	1566	319	0	3767643
A001	71.992	72.343	0	A001_Link04	F	Buikwe	Central	Kampala	27748	319	11800	3026	3813	5056	524	142	736	1085	1566	319	0	3554954
A001	72.343	73.748	1	A001_Link04	F	Jinja	Eastern	Jinja	28556	329	12143	3114	3924	5204	539	146	757	1117	1611	329	0	14644381
A001	73.748	77.535	4	A001_Link05	F	Jinja	Eastern	Jinja	46836	538	19916	5107	6436	8534	886	240	1241	1833	2644	538	0	64739779
A001	77.535	85.6	8	A001_Link05	F	Jinja	Eastern	Jinja	24216	279	10298	2641	3328	4413	457	124	641	947	1367	279	0	71286297
A001	85.6	91.234	6	A001_Link06	F	Jinja	Eastern	Jinja	8581	403	2095	1102	1206	1620	51	67	359	563	1519	403	0	17647029
A001	91.234	104.392	13	A001_Link06	F	Mayuge	Eastern	Jinja	8581	403	2095	1102	1206	1620	51	67	359	563	1519	403	0	41213988
A001	104.392	105.701	1	A001_Link06	F	Luuka	Eastern	Jinja	8581	403	2095	1102	1206	1620	51	67	359	563	1519	403	0	4100100
A001	105.701	112.409	7	A001_Link06	F	Iganga	Eastern	Jinja	8581	403	2095	1102	1206	1620	51	67	359	563	1519	403	0	21011053
A001	112.409	117.316	5	A001_Link07	F	Iganga	Eastern	Jinja	8581	403	2095	1102	1206	1620	51	67	359	563	1519	403	0	15369892
A001	117.316	134.936	18	A001_Link08	F	Iganga	Eastern	Jinja	8581	403	2095	1102	1206	1620	51	67	359	563	1519	403	0	55190035
A001	134.936	141.228	6	A001_Link08	F	Bugiri	Eastern	Jinja	8581	403	2095	1102	1206	1620	51	67	359	563	1519	403	0	19708042
A001	141.228	168.63	27	A001_Link08	F	Bugiri	Eastern	Tororo	8581	403	2095	1102	1206	1620	51	67	359	563	1519	403	0	85829587
A001	168.63	168.886	0	A001_Link09	F	Bugiri	Eastern	Tororo	8581	403	2095	1102	1206	1620	51	67	359	563	1519	403	0	801853
A001	168.886	172.189	3	A001_Link09	F	Busia	Eastern	Tororo	8581	403	2095	1102	1206	1620	51	67	359	563	1519	403	0	10345782
A001	172.189	184.583	12	A001_Link10	F	Busia	Eastern	Tororo	8581	403	2095	1102	1206	1620	51	67	359	563	1519	403	0	38820958
A001	184.583	200.479	16	A001_Link10	F	Tororo	Eastern	Tororo	8581	403	2095	1102	1206	1620	51	67	359	563	1519	403	0	49790056
A001	200.479	212.128	12	A001_Link11	F	Tororo	Eastern	Tororo	8581	403	2095	1102	1206	1620	51	67	359	563	1519	403	0	36487441
A001N1	71.032	71.577	1	A001N1_Link01	F	Buikwe	Central	Kampala	12413	103	3174	1445	2738	2713	164	84	406	783	904	103	0	2469231
A001N2	73.747	85.6	12	A001N2_Link01	F	Jinja	Eastern	Jinja	12774	107	3267	1488	2818	2792	169	87	418	806	931	107	0	55266426
A002	0	6.524	7	A002_Link01	F	Kampala	Central	Kampala	12472	168	2502	2085	3346	2056	179	225	1014	714	351	168	0	29700246
A002	6.524	7.487	1	A002_Link02	F	Kampala	Central	Kampala	12472	168	2502	2085	3346	2056	179	225	1014	714	351	168	0	4384019
A002	7.487	18.425	11	A002_Link02	F	Wakiso	Central	Mpigi	12472	168	2502	2085	3346	2056	179	225	1014	714	351	168	0	49794803
A002	18.425	31.866	13	A002_Link02	F	Mpigi	Central	Mpigi	12472	168	2502	2085	3346	2056	179	225	1014	714	351	168	0	61189609
A002	31.866	32.149	0	A002_Link03	F	Mpigi	Central	Mpigi	12472	168	2502	2085	3346	2056	179	225	1014	714	351	168	0	1288346
A002	32.149	34.536	2	A002_Link03	F	Mpigi	Central	Mpigi	12224	164	2452	2044	3280	2015	175	220	993	700	344	164	0	10650131
A002	34.536	39.025	4	A002_Link03	F	Mpigi	Central	Mpigi	9479	127	1901	1585	2543	1562	136	171	771	543	267	127	0	15531574
A002	39.025	58.962	20	A002_Link03	F	Butamba	Central	Mpigi	9479	127	1901	1585	2543	1562	136	171	771	543	267	127	0	68980396
A002	58.962	59.126	0	A002_Link03	F	Butamba	Central	Mpigi	6735	90	1351	1126	1807	1110	97	121	548	386	189	90	0	403131
A002	59.126	63.947	5	A002_Link03	F	Mpigi	Central	Mpigi	6735	90	1351	1126	1807	1110	97	121	548	386	189	90	0	11850571
A002	63.947	91.232	27	A002_Link04	F	Mpigi	Central	Mpigi	6735	90	1351	1126	1807	1110	97	121	548	386	189	90	0	67069659
A002	91.232	91.491	0	A002_Link04	F	Mpigi	Central	Mpigi	17537	540	3922	3065	3785	2399	243	1045	881	1111	1084	540	0	1657825
A002	91.491	94.447	3	A002_Link04	F	Kalungu	Central	Masaka	17537	540	3922	3065	3785	2399	243	1045	881	1111	1084	540	0	18920971
A002	94.447	111.729	17	A002_Link05	F	Kalungu	Central	Masaka	17537	540	3922	3065	3785	2399	243	1045	881	1111	1084	540	0	110619833
A002	111.729	128.447	17	A002_Link05	F	Masaka	Central	Masaka	17537	540	3922	3065	3785	2399	243	1045	881	1111	1084	540	0	107009742
A002	128.447	128.499	0	A002_Link06	F	Masaka	Central	Masaka	17537	540	3922	3065	3785	2399	243	1045	881	1111	1084	540	0	332845
A002	128.499	192.383	64	A002_Link06	F	Masaka	Central	Masaka	5039	155	1127	881	1088	690	70	300	253	319	312	155	0	117506799
A002	192.383	195.089	3	A002_Link06	F	Lwengo	Central	Masaka	5039	155	1127	881	1088	690	70	300	253	319	312	155	0	4977356
A002	195.089	196.228	1	A002_Link06	F	Lyantond	Central	Masaka	5039	155	1127	881	1088	690	70	300	253	319	312	155	0	2095051
A002	196.228	196.28	0	A002_Link07	F	Lyantond	Central	Masaka	5039	155	1127	881	1088	690	70	300	253	319	312	155	0	95648
A002	196.28	200.053	4	A002_Link07	F	Lyantond	Central	Masaka	5241	162	1172	916	1132	718	72	313	263	332	324	162	0	7217261
A002	200.053	200.125	0	A002_Link07	F	Kiruhura	Southern	Mbarara	6034	186	1349	1054	1303	826	83	360	303	382	373	186	0	158561
A002	200.125	239.404	39	A002_Link07	F	Kiruhura	Southern	Mbarara	6265	193	1401	1096	1352	857	87	373	315	398	387	193	0	89825293
A002	239.404	263.534	24	A002_Link07	F	Mbarara	Southern	Mbarara	6265	193	1401	1096	1352	857	87	373	315	398	387	193	0	55181760
A002	263.534	263.586	0	A002_Link08	F	Mbarara	Southern	Mbarara	6265	193	1401	1096	1352	857	87	373	315	398	387	193	0	118916
A002	263.586	264.528	1	A002_Link08	F	Mbarara	Southern	Mbarara	1764	67	378	306	298	190	10	54	76	225	225	67	0	606457
A002	264.528	304.775	40	A002_Link08	F	Mbarara	Southern	Mbarara	1803	69	387	312	304	194	10	56	78	231	231	69	0	26481654
A002	304.775	305.66	1	A002_Link08	F	Mbarara	Southern	Mbarara	1839	70	395	319	311	198	10	57	80	234	234	70	0	594024
A002	305.66	324.053	18	A002_Link08	F	Ntungam	Southern	Mbarara	1839	70	395	319	311	198	10	57	80	234	234	70	0	12345630
A002	324.053	324.524	0	A002_Link08	F	Ntungam	Southern	Kabale	1839	70	395	319	311	198	10	57	80	234	234	70	0	316142
A002	324.524	325.263	1	A002_Link08	F	Ntungam	Southern	Kabale	1857	70	399	321	315	199	10	58	80	237	237	70	0	500917
A002	325.263	325.315	0	A002_Link09	F	Ntungam	Southern	Kabale	1857	70	399	321	315	199	10	58	80	237	237	70	0	35247
A002	325.315	340.214	15	A002_Link09	F	Ntungam	Southern	Kabale	1876	71	403	325	317	202	10	58	82	240	240	71	0	10204644
A002	340.214	344.118	4	A002_Link10	F	Ntungam	Southern	Kabale	1876	71	403	325	317	202	10	58	82	240	240	71	0	2673933

A002	344.118	399.621	56	A002_Link10	F	Kabale	Southern	Kabale	1876	71	403	325	317	202	10	58	82	240	240	71	0	38015193
A002	399.621	421.318	22	A002_Link11	F	Kabale	Southern	Kabale	1876	71	403	325	317	202	10	58	82	240	240	71	0	14860740
A003	0	1.925	2	A003_Link01	F	Kampala	Central	Kampala	29185	243	7463	3399	6438	6379	386	198	955	1840	2126	243	0	20505827
A003	1.925	4.891	3	A003_Link01	F	Wakiso	Central	Kampala	29185	243	7463	3399	6438	6379	386	198	955	1840	2126	243	0	31594952
A003	4.891	36.861	32	A003_Link02	F	Wakiso	Central	Kampala	29185	243	7463	3399	6438	6379	386	198	955	1840	2126	243	0	340556516
A003	36.861	36.907	0	A003_Link02	F	0	Central	Kampala	29185	243	7463	3399	6438	6379	386	198	955	1840	2126	243	0	490009
A003N1	0	4.431	4	A003N1_Link01	F	Wakiso	Central	Kampala	29185	243	7463	3399	6438	6379	386	198	955	1840	2126	243	0	47200686
A003N1	4.431	4.839	0	A003N1_Link01	F	Kampala	Central	Kampala	29185	243	7463	3399	6438	6379	386	198	955	1840	2126	243	0	4346170
A003N1	4.839	4.851	0	A003N1_Link01	F	0	Central	Kampala	29185	243	7463	3399	6438	6379	386	198	955	1840	2126	243	0	127829
A003N1	4.851	4.953	0	A003N1_Link01	F	0	Central	0	29185	243	7463	3399	6438	6379	386	198	955	1840	2126	243	0	1086543
A003N2	31.474	36.898	5	A003N2_Link01	F	Wakiso	Central	Kampala	29185	243	7463	3399	6438	6379	386	198	955	1840	2126	243	0	57778497
A003N2	36.898	36.907	0	A003N2_Link01	F	0	Central	Kampala	29185	243	7463	3399	6438	6379	386	198	955	1840	2126	243	0	95871
A004	0	18.346	18	A004_Link01	F	Masaka	Central	Masaka	8556	177	5649	1366	943	283	17	6	166	81	45	177	0	57291553
A004	18.346	44.248	26	A004_Link01	F	Rakai	Central	Masaka	8556	177	5649	1366	943	283	17	6	166	81	45	177	0	80887703
A004	44.248	88.902	45	A004_Link02	F	Rakai	Central	Masaka	8556	177	5649	1366	943	283	17	6	166	81	45	177	0	139447127
A005	0	0.871	1	A005_Link01	F	Kampala	Central	Kampala	3110	196	1523	349	358	461	9	27	171	143	70	196	0	988795
A005	0.871	6.145	5	A005_Link01	F	Wakiso	Central	Mpigi	3110	196	1523	349	358	461	9	27	171	143	70	196	0	5987260
A005	6.145	32.542	26	A005_Link01	F	Mpigi	Central	Mpigi	3110	196	1523	349	358	461	9	27	171	143	70	196	0	29966953
A005	32.542	32.903	0	A005_Link01	F	Mityana	Central	Mpigi	3110	196	1523	349	358	461	9	27	171	143	70	196	0	409822
A005	32.903	59.541	27	A005_Link02	F	Mityana	Central	Mpigi	3110	196	1523	349	358	461	9	27	171	143	70	196	0	30240546
A005	59.541	59.639	0	A005_Link02	F	Mityana	Central	Mubend	3110	196	1523	349	358	461	9	27	171	143	70	196	0	111254
A005	59.639	67.073	7	A005_Link03	F	Mityana	Central	Mubend	3110	196	1523	349	358	461	9	27	171	143	70	196	0	8439381
A005	67.073	69.5	2	A005_Link03	F	Mityana	Central	Mubend	2706	170	1325	304	312	402	8	24	148	124	61	170	0	2397498
A005	69.5	75.481	6	A005_Link03	F	Mubend	Central	Mubend	2706	170	1325	304	312	402	8	24	148	124	61	170	0	5908297
A005	75.481	103.186	28	A005_Link04	F	Mubend	Central	Mubend	2706	170	1325	304	312	402	8	24	148	124	61	170	0	27368227
A005	103.186	104.111	1	A005_Link05	F	Mubend	Central	Mubend	5471	326	2690	560	623	778	21	63	256	299	180	326	0	1847261
A005	104.111	123.537	19	A005_Link05	F	Mubend	Central	Mubend	5209	310	2561	533	594	741	20	60	244	285	171	310	0	36936101
A005	123.537	153.331	30	A005_Link06	F	Mubend	Central	Mubend	10303	375	6244	898	917	484	49	100	855	417	339	375	0	112039137
A005	153.331	165.974	13	A005_Link07	F	Mubend	Central	Mubend	2669	141	1240	229	330	397	4	48	147	172	101	141	0	12318016
A005	165.974	169.631	4	A005_Link07	F	Mubend	Central	Mubend	1928	37	756	163	307	287	6	42	142	136	90	37	0	2573527
A005	169.631	169.75	0	A005_Link08	F	Mubend	Central	Mubend	1928	37	756	163	307	287	6	42	142	136	90	37	0	83743
A005	169.75	170.479	1	A005_Link08	F	Kyegweg	Western	Fortporta	1928	37	756	163	307	287	6	42	142	136	90	37	0	513016
A005	170.479	181.631	11	A005_Link08	F	Kyegweg	Western	Fortporta	2441	47	957	206	389	363	7	53	180	172	114	47	0	9935858
A005	181.631	181.673	0	A005_Link09	F	Kyegweg	Western	Fortporta	2441	47	957	206	389	363	7	53	180	172	114	47	0	37420
A005	181.673	194.504	13	A005_Link09	F	Kyegweg	Western	Fortporta	2880	56	1129	243	459	429	8	62	213	204	134	56	0	13486317
A005	194.504	203.365	9	A005_Link09	F	Kyegweg	Western	Fortporta	1296	39	357	156	272	208	7	42	44	105	106	39	0	4191101
A005	203.365	233.892	31	A005_Link09	F	Kyenjojo	Western	Fortporta	1296	39	357	156	272	208	7	42	44	105	106	39	0	14438746
A005	233.892	233.934	0	A005_Link10	F	Kyenjojo	Western	Fortporta	1296	39	357	156	272	208	7	42	44	105	106	39	0	19865
A005	233.934	252.605	19	A005_Link10	F	Kyenjojo	Western	Fortporta	1663	51	458	200	349	267	9	54	56	134	136	51	0	11330130
A005	252.605	266.89	14	A005_Link10	F	Kyenjojo	Western	Fortporta	3728	76	736	472	1282	412	9	92	200	297	227	76	0	19436839
A005	266.89	283.703	17	A005_Link10	F	Kabarole	Western	Fortporta	3728	76	736	472	1282	412	9	92	200	297	227	76	0	22876554
A005	283.703	327.997	44	A005_Link11	F	Kabarole	Western	Fortporta	3728	76	736	472	1282	412	9	92	200	297	227	76	0	60268487
A005	327.997	328.097	0	A005_Link11	F	Kabarole	Western	Kasese	3728	76	736	472	1282	412	9	92	200	297	227	76	0	136065
A005	328.097	328.384	0	A005_Link11	F	Kasese	Southern	Kasese	4292	88	847	544	1476	474	10	106	231	342	262	88	0	449580
A005	328.384	346.186	18	A005_Link12	F	Kasese	Southern	Kasese	4292	88	847	544	1476	474	10	106	231	342	262	88	0	27886477
A005	346.186	357.803	12	A005_Link13	F	Kasese	Southern	Kasese	4292	88	847	544	1476	474	10	106	231	342	262	88	0	18197798
A005	357.803	379.759	22	A005_Link14	F	Kasese	Southern	Kasese	4292	88	847	544	1476	474	10	106	231	342	262	88	0	34393636
A005	379.759	417.644	38	A005_Link15	F	Kasese	Southern	Kasese	4292	88	847	544	1476	474	10	106	231	342	262	88	0	59346096
A005	417.644	418.009	0	A005_Link15	F	0	Southern	Kasese	4292	88	847	544	1476	474	10	106	231	342	262	88	0	571765
A005N1	0	0.375	0	A005N1_Link01	F	Kampala	Central	Kampala	3110	196	1523	349	358	461	9	27	171	143	70	196	0	425715
A006	0	7.675	8	A006_Link01	F	Kampala	Central	Kampala	12955	731	4233	1719	2314	2744	96	146	858	610	236	731	0	36291978
A006	7.675	7.681	0	A006_Link02	F	Kampala	Central	Kampala	12955	731	4233	1719	2314	2744	96	146	858	610	236	731	0	28372
A006	7.681	16.266	9	A006_Link02	F	Wakiso	Central	Kampala	12955	731	4233	1719	2314	2744	96	146	858	610	236	731	0	40595000
A006	16.266	25.833	10	A006_Link03	F	Wakiso	Central	Kampala	12955	731	4233	1719	2314	2744	96	146	858	610	236	731	0	45238482
A006	25.833	45.186	19	A006_Link03	F	Luwero	Central	Luwero	12955	731	4233	1719	2314	2744	96	146	858	610	236	731	0	91512527
A006	45.186	47.946	3	A006_Link04	F	Luwero	Central	Luwero	12048	679	3937	1598	2152	2551	89	136	799	567	219	679	0	12137577
A006	47.946	58.758	11	A006_Link04	F	Luwero	Central	Luwero	10882	614	3556	1444	1944	2305	80	123	721	512	198	614	0	42944248
A006	58.758	60.83	2	A006_Link04	F	Luwero	Central	Luwero	8465	488	1863	1029	1589	1600	226	382	456	867	452	488	0	6401609
A006	60.83	80.358	20	A006_Link05	F	Luwero	Central	Luwero	5225	301	1150	636	981	988	139	236	281	535	279	301	0	37242289
A006	80.358	106.082	26	A006_Link05	F	Nakason	Central	Luwero	5225	301	1150	636	981	988	139	236	281	535	279	301	0	49058820
A006	106.082	115.659	10	A006_Link05	F	Nakason	Central	Luwero	3001	129	479	380	844	469	40	150	186	254	199	129	0	10490790
A006	115.659	167.554	52	A006_Link06	F	Nakason	Central	Luwero	2886	125	461	366	811	451	39	144	179	244	191	125	0	54673270
A006	167.554	167.875	0	A006_Link06	F	Nakason	Central	Luwero	1964	84	314	249	551	307	27	98	121	166	130	84	0	230114
A006	167.875	167.942	0	A006_Link07	F	Nakason	Central	Luwero	1964	84	314	249	551	307	27	98	121	166	130	84	0	48030
A006	167.942	176.763	9	A006_Link07	F	Masindi	Western	Masindi	1964	84	314	249	551	307	27	98	121	166	130	84	0	6323462

A006	176.763	186.301	10	A006_Link07	F	Kiryando	Western	Masindi	1964	84	314	249	551	307	27	98	121	166	130	84	0	6837454
A006	186.301	197.551	11	A006_Link07	F	Kiryando	Western	Masindi	3494	403	1667	322	690	219	10	103	138	204	141	403	0	14346530
A006	197.551	254.286	57	A006_Link08	F	Kiryando	Western	Masindi	3391	391	1619	313	669	213	10	100	134	198	136	391	0	70231389
A006	254.286	254.468	0	A006_Link09	F	Kiryando	Western	Masindi	3019	349	1441	278	596	189	9	89	119	177	121	349	0	200561
A006	254.468	256.323	2	A006_Link09	F	Nyoya	Northern	Gulu	3976	459	1898	366	785	249	12	117	157	233	160	459	0	2692364
A006	256.323	257.923	2	A006_Link09	F	Nyoya	Northern	Gulu	3931	453	1876	363	776	246	12	116	156	230	157	453	0	2295433
A006	257.923	258.096	0	A006_Link09	F	Nyoya	Northern	Gulu	3886	449	1855	359	767	243	12	114	154	227	156	449	0	245387
A006	258.096	264.295	6	A006_Link09	F	Oyam	Northern	Gulu	3886	449	1855	359	767	243	12	114	154	227	156	449	0	8792803
A006	264.295	266.443	2	A006_Link09	F	Oyam	Northern	Gulu	3987	850	1960	360	764	117	10	87	199	139	350	850	0	3125758
A006	266.443	290.683	24	A006_Link10	F	Oyam	Northern	Gulu	3776	806	1856	341	724	111	9	83	188	132	332	806	0	33412569
A006	290.683	294.206	4	A006_Link11	F	Oyam	Northern	Gulu	3529	753	1735	319	677	104	9	77	176	123	310	753	0	4537972
A006	294.206	328.178	34	A006_Link11	F	Gulu	Northern	Gulu	3529	753	1735	319	677	104	9	77	176	123	310	753	0	43759292
A006	328.178	391.196	63	A006_Link12	F	Gulu	Northern	Gulu	3529	753	1735	319	677	104	9	77	176	123	310	753	0	81173410
A006	391.196	396.342	5	A006_Link12	F	Amuru	Northern	Gulu	3529	753	1735	319	677	104	9	77	176	123	310	753	0	6628556
A006	396.342	433.617	37	A006_Link13	F	Amuru	Northern	Gulu	3529	753	1735	319	677	104	9	77	176	123	310	753	0	48013883
A007	0	3.751	4	A007_Link01	F	Tororo	Eastern	Tororo	15795	1712	10674	1130	1325	1082	29	35	383	582	553	1712	0	21624672
A007	3.751	22.866	19	A007_Link02	F	Tororo	Eastern	Tororo	15795	1712	10674	1130	1325	1082	29	35	383	582	553	1712	0	110198777
A007	22.866	37.451	15	A007_Link02	F	Mbale	Eastern	Mbale	15795	1712	10674	1130	1325	1082	29	35	383	582	553	1712	0	84083137
A007	37.451	38.565	1	A007_Link03	F	Mbale	Eastern	Mbale	19902	2158	13449	1424	1670	1364	37	44	483	734	697	2158	0	8092307
A007	38.565	43.93	5	A007_Link03	F	Mbale	Eastern	Mbale	21638	2345	14624	1548	1816	1483	39	47	524	798	758	2345	0	42372712
A007	43.93	47.679	4	A007_Link03	F	Mbale	Eastern	Mbale	24009	2602	16225	1718	2014	1645	44	53	582	886	842	2602	0	32853750
A007	47.679	48.437	1	A007_Link04	F	Mbale	Eastern	Mbale	6737	505	4182	548	756	516	9	45	256	181	244	505	0	1864030
A007	48.437	53.849	5	A007_Link04	F	Mbale	Eastern	Mbale	7297	546	4531	593	818	559	10	49	277	196	264	546	0	14413381
A007	53.849	58.546	5	A007_Link04	F	Mbale	Eastern	Mbale	8020	601	4979	652	899	615	12	53	304	215	291	601	0	13749573
A007	58.546	58.818	0	A007_Link04	F	Mbale	Eastern	Mbale	7460	559	4631	607	837	572	10	50	284	200	270	559	0	740603
A007	58.818	75.169	16	A007_Link04	F	Bukedea	Eastern	Mbale	7460	559	4631	607	837	572	10	50	284	200	270	559	0	44520559
A007	75.169	102.365	27	A007_Link04	F	Kumi	Eastern	Mbale	7460	559	4631	607	837	572	10	50	284	200	270	559	0	74049363
A007	102.365	103.315	1	A007_Link05	F	Kumi	Eastern	Mbale	6417	480	3983	521	720	492	9	43	243	172	233	480	0	2224996
A007	103.315	112.531	9	A007_Link05	F	Kumi	Eastern	Soroti	6417	480	3983	521	720	492	9	43	243	172	233	480	0	21584804
A007	112.531	133.453	21	A007_Link05	F	Ngora	Eastern	Soroti	6417	480	3983	521	720	492	9	43	243	172	233	480	0	49001439
A007	133.453	149.11	16	A007_Link05	F	Soroti	Eastern	Soroti	6417	480	3983	521	720	492	9	43	243	172	233	480	0	36670277
A007	149.11	157.064	8	A007_Link06	F	Soroti	Eastern	Soroti	5773	433	3585	469	647	442	8	38	219	155	210	433	0	16760452
A007	157.064	169.575	13	A007_Link06	F	Soroti	Eastern	Soroti	5532	414	3436	449	620	424	8	37	210	148	200	414	0	25263285
A007	169.575	178.708	9	A007_Link06	F	Soroti	Eastern	Soroti	5213	390	3237	424	585	399	7	35	198	140	189	390	0	17377055
A007	178.708	179.249	1	A007_Link06	F	Soroti	Eastern	Soroti	4731	354	2938	384	530	362	7	31	179	127	171	354	0	934249
A007	179.249	213.315	34	A007_Link06	F	Kaberam	Eastern	Soroti	4731	354	2938	384	530	362	7	31	179	127	171	354	0	58828333
A007	213.315	216.554	3	A007_Link06	F	Dokolo	Northern	Lira	6055	453	3760	492	679	464	9	40	230	163	219	453	0	7158516
A007	216.554	240.047	23	A007_Link07	F	Dokolo	Northern	Lira	6680	1810	2517	847	1284	289	74	150	396	396	727	1810	0	57283050
A007	240.047	250.757	11	A007_Link08	F	Dokolo	Northern	Lira	5582	1513	2104	708	1074	241	62	124	330	330	607	1513	0	21822665
A007	250.757	271.196	20	A007_Link08	F	Lira	Northern	Lira	5582	1513	2104	708	1074	241	62	124	330	330	607	1513	0	41646447
A007	271.196	287.24	16	A007_Link09	F	Lira	Northern	Lira	4454	1207	1679	564	856	193	50	99	264	264	484	1207	0	26080088
A007	287.24	298.28	11	A007_Link09	F	Kole	Northern	Lira	4454	1207	1679	564	856	193	50	99	264	264	484	1207	0	17945909
A007	298.28	302.572	4	A007_Link10	F	Kole	Northern	Lira	3050	827	1150	387	587	132	34	68	181	181	332	827	0	4778851
A007	302.572	342.236	40	A007_Link10	F	Oyam	Northern	Lira	3050	827	1150	387	587	132	34	68	181	181	332	827	0	44163174
A007N1	47.862	48.611	1	A007N1_Link01	F	Mbale	Eastern	Mbale	6737	505	4182	548	756	516	9	45	256	181	244	505	0	1841898
A007N1	48.611	48.612	0	A007N1_Link01	F	0	Eastern	Mbale	6737	505	4182	548	756	516	9	45	256	181	244	505	0	2459
A007N1	48.612	48.614	0	A007N1_Link01	F	0	Eastern	0	6737	505	4182	548	756	516	9	45	256	181	244	505	0	4918
A008	0	51.633	52	A008_Link01	F	Nyoya	Northern	Gulu	889	36	116	73	265	68	7	49	43	119	150	36	0	16752747
A008	51.633	106.039	54	A008_Link02	F	Nyoya	Northern	Gulu	2089	83	271	170	624	160	18	116	101	279	351	83	0	41483303
A008	106.039	106.06	0	A008_Link03	F	Nyoya	Northern	Gulu	3010	446	1932	178	298	116	9	41	121	160	156	446	0	23075
A008	106.06	107.772	2	A008_Link03	F	Nebbi	Northern	Arua	3010	446	1932	178	298	116	9	41	121	160	156	446	0	1881200
A008	107.772	110.739	3	A008_Link03	F	Nebbi	Northern	Arua	3073	455	1972	181	304	119	9	43	124	163	159	455	0	3327620
A008	110.739	159.509	49	A008_Link03	F	Nebbi	Northern	Arua	3411	505	2188	200	338	132	10	47	138	181	176	505	0	60710735
A008	159.509	214.976	55	A008_Link04	F	Nebbi	Northern	Arua	2000	136	264	234	616	136	15	80	124	249	281	136	0	40492619
A008	214.976	223.299	8	A008_Link04	F	Arua	Northern	Arua	2000	136	264	234	616	136	15	80	124	249	281	136	0	6076046
A008	223.299	229.252	6	A008_Link05	F	Arua	Northern	Arua	1440	98	190	169	444	98	10	58	89	179	203	98	0	3129029
A008	229.252	242.1	13	A008_Link05	F	Arua	Northern	Arua	8111	2622	5425	889	1093	84	22	46	126	320	105	2622	0	38038823
A008	242.1	251.389	9	A008_Link06	F	Arua	Northern	Arua	4947	1599	3308	542	667	52	13	28	77	196	64	1599	0	16772307
A008	251.389	260.61	9	A008_Link06	F	Maracha	Northern	Arua	4947	1599	3308	542	667	52	13	28	77	196	64	1599	0	16649525
A008	260.61	292.003	31	A008_Link06	F	Koboko	Northern	Arua	4947	1599	3308	542	667	52	13	28	77	196	64	1599	0	56683500
A008	292.003	310.848	19	A008_Link07	F	Koboko	Northern	Arua	4276	762	2936	643	486	7	24	0	111	61	7	762	0	29410329
A009	0	5.305	5	A009_Link01	F	Kampala	Central	Kampala	9185	453	3720	957	1208	1819	52	119	742	466	101	453	0	17784205
A009	5.305	5.412	0	A009_Link02	F	Kampala	Central	Kampala	9185	453	3720	957	1208	1819	52	119	742	466	101	453	0	358701
A009	5.412	48.987	44	A009_Link02	F	Wakiso	Central	Kampala	9185	453	3720	957	1208	1819	52	119	742	466	101	453	0	146078556
A009	48.987	49.432	0	A009_Link02	F	Wakiso	Central	Kampala	6595	325	2672	687	867	1306	37	85	533	334	73	325	0	1071205

A009	49.432	49.44	0	A009_Link02	F	Wakiso	Central	Kampala	9185	453	3720	957	1208	1819	52	119	742	466	101	453	0	26819
A009	49.44	50.864	1	A009_Link02	F	Mityana	Central	Kampala	9185	453	3720	957	1208	1819	52	119	742	466	101	453	0	4773743
A009	50.864	68.544	18	A009_Link03	F	Mityana	Central	Kampala	4174	206	1691	435	549	827	24	54	337	211	46	206	0	26938046
A009	68.544	68.601	0	A009_Link03	F	Kiboga	Central	Kampala	4174	206	1691	435	549	827	24	54	337	211	46	206	0	86848
A009	68.601	70.944	2	A009_Link03	F	Kiboga	Central	Kampala	9185	453	3720	957	1208	1819	52	119	742	466	101	453	0	7854551
A009	70.944	94.863	24	A009_Link03	F	Kiboga	Western	Kampala	9185	453	3720	957	1208	1819	52	119	742	466	101	453	0	80184807
A009	94.863	100.864	6	A009_Link03	F	Kyankwa	Western	Kampala	9185	453	3720	957	1208	1819	52	119	742	466	101	453	0	20117439
A009	100.864	102.517	2	A009_Link04	F	Kyankwa	Western	Kampala	9185	453	3720	957	1208	1819	52	119	742	466	101	453	0	5541431
A009	102.517	176.918	74	A009_Link04	F	Kyankwa	Western	Hoima	9185	453	3720	957	1208	1819	52	119	742	466	101	453	0	249418030
A009	176.918	196.375	19	A009_Link04	F	Hoima	Western	Hoima	9185	453	3720	957	1208	1819	52	119	742	466	101	453	0	65226631
A009	196.375	197.364	1	A009_Link04	F	0	Western	Hoima	9185	453	3720	957	1208	1819	52	119	742	466	101	453	0	3315472
A010	0	9.118	9	A010_Link01	F	Kampala	Central	Kampala	9185	453	3720	957	1208	1819	52	119	742	466	101	453	0	30566707
A010	9.118	9.144	0	A010_Link01	F	0	Central	Kampala	9185	453	3720	957	1208	1819	52	119	742	466	101	453	0	87161
A012	0	21.91	22	A012_Link01	F	Iganga	Eastern	Jinja	19087	1430	11849	1551	2140	1463	28	126	725	513	691	1430	0	152640970
A012	21.91	46.333	24	A012_Link01	F	Namutu	Eastern	Jinja	19087	1430	11849	1551	2140	1463	28	126	725	513	691	1430	0	170148353
A012	46.333	46.42	0	A012_Link02	F	Namutu	Eastern	Jinja	19087	1430	11849	1551	2140	1463	28	126	725	513	691	1430	0	606105
A012	46.42	51.081	5	A012_Link02	F	Kibuku	Eastern	Mbale	19087	1430	11849	1551	2140	1463	28	126	725	513	691	1430	0	32471911
A012	51.081	74.549	23	A012_Link03	F	Kibuku	Eastern	Mbale	19087	1430	11849	1551	2140	1463	28	126	725	513	691	1430	0	163495130
A012	74.549	89.94	15	A012_Link03	F	Budaka	Eastern	Mbale	19087	1430	11849	1551	2140	1463	28	126	725	513	691	1430	0	107224882
A012	89.94	93.103	3	A012_Link04	F	Budaka	Eastern	Mbale	19087	1430	11849	1551	2140	1463	28	126	725	513	691	1430	0	22035755
A012	93.103	99.109	6	A012_Link04	F	Mbale	Eastern	Mbale	19087	1430	11849	1551	2140	1463	28	126	725	513	691	1430	0	41842157
A012	99.109	99.335	0	A012_Link04	F	0	Eastern	0	19087	1430	11849	1551	2140	1463	28	126	725	513	691	1430	0	1574480
B100	0	7.616	8	B100_Link01	F	Kampala	Central	Kampala	17467	467	9463	2512	2396	1879	49	15	843	298	12	467	0	48555154
B100	7.616	13.346	6	B100_Link01	F	Wakiso	Central	Kampala	17467	467	9463	2512	2396	1879	49	15	843	298	12	467	0	36531123
B100	13.346	22.725	9	B100_Link02	F	Wakiso	Central	Kampala	17467	467	9463	2512	2396	1879	49	15	843	298	12	467	0	59795010
B100	22.725	33.5	11	B100_Link02	F	Mukono	Central	Kampala	17467	467	9463	2512	2396	1879	49	15	843	298	12	467	0	68695088
B101	0	17.866	18	B101_Link01	F	Mukono	Central	Kampala	20864	376	11674	2682	2423	2551	160	11	769	549	45	376	0	136055875
B101	17.866	43.269	25	B101_Link02	F	Mukono	Central	Kampala	20864	376	11674	2682	2423	2551	160	11	769	549	45	376	0	193452781
B101	43.269	43.366	0	B101_Link02	F	Mukono	Central	Kampala	20237	364	11324	2601	2350	2475	155	11	746	532	44	364	0	716506
B101	43.366	47.397	4	B101_Link02	F	Kayunga	Central	Kampala	20237	364	11324	2601	2350	2475	155	11	746	532	44	364	0	29775632
B101	47.397	49.539	2	B101_Link02	F	Kayunga	Central	Kampala	2033	111	1502	91	177	119	15	0	69	48	12	111	0	1589171
B101	49.539	68.658	19	B101_Link03	U	Kayunga	Central	Kampala	1993	109	1472	89	173	117	15	0	67	47	12	109	0	13909828
B101	68.658	69.696	1	B101_Link03	U	Kayunga	Central	Jinja	1993	109	1472	89	173	117	15	0	67	47	12	109	0	755186
B101	69.696	70.026	0	B101_Link04	U	Kayunga	Central	Jinja	1993	109	1472	89	173	117	15	0	67	47	12	109	0	240088
B101	70.026	83.227	13	B101_Link04	U	Kamuli	Eastern	Jinja	2051	112	1515	91	178	120	15	0	69	49	13	112	0	9883968
B102	0	16.338	16	B102_Link01	F	Buikwe	Central	Kampala	3388	186	2503	151	295	199	25	0	115	80	21	186	0	20204436
B102	16.338	42.459	26	B102_Link01	F	Kayunga	Central	Kampala	3388	186	2503	151	295	199	25	0	115	80	21	186	0	32302613
B102	42.459	42.591	0	B102_Link01	F	0	Central	0	3388	186	2503	151	295	199	25	0	115	80	21	186	0	163238
B103	0	5.423	5	B103_Link01	F	Masaka	Central	Masaka	1665	120	1100	244	130	21	0	0	116	51	2	120	0	3295294
B103	5.423	10.113	5	B103_Link01	F	Kalungu	Central	Masaka	1665	120	1100	244	130	21	0	0	116	51	2	120	0	2849886
B103	10.113	10.114	0	B103_Link02	F	Kalungu	Central	Masaka	1665	120	1100	244	130	21	0	0	116	51	2	120	0	608
B103	10.114	33.493	23	B103_Link02	F	Bukoma	Central	Masaka	1665	120	1100	244	130	21	0	0	116	51	2	120	0	14206285
B103	33.493	89.399	56	B103_Link02	F	Sembab	Central	Masaka	1665	120	1100	244	130	21	0	0	116	51	2	120	0	33971367
B103	89.399	103.305	14	B103_Link02	F	Sembab	Central	Masaka	666	51	186	99	137	69	13	29	74	43	16	51	0	3380001
B103	103.305	103.315	0	B103_Link02	F	Sembab	Central	Masaka	843	64	235	125	173	87	17	37	94	54	20	64	0	3075
B103	103.315	105.413	2	B103_Link02	F	Mubend	Central	Mubend	843	64	235	125	173	87	17	37	94	54	20	64	0	645179
B103	105.413	124.213	19	B103_Link03	U	Mubend	Central	Mubend	843	64	235	125	173	87	17	37	94	54	20	64	0	5781394
B103	124.213	124.223	0	B103_Link04	U	Mubend	Central	Mubend	843	64	235	125	173	87	17	37	94	54	20	64	0	3075
B103	124.223	141.502	17	B103_Link04	U	Mubend	Central	Mubend	1672	134	1285	145	81	55	1	1	56	44	3	134	0	10542177
B150	0	18.949	19	B150_Link01	F	Mbarara	Southern	Mbarara	2695	206	1141	813	337	162	6	8	176	39	13	206	0	18639349
B150	18.949	38.148	19	B150_Link02	F	Mbarara	Southern	Mbarara	2695	206	1141	813	337	162	6	8	176	39	13	206	0	18885263
B150	38.148	64.755	27	B150_Link02	F	Ibanda	Southern	Mbarara	2695	206	1141	813	337	162	6	8	176	39	13	206	0	26172207
B150	64.755	97.61	33	B150_Link03	F	Ibanda	Southern	Mbarara	2695	206	1141	813	337	162	6	8	176	39	13	206	0	32318107
B150	97.61	109.216	12	B150_Link03	F	Kamwen	Western	Mbarara	2341	179	991	706	292	141	6	7	153	34	11	179	0	9916251
B150	109.216	109.265	0	B150_Link04	F	Kamwen	Western	Mbarara	2341	179	991	706	292	141	6	7	153	34	11	179	0	41866
B150	109.265	125.757	16	B150_Link04	F	Kamwen	Western	Fortporta	2341	179	991	706	292	141	6	7	153	34	11	179	0	14090886
B150	125.757	173.996	48	B150_Link04	F	Kabarole	Western	Fortporta	2341	179	991	706	292	141	6	7	153	34	11	179	0	41215755
B151	0	4.934	5	B151_Link01	F	Mbarara	Southern	Mbarara	1423	93	883	225	119	19	1	3	34	79	60	93	0	2563122
B151	4.934	22.993	18	B151_Link02	F	Mbarara	Southern	Mbarara	1423	93	883	225	119	19	1	3	34	79	60	93	0	9381316
B151	22.993	31.105	8	B151_Link02	F	Sheema	Southern	Mbarara	1423	93	883	225	119	19	1	3	34	79	60	93	0	4214034
B151	31.105	50.674	20	B151_Link03	F	Sheema	Southern	Mbarara	1423	93	883	225	119	19	1	3	34	79	60	93	0	10165733
B151	50.674	59.183	9	B151_Link03	F	Busheny	Southern	Mbarara	1423	93	883	225	119	19	1	3	34	79	60	93	0	4420268
B152	0	15.229	15	B152_Link01	F	Ntungam	Southern	Kabale	1423	93	883	225	119	19	1	3	34	79	60	93	0	7911183
B152	15.229	29.509	14	B152_Link02	F	Ntungam	Southern	Kabale	1423	93	883	225	119	19	1	3	34	79	60	93	0	7418195
B152	29.509	39.659	10	B152_Link02	F	Sheema	Southern	Kabale	1423	93	883	225	119	19	1	3	34	79	60	93	0	5272737

B152	39.659	51.059	11	B152_Link02	F	Busheny	Southern	Kabale	1423	93	883	225	119	19	1	3	34	79	60	93	0	5922089
B152	51.059	51.135	0	B152_Link02	F	Busheny	Southern	Mbarara	1423	93	883	225	119	19	1	3	34	79	60	93	0	39481
B152	51.135	77.034	26	B152_Link03	F	Busheny	Southern	Mbarara	4509	236	2196	603	448	482	10	21	205	262	282	236	0	42626936
B152	77.034	89.537	13	B152_Link03	F	Rubirizi	Southern	Mbarara	4509	236	2196	603	448	482	10	21	205	262	282	236	0	20578578
B152	89.537	90.435	1	B152_Link03	F	Rubirizi	Southern	Kasese	4509	236	2196	603	448	482	10	21	205	262	282	236	0	1478010
B152	90.435	108.355	18	B152_Link04	F	Rubirizi	Southern	Kasese	4509	236	2196	603	448	482	10	21	205	262	282	236	0	29494370
B152	108.355	123.499	15	B152_Link04	F	Kasese	Southern	Kasese	4509	236	2196	603	448	482	10	21	205	262	282	236	0	24925376
B152	123.499	123.535	0	B152_Link04	F	0	Southern	Kasese	4509	236	2196	603	448	482	10	21	205	262	282	236	0	59252
B153	0	41.999	42	B153_Link01	F	Kabale	Southern	Kabale	1423	93	883	225	119	19	1	3	34	79	60	93	0	21817702
B153	41.999	53.236	11	B153_Link02	F	Kabale	Southern	Kabale	1423	93	883	225	119	19	1	3	34	79	60	93	0	5837413
B153	53.236	75.844	23	B153_Link02	F	Kisoro	Southern	Kabale	1423	93	883	225	119	19	1	3	34	79	60	93	0	11744437
B153	75.844	87.829	12	B153_Link03	F	Kisoro	Southern	Kabale	1423	93	883	225	119	19	1	3	34	79	60	93	0	6225985
B153	87.829	87.87	0	B153_Link03	F	0	Southern	Kabale	1423	93	883	225	119	19	1	3	34	79	60	93	0	21299
B200	0	43.263	43	B200_Link01	F	Masindi	Western	Masindi	1098	279	596	155	130	78	7	12	39	70	10	279	0	17336416
B201	0	13.417	13	B201_Link01	U	Kiryando	Western	Masindi	1098	279	596	155	130	78	7	12	39	70	10	279	0	5376481
B201	13.417	39.058	26	B201_Link01	U	Masindi	Western	Masindi	1098	279	596	155	130	78	7	12	39	70	10	279	0	10274901
B202	0	35.329	35	B202_Link01	F	Kyenjojo	Western	Fortporta	899	13	521	145	103	34	0	3	53	28	11	13	0	11589668
B202	35.329	37.35	2	B202_Link01	F	Kibaale	Western	Fortporta	899	13	521	145	103	34	0	3	53	28	11	13	0	662988
B202	37.35	37.9	1	B202_Link01	F	Kibaale	Western	Hoima	899	13	521	145	103	34	0	3	53	28	11	13	0	180427
B202	37.9	52.844	15	B202_Link02	F	Kibaale	Western	Hoima	899	13	521	145	103	34	0	3	53	28	11	13	0	4902375
B202	52.844	52.9	0	B202_Link02	F	Kibaale	Western	Hoima	691	48	447	123	53	25	1	0	21	18	3	48	0	14117
B202	52.9	84.911	32	B202_Link03	F	Kibaale	Western	Hoima	691	48	447	123	53	25	1	0	21	18	3	48	0	8069758
B202	84.911	84.99	0	B202_Link03	F	Hoima	Western	Hoima	691	48	447	123	53	25	1	0	21	18	3	48	0	19915
B202	84.99	102.604	18	B202_Link03	F	Hoima	Western	Hoima	793	55	513	141	61	28	1	0	25	20	4	55	0	5098471
B202	102.604	134.107	32	B202_Link04	F	Hoima	Western	Hoima	793	55	513	141	61	28	1	0	25	20	4	55	0	9118721
B202	134.107	144.541	10	B202_Link05	F	Hoima	Western	Hoima	793	55	513	141	61	28	1	0	25	20	4	55	0	3020180
B202	144.541	144.624	0	B202_Link05	F	0	Western	Hoima	793	55	513	141	61	28	1	0	25	20	4	55	0	24025
B202	144.624	144.68	0	B202_Link05	F	0	Western	0	793	55	513	141	61	28	1	0	25	20	4	55	0	16210
B203	0	21.481	21	B203_Link01	F	Mubend	Central	Mubend	2458	121	1768	232	146	94	1	1	120	85	9	121	0	19270759
B203	21.481	21.558	0	B203_Link01	F	Kibaale	Western	Mubend	2458	121	1768	232	146	94	1	1	120	85	9	121	0	69077
B203	21.558	30.499	9	B203_Link01	F	Kibaale	Western	Mubend	2065	102	1485	195	123	80	1	1	101	72	8	102	0	6739872
B203	30.499	72.359	42	B203_Link02	U	Kibaale	Western	Mubend	1377	67	990	129	82	53	1	1	67	48	4	67	0	21036502
B203	72.359	107.218	35	B203_Link02	U	Kibaale	Western	Hoima	1377	67	990	129	82	53	1	1	67	48	4	67	0	17518190
B203	107.218	107.499	0	B203_Link02	U	Hoima	Western	Hoima	1377	67	990	129	82	53	1	1	67	48	4	67	0	141215
B203	107.499	123.216	16	B203_Link03	U	Hoima	Western	Hoima	1377	67	990	129	82	53	1	1	67	48	4	67	0	7898488
B203	123.216	123.448	0	B203_Link03	U	0	Western	Hoima	1377	67	990	129	82	53	1	1	67	48	4	67	0	116590
B203	123.448	123.499	0	B203_Link03	U	0	Western	0	1377	67	990	129	82	53	1	1	67	48	4	67	0	25630
B203	123.499	123.5	0	B203_Link03	U	0	Western	0	1377	67	990	129	82	53	1	1	67	48	4	67	0	503
B204	0	19.639	20	B204_Link01	U	Hoima	Western	Masindi	793	55	513	141	61	28	1	0	25	20	4	55	0	5684619
B204	19.639	19.64	0	B204_Link01	U	Masindi	Western	Masindi	793	55	513	141	61	28	1	0	25	20	4	55	0	289
B204	19.64	32.129	12	B204_Link01	U	Masindi	Western	Masindi	1098	279	596	155	130	78	7	12	39	70	10	279	0	5004611
B204	32.129	51.769	20	B204_Link01	U	Masindi	Western	Hoima	1098	279	596	155	130	78	7	12	39	70	10	279	0	7870171
B250	0	13.764	14	B250_Link01	U	Amuru	Northern	Gulu	12356	1834	7963	1333	1757	236	43	121	367	430	105	1834	0	62075201
B250	13.764	13.776	0	B250_Link01	U	Amuru	Northern	Gulu	6468	960	4169	698	920	123	22	64	193	225	55	960	0	28332
B250	13.776	65.513	52	B250_Link01	U	Adjuman	Northern	Moyo	6468	960	4169	698	920	123	22	64	193	225	55	960	0	122149696
B250	65.513	65.552	0	B250_Link01	U	Moyo	Northern	Moyo	6468	960	4169	698	920	123	22	64	193	225	55	960	0	92078
B250	65.552	91.58	26	B250_Link01	U	Moyo	Northern	Moyo	9187	1363	5920	991	1307	175	31	90	274	320	79	1363	0	87279037
B250	91.58	112.063	20	B250_Link02	U	Moyo	Northern	Moyo	1034	591	535	142	185	28	1	6	67	53	16	591	0	7731369
B250	112.063	112.091	0	B250_Link02	U	Moyo	Northern	Moyo	1416	810	733	194	253	39	3	7	90	74	22	810	0	14475
B250	112.091	157.396	45	B250_Link02	U	Yumbe	Northern	Moyo	1416	810	733	194	253	39	3	7	90	74	22	810	0	23421324
B250	157.396	157.534	0	B250_Link02	U	Yumbe	Northern	Arua	1416	810	733	194	253	39	3	7	90	74	22	810	0	71342
B250	157.534	202.893	45	B250_Link03	U	Yumbe	Northern	Arua	1416	810	733	194	253	39	3	7	90	74	22	810	0	23449241
B250	202.893	234.398	32	B250_Link03	U	Arua	Northern	Arua	1416	810	733	194	253	39	3	7	90	74	22	810	0	16287139
B250	234.398	234.657	0	B250_Link03	U	0	Northern	Arua	1416	810	733	194	253	39	3	7	90	74	22	810	0	133895
B251	0	18.942	19	B251_Link01	F	Gulu	Northern	Gulu	12356	1834	7963	1333	1757	236	43	121	367	430	105	1834	0	85427816
B251	18.942	61.734	43	B251_Link01	F	Nyoya	Northern	Gulu	12356	1834	7963	1333	1757	236	43	121	367	430	105	1834	0	192990555
B251	61.734	61.808	0	B251_Link01	F	0	Northern	Gulu	12356	1834	7963	1333	1757	236	43	121	367	430	105	1834	0	333738
B252	61.808	62.072	0	B252_Link01	U	Lira	Northern	Lira	7852	1760	6412	136	439	65	6	6	439	320	30	1760	0	756636
B252	62.072	103.364	41	B252_Link01	U	Lira	Northern	Lira	1963	440	1603	34	110	16	1	1	110	80	7	440	0	29586202
B252	103.364	103.537	0	B252_Link01	U	Pader	Northern	Lira	1963	440	1603	34	110	16	1	1	110	80	7	440	0	123957
B252	103.537	104.708	1	B252_Link01	U	Pader	Northern	Kitgum	1963	440	1603	34	110	16	1	1	110	80	7	440	0	839035
B252	104.708	115.976	11	B252_Link02	U	Pader	Northern	Kitgum	1963	440	1603	34	110	16	1	1	110	80	7	440	0	8073654
B252	115.976	123.526	8	B252_Link02	U	Pader	Northern	Kitgum	11894	2667	9714	206	664	99	9	9	664	484	44	2667	0	32776436
B252	123.526	166.308	43	B252_Link02	U	Pader	Northern	Kitgum	1982	487	1098	167	265	87	27	36	132	116	55	487	0	30954559
B252	166.308	166.355	0	B252_Link03	F	Pader	Northern	Kitgum	1982	487	1098	167	265	87	27	36	132	116	55	487	0	34006

B252	166.355	173.934	8	B252_Link03	F	Pader	Northern	Kitgum	2796	687	1547	236	375	123	39	50	187	163	77	687	0	7733770
B252	173.934	173.95	0	B252_Link03	F	Pader	Northern	Kitgum	3053	753	1690	258	409	133	41	56	203	178	84	753	0	17832
B252	173.95	181.835	8	B252_Link03	F	Kitgum	Northern	Kitgum	3053	753	1690	258	409	133	41	56	203	178	84	753	0	8787941
B252	181.835	186.063	4	B252_Link03	F	Kitgum	Northern	Kitgum	3251	800	1799	274	436	142	44	59	216	190	90	800	0	5016248
B252	186.063	218.689	33	B252_Link04	F	Kitgum	Northern	Kitgum	3251	800	1799	274	436	142	44	59	216	190	90	800	0	38708636
B252	218.689	231.519	13	B252_Link04	F	Lamwo	Northern	Kitgum	3251	800	1799	274	436	142	44	59	216	190	90	800	0	15221964
B252	231.519	251.856	20	B252_Link05	F	Lamwo	Northern	Kitgum	3251	800	1799	274	436	142	44	59	216	190	90	800	0	24128534
B252	251.856	252.031	0	B252_Link05	F	0	Northern	Kitgum	3251	800	1799	274	436	142	44	59	216	190	90	800	0	207626
B253	0	7.343	7	B253_Link01	U	Kiryando	Western	Masindi	559	106	479	12	24	9	1	1	25	8	0	106	0	1498383
B253	7.343	7.347	0	B253_Link02	U	Kiryando	Western	Masindi	343	449	277	12	19	3	1	0	25	6	0	449	0	501
B253	7.347	110.764	103	B253_Link02	U	Apac	Northern	Lira	452	591	364	16	25	4	1	0	33	7	0	591	0	17056864
B253	110.764	127.323	17	B253_Link03	U	Apac	Northern	Lira	3385	1578	2639	212	274	27	3	4	169	55	3	1578	0	20461041
B253	127.323	141.38	14	B253_Link03	U	Kole	Northern	Lira	3385	1578	2639	212	274	27	3	4	169	55	3	1578	0	17369458
B253	141.38	145.782	4	B253_Link03	U	Lira	Northern	Lira	3385	1578	2639	212	274	27	3	4	169	55	3	1578	0	5439308
B300	0	4.531	5	B300_Link01	F	Mbale	Eastern	Mbale	4430	146	2689	340	592	379	2	3	183	163	79	146	0	7326782
B300	4.531	6.341	2	B300_Link01	F	Mbale	Eastern	Mbale	4165	137	2528	320	556	355	2	3	172	154	74	137	0	2751696
B300	6.341	21.805	15	B300_Link01	F	Sironko	Eastern	Mbale	4165	137	2528	320	556	355	2	3	172	154	74	137	0	23509520
B300	21.805	26.216	4	B300_Link02	F	Sironko	Eastern	Mbale	3855	127	2340	296	515	329	2	3	159	142	68	127	0	6206433
B300	26.216	28.097	2	B300_Link02	F	Bulambu	Eastern	Mbale	3855	127	2340	296	515	329	2	3	159	142	68	127	0	2646633
B300	28.097	32.265	4	B300_Link02	F	Bulambu	Eastern	Mbale	1222	177	727	51	141	9	1	2	112	146	32	177	0	1859741
B300	32.265	58.098	26	B300_Link03	U	Bulambu	Eastern	Mbale	1036	150	616	43	119	8	1	2	95	124	28	150	0	9769192
B300	58.098	74.705	17	B300_Link03	U	Kween	Eastern	Mbale	1036	150	616	43	119	8	1	2	95	124	28	150	0	6280222
B300	74.705	74.788	0	B300_Link03	U	Nakapiri	Eastern	Mbale	1036	150	616	43	119	8	1	2	95	124	28	150	0	31388
B300	74.788	97.5	23	B300_Link03	U	Nakapiri	Eastern	Mbale	796	116	475	32	91	6	1	2	73	95	21	116	0	6602442
B300	97.5	104.443	7	B300_Link03	U	Nakapiri	Eastern	Moroto	796	116	475	32	91	6	1	2	73	95	21	116	0	2018349
B300	104.443	130.34	26	B300_Link04	U	Nakapiri	Eastern	Moroto	602	87	358	24	69	5	1	1	56	72	16	87	0	5690017
B300	130.34	161.786	31	B300_Link04	U	Nakapiri	Eastern	Moroto	843	150	266	72	260	19	3	6	41	157	19	150	0	9672919
B300	161.786	165.819	4	B300_Link05	F	Nakapiri	Eastern	Moroto	311	56	98	27	96	7	1	2	15	58	7	56	0	458396
B300	165.819	197.697	32	B300_Link05	F	Napak	Eastern	Moroto	311	56	98	27	96	7	1	2	15	58	7	56	0	3623298
B300	197.697	207.589	10	B300_Link05	F	Moroto	Eastern	Moroto	311	56	98	27	96	7	1	2	15	58	7	56	0	1124339
B300	207.589	217.492	10	B300_Link06	F	Moroto	Eastern	Moroto	311	56	98	27	96	7	1	2	15	58	7	56	0	1125589
B300	217.492	218.586	1	B300_Link06	F	0	Eastern	Moroto	311	56	98	27	96	7	1	2	15	58	7	56	0	124346
B301	0	30	30	B301_Link01	U	Napak	Eastern	Moroto	610	280	461	2	115	6	0	0	15	10	1	280	0	6680249
B301	30	56.306	26	B301_Link01	U	Napak	Eastern	Kotido	610	280	461	2	115	6	0	0	15	10	1	280	0	5857687
B301	56.306	83.373	27	B301_Link01	U	Kotido	Eastern	Kotido	610	280	461	2	115	6	0	0	15	10	1	280	0	6027143
B301	83.373	102.411	19	B301_Link02	U	Kotido	Eastern	Kotido	610	280	461	2	115	6	0	0	15	10	1	280	0	4239286
B301	102.411	137.26	35	B301_Link03	U	Kotido	Eastern	Kotido	420	193	318	1	79	3	0	0	10	7	1	193	0	5345123
B301	137.26	137.646	0	B301_Link03	U	Kaboong	Eastern	Kotido	420	193	318	1	79	3	0	0	10	7	1	193	0	59204
B301	137.646	200.904	63	B301_Link03	U	Kaboong	Eastern	Kotido	332	167	186	7	75	7	2	1	37	12	5	167	0	7671108
B301	200.904	201.391	0	B301_Link03	U	0	Eastern	Kotido	332	167	186	7	75	7	2	1	37	12	5	167	0	59057
B302	0	35.512	36	B302_Link01	U	Kotido	Eastern	Kotido	563	230	403	10	93	6	2	3	24	19	2	230	0	7292428
B302	35.512	63.821	28	B302_Link01	U	Abim	Eastern	Kotido	563	230	403	10	93	6	2	3	24	19	2	230	0	5813284
B302	63.821	76.379	13	B302_Link02	U	Abim	Eastern	Kotido	563	230	403	10	93	6	2	3	24	19	2	230	0	2578799
B302	76.379	83.01	7	B302_Link02	U	Agago	Northern	Kotido	720	295	516	13	119	7	3	4	31	24	3	295	0	1742700
B302	83.01	87.303	4	B302_Link02	U	Agago	Northern	Kitgum	720	295	516	13	119	7	3	4	31	24	3	295	0	1128248
B302	87.303	146.783	59	B302_Link02	U	Pader	Northern	Kitgum	720	295	516	13	119	7	3	4	31	24	3	295	0	15632004
B302	146.783	147.01	0	B302_Link02	U	0	Northern	Kitgum	720	295	516	13	119	7	3	4	31	24	3	295	0	59658
B303	0	7.899	8	B303_Link01	F	Soroti	Eastern	Soroti	5335	886	4519	227	320	79	1	12	144	32	2	886	0	15382948
B303	7.899	7.999	0	B303_Link01	F	Soroti	Eastern	Soroti	1332	221	1130	57	80	20	0	2	36	8	0	221	0	48634
B303	7.999	24.262	16	B303_Link02	F	Soroti	Eastern	Soroti	1332	221	1130	57	80	20	0	2	36	8	0	221	0	7909276
B303	24.262	76.065	52	B303_Link02	F	Amuria	Eastern	Soroti	1332	221	1130	57	80	20	0	2	36	8	0	221	0	25193644
B303	76.065	89.672	14	B303_Link02	F	Katakwi	Eastern	Soroti	1332	221	1130	57	80	20	0	2	36	8	0	221	0	6617569
B303	89.672	89.861	0	B303_Link02	F	Napak	Eastern	Moroto	1332	221	1130	57	80	20	0	2	36	8	0	221	0	91917
B303	89.861	158.248	68	B303_Link03	F	Napak	Eastern	Moroto	1332	221	1130	57	80	20	0	2	36	8	0	221	0	33259035
B303	158.248	158.36	0	B303_Link03	F	Moroto	Eastern	Moroto	1332	221	1130	57	80	20	0	2	36	8	0	221	0	54470
B303	158.36	158.675	0	B303_Link03	F	0	Eastern	Moroto	1332	221	1130	57	80	20	0	2	36	8	0	221	0	153196
B304	0	1.698	2	B304_Link01	F	Bulambu	Eastern	Mbale	1263	2	762	140	140	24	1	0	128	25	42	2	0	782750
B304	1.698	6.68	5	B304_Link01	F	Kapchor	Eastern	Mbale	1263	2	762	140	140	24	1	0	128	25	42	2	0	2296620
B304	6.68	32.649	26	B304_Link02	U	Kapchor	Eastern	Mbale	1263	2	762	140	140	24	1	0	128	25	42	2	0	11971284
B304	32.649	63.654	31	B304_Link02	U	Kween	Eastern	Mbale	1263	2	762	140	140	24	1	0	128	25	42	2	0	14292798
B304	63.654	105.214	42	B304_Link02	U	Bukwa	Eastern	Mbale	1263	2	762	140	140	24	1	0	128	25	42	2	0	19158480
B304	105.214	105.375	0	B304_Link02	U	0	Eastern	Mbale	1263	2	762	140	140	24	1	0	128	25	42	2	0	74218
B305	0	12.905	13	B305_Link01	U	Kibuku	Eastern	Mbale	1415	336	1212	37	71	51	1	0	20	19	5	336	0	6663309
B305	12.905	19.765	7	B305_Link01	U	Pallisa	Eastern	Mbale	1415	336	1212	37	71	51	1	0	20	19	5	336	0	3542061
B305	19.765	41.446	22	B305_Link02	U	Pallisa	Eastern	Mbale	2263	537	1939	59	113	81	2	0	31	30	7	537	0	17909639

B305	41.446	67.328	26	B305_Link03	U	Kumi	Eastern	Soroti	2263	537	1939	59	113	81	2	0	31	30	7	537	0	21379885
B306	0	7.1	7	B306_Link01	U	Tororo	Eastern	Tororo	1598	254	1177	127	76	64	3	8	57	82	2	254	0	4139980
B306	7.1	24.13	17	B306_Link01	U	Busia	Eastern	Tororo	1598	254	1177	127	76	64	3	8	57	82	2	254	0	9930120
B306	24.13	24.235	0	B306_Link01	U	0	Eastern	Tororo	1598	254	1177	127	76	64	3	8	57	82	2	254	0	61225
B307	0	23.16	23	B307_Link01	F	Jinja	Eastern	Jinja	3223	441	1532	238	287	785	28	8	157	179	8	441	0	27243854
B307	23.16	28.808	6	B307_Link02	F	Jinja	Eastern	Jinja	3223	441	1532	238	287	785	28	8	157	179	8	441	0	6643924
B307	28.808	49.296	20	B307_Link02	F	Kamuli	Eastern	Jinja	3223	441	1532	238	287	785	28	8	157	179	8	441	0	24100695
B307	49.296	55.793	6	B307_Link02	F	Kamuli	Eastern	Jinja	3447	472	1639	255	307	839	30	8	169	192	8	472	0	8175199
B307	55.793	71.653	16	B307_Link03	U	Kamuli	Eastern	Jinja	3447	472	1639	255	307	839	30	8	169	192	8	472	0	19956696
B307	71.653	108.627	37	B307_Link04	U	Kamuli	Eastern	Jinja	3447	472	1639	255	307	839	30	8	169	192	8	472	0	46524519
B307	108.627	122.88	14	B307_Link04	U	Buyende	Eastern	Jinja	3447	472	1639	255	307	839	30	8	169	192	8	472	0	17934602
B307	122.88	122.972	0	B307_Link04	U	0	Eastern	Jinja	3447	472	1639	255	307	839	30	8	169	192	8	472	0	115764
B308	0	16.905	17	B308_Link01	F	Busia	Eastern	Tororo	2940	1609	1500	214	219	441	5	17	128	128	287	1609	0	18143023
C001	0	2.758	3	C001_Link01	F	Kampala	Central	Kampala	2107	191	1044	171	241	205	9	3	186	245	3	191	0	2120923
C001	2.758	2.767	0	C001_Link01	F	0	Central	Kampala	2107	191	1044	171	241	205	9	3	186	245	3	191	0	6921
C002	0	3.825	4	C002_Link01	F	0	Central	Kampala	3420	822	1229	362	397	814	20	22	208	244	121	822	0	4774170
C003	0	23.464	23	C003_Link01	U	0	Central	Kampala	2107	191	1044	171	241	205	9	3	186	245	3	191	0	18043995
C003	23.464	41.578	18	C003_Link01	U	0	Central	Kampala	3420	822	1229	362	397	814	20	22	208	244	121	822	0	22608973
C004	0	12.351	12	C004_Link01	F	0	Central	Kampala	3420	822	1229	362	397	814	20	22	208	244	121	822	0	15415889
C004	12.351	15.79	3	C004_Link02	F	0	Central	Kampala	3420	822	1229	362	397	814	20	22	208	244	121	822	0	4292385
C004	15.79	21.023	5	C004_Link03	F	0	Central	Kampala	3420	822	1229	362	397	814	20	22	208	244	121	822	0	6531564
C004N1	12.33	15.79	3	C004N1_Link01	F	0	Central	Kampala	3420	822	1229	362	397	814	20	22	208	244	121	822	0	4318596
C005	0	1.833	2	C005_Link01	F	Kampala	Central	Kampala	2107	191	1044	171	241	205	9	3	186	245	3	191	0	1409591
C005	1.833	1.852	0	C005_Link01	F	0	Central	Kampala	2107	191	1044	171	241	205	9	3	186	245	3	191	0	14611
C005	1.852	12.2	10	C005_Link01	F	0	Central	0	2107	191	1044	171	241	205	9	3	186	245	3	191	0	7957691
C006	0	1.601	2	C006_Link01	U	Kampala	Central	Kampala	2107	191	1044	171	241	205	9	3	186	245	3	191	0	1231181
C006	1.601	1.602	0	C006_Link01	U	0	Central	Kampala	2107	191	1044	171	241	205	9	3	186	245	3	191	0	769
C006	1.602	20.295	19	C006_Link01	U	0	Central	Kampala	2107	191	1044	171	241	205	9	3	186	245	3	191	0	14375060
C007	0	1.908	2	C007_Link01	U	Kampala	Central	Kampala	2107	191	1044	171	241	205	9	3	186	245	3	191	0	1467267
C007	1.908	10.202	8	C007_Link01	U	0	Central	Kampala	2107	191	1044	171	241	205	9	3	186	245	3	191	0	6378149
C011	0	19.49	19	C011_Link01	U	0	Central	Kampala	2107	191	1044	171	241	205	9	3	186	245	3	191	0	14987959
C022	0	2.955	3	C022_Link01	F	Kampala	Central	Kampala	2107	191	1044	171	241	205	9	3	186	245	3	191	0	2272418
C022	2.955	4.607	2	C022_Link01	F	Wakiso	Central	Kampala	2107	191	1044	171	241	205	9	3	186	245	3	191	0	1270401
C022	4.607	4.634	0	C022_Link01	F	0	Central	Kampala	2107	191	1044	171	241	205	9	3	186	245	3	191	0	20763
C024	0	26.627	27	C024_Link01	F	Mukono	Central	Kampala	2990	325	1714	207	172	55	8	0	447	384	3	325	0	29058293
C024	26.627	26.643	0	C024_Link01	F	0	Central	Kampala	2990	325	1714	207	172	55	8	0	447	384	3	325	0	17461
C025	0	16.03	16	C025_Link01	F	Mukono	Central	Kampala	3162	583	2245	214	84	294	19	17	199	84	6	583	0	18500661
C025	16.03	27.926	12	C025_Link01	F	Buikwe	Central	Kampala	3162	583	2245	214	84	294	19	17	199	84	6	583	0	13729499
C025	27.926	38.334	10	C025_Link02	F	Buikwe	Central	Kampala	3162	583	2245	214	84	294	19	17	199	84	6	583	0	12012157
C026	0	4.05	4	C026_Link01	U	Buikwe	Central	Kampala	3162	583	2245	214	84	294	19	17	199	84	6	583	0	4674216
C027	0	10.804	11	C027_Link01	U	Buikwe	Central	Kampala	3162	583	2245	214	84	294	19	17	199	84	6	583	0	12469192
C028	0	9.791	10	C028_Link01	F	Buikwe	Central	Kampala	3162	583	2245	214	84	294	19	17	199	84	6	583	0	11300061
C029	0	9.8	10	C029_Link01	F	Buikwe	Central	Kampala	3162	583	2245	214	84	294	19	17	199	84	6	583	0	11310448
C029	9.8	24.509	15	C029_Link02	U	Buikwe	Central	Kampala	3162	583	2245	214	84	294	19	17	199	84	6	583	0	16976059
C030	0	9.029	9	C030_Link01	U	Buikwe	Central	Kampala	3162	583	2245	214	84	294	19	17	199	84	6	583	0	10420616
C030	9.029	16.859	8	C030_Link02	U	Buikwe	Central	Kampala	3162	583	2245	214	84	294	19	17	199	84	6	583	0	9036817
C034	0	3.523	4	C034_Link01	U	Buikwe	Central	Kampala	3162	583	2245	214	84	294	19	17	199	84	6	583	0	4065991
C035	0	0.931	1	C035_Link01	F	Kampala	Central	Kampala	2107	191	1044	171	241	205	9	3	186	245	3	191	0	715946
C036	0	3.128	3	C036_Link01	U	Wakiso	Central	Kampala	759	25	618	56	40	8	3	1	21	10	1	25	0	866889
C036	3.128	13.692	11	C036_Link01	U	Mukono	Central	Kampala	759	25	618	56	40	8	3	1	21	10	1	25	0	2927690
C037	0	2.202	2	C037_Link01	U	Mukono	Central	Kampala	2990	325	1714	207	172	55	8	0	447	384	3	325	0	2403063
C038	0	10.573	11	C038_Link01	U	Mukono	Central	Kampala	2990	325	1714	207	172	55	8	0	447	384	3	325	0	11538413
C039	0	1.733	2	C039_Link01	U	Buikwe	Central	Kampala	3162	583	2245	214	84	294	19	17	199	84	6	583	0	2000103
C040	0	8.723	9	C040_Link01	U	Buikwe	Central	Kampala	3162	583	2245	214	84	294	19	17	199	84	6	583	0	10067453
C041	0	34.267	34	C041_Link01	U	Mukono	Central	Kampala	859	93	493	60	49	16	2	0	128	110	1	93	0	10748858
C041	34.267	40.548	6	C041_Link01	U	Kayunga	Central	Kampala	859	93	493	60	49	16	2	0	128	110	1	93	0	1970221
C041	40.548	40.806	0	C041_Link01	U	0	Central	Kampala	859	93	493	60	49	16	2	0	128	110	1	93	0	80929
C042	0	0.859	1	C042_Link01	U	Buikwe	Central	Kampala	3162	583	2245	214	84	294	19	17	199	84	6	583	0	991395
C043	0	5.409	5	C043_Link01	U	Buikwe	Central	Kampala	3162	583	2245	214	84	294	19	17	199	84	6	583	0	6242675
C044	0	6.949	7	C044_Link01	U	Buikwe	Central	Kampala	3162	583	2245	214	84	294	19	17	199	84	6	583	0	8020031
C045	0	27.259	27	C045_Link01	U	Mukono	Central	Kampala	654	127	515	25	31	7	1	0	26	45	3	127	0	6502479
C045	27.259	38.549	11	C045_Link01	U	Mukono	Central	Kampala	157	30	124	6	8	1	0	0	7	11	1	30	0	648955
C046	0	13.621	14	C046_Link01	U	Mukono	Central	Luwero	2990	325	1714	207	172	55	8	0	447	384	3	325	0	14864724
C046	13.621	13.629	0	C046_Link01	U	Luwero	Central	Luwero	2990	325	1714	207	172	55	8	0	447	384	3	325	0	8730
C046	13.629	22.963	9	C046_Link01	U	Luwero	Central	Luwero	1507	310	910	211	183	91	10	2	81	16	2	310	0	5135296

C046	22.963	22.974	0	C046_Link01	U	0	Central	Luwero	1507	310	910	211	183	91	10	2	81	16	2	310	0	6052
C150	0	1.196	1	C150_Link01	U	Kampala	Central	Kampala	3511	259	1160	542	406	1038	42	2	265	52	3	259	0	1532561
C150	1.196	8.861	8	C150_Link01	U	Wakiso	Central	Kampala	3511	259	1160	542	406	1038	42	2	265	52	3	259	0	9821975
C150	8.861	11.116	2	C150_Link01	U	Wakiso	Central	Kampala	1264	93	417	196	146	373	15	1	96	19	1	93	0	1040653
C151	0	0.559	1	C151_Link01	U	Wakiso	Central	Kampala	2107	191	1044	171	241	205	9	3	186	245	3	191	0	429875
C151	0.559	0.56	0	C151_Link01	U	0	Central	Kampala	2107	191	1044	171	241	205	9	3	186	245	3	191	0	769
C152	0	7.564	8	C152_Link01	F	Wakiso	Central	Kampala	4747	152	3858	351	254	51	18	8	136	66	4	152	0	13105598
C152	7.564	14.326	7	C152_Link01	F	Mukono	Central	Kampala	4747	152	3858	351	254	51	18	8	136	66	4	152	0	11716031
C152	14.326	14.336	0	C152_Link01	F	0	Central	Kampala	4747	152	3858	351	254	51	18	8	136	66	4	152	0	17326
C152	14.336	14.879	1	C152_Link01	F	0	Central	0	4747	152	3858	351	254	51	18	8	136	66	4	152	0	940817
C153	0	8.684	9	C153_Link01	U	Wakiso	Central	Kampala	3264	241	1079	504	378	965	38	2	246	48	3	241	0	10346897
C154	0	15.256	15	C154_Link01	F	Wakiso	Central	Luwero	1948	759	1130	219	225	106	18	0	198	44	8	759	0	10848794
C154	15.256	15.345	0	C154_Link01	F	Luwero	Central	Luwero	1948	759	1130	219	225	106	18	0	198	44	8	759	0	63289
C154	15.345	26.717	11	C154_Link01	F	Luwero	Central	Luwero	1287	502	746	145	148	70	12	0	130	29	6	502	0	5341408
C154	26.717	39.679	13	C154_Link01	F	Nakasek	Central	Luwero	1287	502	746	145	148	70	12	0	130	29	6	502	0	6088228
C154	39.679	41.049	1	C154_Link02	U	Nakasek	Central	Luwero	2962	1154	1719	333	342	161	27	0	301	66	12	1154	0	1481032
C154	41.049	57.919	17	C154_Link02	U	Nakasek	Central	Luwero	1948	759	1130	219	225	106	18	0	198	44	8	759	0	11996536
C157	0	3.371	3	C157_Link01	F	Wakiso	Central	Kampala	2107	191	1044	171	241	205	9	3	186	245	3	191	0	2592325
C157	3.371	3.374	0	C157_Link01	F	0	Central	Kampala	2107	191	1044	171	241	205	9	3	186	245	3	191	0	2307
C158	0	1.508	2	C158_Link01	F	Wakiso	Central	Kampala	2107	191	1044	171	241	205	9	3	186	245	3	191	0	1159664
C158	1.508	1.517	0	C158_Link01	F	0	Central	Kampala	2107	191	1044	171	241	205	9	3	186	245	3	191	0	6921
C159	0	1.669	2	C159_Link01	U	Wakiso	Central	Kampala	2107	191	1044	171	241	205	9	3	186	245	3	191	0	1283474
C160	0	5.435	5	C160_Link01	U	Mpigi	Central	Mpigi	2107	191	1044	171	241	205	9	3	186	245	3	191	0	4179557
C160	5.435	19.789	14	C160_Link01	U	Wakiso	Central	Mpigi	2107	191	1044	171	241	205	9	3	186	245	3	191	0	11038336
C161	0	3.434	3	C161_Link01	F	Mpigi	Central	Mpigi	434	46	304	34	38	15	0	0	25	19	0	46	0	544227
C162	0	28.9	29	C162_Link01	F	Mpigi	Central	Mpigi	3552	250	2579	222	201	268	6	0	144	129	3	250	0	37471653
C162	28.9	53.577	25	C162_Link01	F	Butamba	Central	Mpigi	3552	250	2579	222	201	268	6	0	144	129	3	250	0	31996124
C162	53.577	59.028	5	C162_Link01	F	Gomba	Central	Mpigi	3552	250	2579	222	201	268	6	0	144	129	3	250	0	7067750
C162	59.028	70.375	11	C162_Link02	F	Gomba	Central	Mpigi	1485	25	872	143	139	181	3	0	84	46	16	25	0	6149614
C162	70.375	90.076	20	C162_Link03	F	Gomba	Central	Mpigi	1411	24	828	136	133	172	3	0	80	44	15	24	0	10143286
C162	90.076	126.231	36	C162_Link04	U	Gomba	Central	Mpigi	2805	298	1214	531	530	135	3	0	195	154	44	298	0	37021814
C162	126.231	155.653	29	C162_Link05	U	Gomba	Central	Mpigi	2805	298	1214	531	530	135	3	0	195	154	44	298	0	30127391
C162	155.653	156.088	0	C162_Link05	U	0	Central	Mpigi	2805	298	1214	531	530	135	3	0	195	154	44	298	0	445429
C163	0	7.882	8	C163_Link01	U	Mpigi	Central	Mpigi	1884	93	1487	96	100	123	3	0	52	24	0	93	0	5420560
C163	7.882	19.259	11	C163_Link01	U	Butamba	Central	Mpigi	1884	93	1487	96	100	123	3	0	52	24	0	93	0	7824119
C163	19.259	28.257	9	C163_Link01	U	Gomba	Central	Mpigi	1884	93	1487	96	100	123	3	0	52	24	0	93	0	6188048
C163	28.257	29	1	C163_Link01	U	0	Central	0	1884	93	1487	96	100	123	3	0	52	24	0	93	0	510971
C164	0	4.303	4	C164_Link01	U	Mpigi	Central	Mpigi	434	46	304	34	38	15	0	0	25	19	0	46	0	681948
C165	0	12.54	13	C165_Link01	U	Mpigi	Central	Mpigi	434	46	304	34	38	15	0	0	25	19	0	46	0	1987365
C166	0	22.099	22	C166_Link01	F	Gomba	Central	Masaka	664	76	413	33	83	29	1	0	63	38	3	76	0	5353250
C166	22.099	22.106	0	C166_Link01	F	Sembab	Central	Masaka	664	76	413	33	83	29	1	0	63	38	3	76	0	1696
C166	22.106	44.1	22	C166_Link02	F	Sembab	Central	Masaka	1043	120	648	52	130	46	2	0	99	60	6	120	0	8370990
C166	44.1	62.682	19	C166_Link03	U	Sembab	Central	Masaka	1108	229	830	91	65	21	13	0	51	30	6	229	0	7514872
C166	62.682	62.899	0	C166_Link03	U	Lwengo	Central	Masaka	1108	229	830	91	65	21	13	0	51	30	6	229	0	87758
C166	62.899	79.93	17	C166_Link04	U	Lwengo	Central	Masaka	954	198	715	79	56	18	11	0	44	26	4	198	0	5929648
C166	79.93	80.208	0	C166_Link04	U	0	Central	Masaka	954	198	715	79	56	18	11	0	44	26	4	198	0	96791
C167	0	7.66	8	C167_Link01	U	Gomba	Central	Mpigi	2845	141	2245	144	151	186	6	0	78	36	0	141	0	7953723
C167	7.66	7.668	0	C167_Link01	U	0	Central	Mpigi	2845	141	2245	144	151	186	6	0	78	36	0	141	0	8307
C168	0	2.038	2	C168_Link01	F	Wakiso	Central	Kampala	2107	191	1044	171	241	205	9	3	186	245	3	191	0	1567238
C168	2.038	2.049	0	C168_Link01	F	0	Central	Kampala	2107	191	1044	171	241	205	9	3	186	245	3	191	0	8459
C170	0	2.04	2	C170_Link01	F	Wakiso	Central	Kampala	2107	191	1044	171	241	205	9	3	186	245	3	191	0	1568776
C170	2.04	2.053	0	C170_Link01	F	0	Central	Kampala	2107	191	1044	171	241	205	9	3	186	245	3	191	0	9997
C171	0	2.625	3	C171_Link01	U	Wakiso	Central	Kampala	2107	191	1044	171	241	205	9	3	186	245	3	191	0	2018645
C172	0	6.573	7	C172_Link01	U	Wakiso	Central	Kampala	2107	191	1044	171	241	205	9	3	186	245	3	191	0	5054687
C173	0	2.12	2	C173_Link01	U	Wakiso	Central	Kampala	2107	191	1044	171	241	205	9	3	186	245	3	191	0	1630296
C173	2.12	2.121	0	C173_Link01	U	0	Central	Kampala	2107	191	1044	171	241	205	9	3	186	245	3	191	0	769
C174	0	9.625	10	C174_Link01	U	Wakiso	Central	Kampala	2107	191	1044	171	241	205	9	3	186	245	3	191	0	7401699
C175	0	5.446	5	C175_Link01	U	Wakiso	Central	Kampala	2906	93	2105	227	271	144	4	2	118	31	2	93	0	5775571
C176	0	4.026	4	C176_Link01	U	Wakiso	Central	Kampala	2107	191	1044	171	241	205	9	3	186	245	3	191	0	3096025
C176	4.026	4.048	0	C176_Link01	U	0	Central	Kampala	2107	191	1044	171	241	205	9	3	186	245	3	191	0	16918
C177	0	4.044	4	C177_Link01	U	Wakiso	Central	Kampala	2107	191	1044	171	241	205	9	3	186	245	3	191	0	3109867
C178	0	1.243	1	C178_Link01	U	Kampala	Central	Kampala	7732	306	4017	1062	759	909	39	15	623	279	29	306	0	3508113
C178	1.243	1.403	0	C178_Link01	U	Wakiso	Central	Kampala	7732	306	4017	1062	759	909	39	15	623	279	29	306	0	451567
C178	1.403	15.648	14	C178_Link01	U	Wakiso	Central	Kampala	4202	166	2183	577	413	494	21	8	339	152	16	166	0	21850541
C178	15.648	27.983	12	C178_Link01	U	Wakiso	Central	Kampala	1470	58	764	202	144	173	8	2	118	53	6	58	0	6619232

C178	27.983	28.107	0	C178_Link01	U	0	Central	Kampala	1470	58	764	202	144	173	8	2	118	53	6	58	0	66541
C179	0	1.593	2	C179_Link01	U	Wakiso	Central	Kampala	3549	337	1154	679	912	341	29	20	267	124	22	337	0	2063517
C179	1.593	1.598	0	C179_Link01	U	0	Central	Kampala	3549	337	1154	679	912	341	29	20	267	124	22	337	0	6477
C180	0	11.197	11	C180_Link01	U	Wakiso	Central	Mpigi	309	79	117	43	24	3	0	0	71	52	0	79	0	1264233
C180	11.197	11.258	0	C180_Link01	U	Mpigi	Central	Mpigi	309	79	117	43	24	3	0	0	71	52	0	79	0	6887
C180	11.258	21.578	10	C180_Link01	U	Mpigi	Central	Mpigi	434	46	304	34	38	15	0	0	25	19	0	46	0	1635535
C180	21.578	21.692	0	C180_Link01	U	Wakiso	Central	Mpigi	434	46	304	34	38	15	0	0	25	19	0	46	0	18067
C180	21.692	35.249	14	C180_Link01	U	Wakiso	Central	Mpigi	712	210	513	57	20	6	1	0	80	27	8	210	0	3523386
C180	35.249	35.426	0	C180_Link01	U	0	Central	Mpigi	712	210	513	57	20	6	1	0	80	27	8	210	0	46001
C181	0	1.985	2	C181_Link01	U	Wakiso	Central	Kampala	2107	191	1044	171	241	205	9	3	186	245	3	191	0	1526480
C181	1.985	1.989	0	C181_Link01	U	0	Central	Kampala	2107	191	1044	171	241	205	9	3	186	245	3	191	0	3076
C182	0	8.854	9	C182_Link01	U	Wakiso	Central	Kampala	1223	64	640	151	233	52	7	1	69	67	3	64	0	3951500
C182	8.854	8.869	0	C182_Link01	U	0	Central	Kampala	1223	64	640	151	233	52	7	1	69	67	3	64	0	6694
C183	0	0.783	1	C183_Link01	U	Wakiso	Central	Mpigi	2107	191	1044	171	241	205	9	3	186	245	3	191	0	602133
C183	0.783	0.785	0	C183_Link01	U	0	Central	Mpigi	2107	191	1044	171	241	205	9	3	186	245	3	191	0	1538
C184	0	17.028	17	C184_Link01	U	Wakiso	Central	Luwero	843	97	557	83	47	29	7	1	72	44	2	97	0	5236467
C184	17.028	23.138	6	C184_Link01	U	Wakiso	Central	Luwero	1507	310	910	211	183	91	10	2	81	16	2	310	0	3361545
C184	23.138	23.168	0	C184_Link01	U	0	Central	Luwero	1507	310	910	211	183	91	10	2	81	16	2	310	0	16505
C185	0	9.706	10	C185_Link01	U	Wakiso	Central	Luwero	2107	191	1044	171	241	205	9	3	186	245	3	191	0	7463988
C185	9.706	9.718	0	C185_Link01	U	Nakasek	Central	Luwero	2107	191	1044	171	241	205	9	3	186	245	3	191	0	9228
C185	9.718	14.338	5	C185_Link01	U	Nakasek	Central	Luwero	1287	502	746	145	148	70	12	0	130	29	6	502	0	2170006
C185	14.338	14.357	0	C185_Link01	U	0	Central	Luwero	1287	502	746	145	148	70	12	0	130	29	6	502	0	8924
C186	0	2.752	3	C186_Link01	U	Wakiso	Central	Luwero	587	91	523	15	18	7	1	1	15	7	1	91	0	589810
C186	2.752	14.632	12	C186_Link01	U	Nakasek	Central	Luwero	587	91	523	15	18	7	1	1	15	7	1	91	0	2546126
C186	14.632	14.651	0	C186_Link01	U	0	Central	Luwero	587	91	523	15	18	7	1	1	15	7	1	91	0	4072
C187	0	15.75	16	C187_Link01	U	Wakiso	Central	Kampala	495	112	360	33	37	4	0	0	42	18	1	112	0	2845287
C187	15.75	19.247	3	C187_Link01	U	Mityana	Central	Kampala	495	112	360	33	37	4	0	0	42	18	1	112	0	631744
C187	19.247	19.252	0	C187_Link01	U	0	Central	Kampala	495	112	360	33	37	4	0	0	42	18	1	112	0	903
C188	0	14.656	15	C188_Link01	U	Butamba	Central	Mpigi	780	78	561	55	55	21	2	0	21	60	3	78	0	4170053
C188	14.656	14.67	0	C188_Link01	U	0	Central	Mpigi	780	78	561	55	55	21	2	0	21	60	3	78	0	3983
C189	0	9.933	10	C189_Link01	U	Butamba	Central	Mpigi	3242	323	2335	229	229	89	9	0	89	247	13	323	0	11753502
C190	0	38.574	39	C190_Link01	U	Butamba	Central	Mpigi	924	46	729	47	49	60	1	0	26	11	0	46	0	13002615
C191	0	11.112	11	C191_Link01	U	Mpigi	Central	Mpigi	434	46	304	34	38	15	0	0	25	19	0	46	0	1761053
C191	11.112	11.119	0	C191_Link01	U	0	Central	Mpigi	434	46	304	34	38	15	0	0	25	19	0	46	0	1109
C193	0	9.888	10	C193_Link01	U	Wakiso	Central	Kampala	1205	85	712	179	157	53	2	1	69	27	4	85	0	4348013
C193	9.888	9.914	0	C193_Link01	U	0	Central	Kampala	1205	85	712	179	157	53	2	1	69	27	4	85	0	11433
C194	0	9.544	10	C194_Link01	U	Wakiso	Central	Kampala	1749	61	822	280	373	90	3	2	111	58	8	61	0	6093316
C194	9.544	17.887	8	C194_Link02	U	Wakiso	Central	Kampala	2990	178	1579	454	418	67	7	2	315	128	18	178	0	9104794
C194	17.887	17.937	0	C194_Link02	U	0	Central	Kampala	2990	178	1579	454	418	67	7	2	315	128	18	178	0	54565
C195	0	9.452	9	C195_Link01	U	0	Central	Kampala	1317	119	652	107	151	128	6	2	116	153	2	119	0	4544368
C196	0	2.889	3	C196_Link01	U	0	Central	Mpigi	434	46	304	34	38	15	0	0	25	19	0	46	0	457855
C197	0	2.56	3	C197_Link01	U	0	Central	Mpigi	1450	38	1216	76	66	20	1	0	43	21	6	38	0	1354833
C198	0	3.718	4	C198_Link01	F	0	Central	Mpigi	2107	191	1044	171	241	205	9	3	186	245	3	191	0	2859170
C199	0	1.484	1	C199_Link01	F	0	Central	Mpigi	2107	191	1044	171	241	205	9	3	186	245	3	191	0	1141207
C200	0	13.855	14	C200_Link01	U	0	Central	Mpigi	434	46	304	34	38	15	0	0	25	19	0	46	0	2195769
C201	0	21.105	21	C201_Link01	U	0	Central	Mpigi	1450	38	1216	76	66	20	1	0	43	21	6	38	0	11169434
C210	0	5.396	5	C210_Link01	F	Masaka	Central	Masaka	1144	238	856	97	74	4	2	1	66	43	0	238	0	2253128
C210	5.396	5.398	0	C210_Link01	F	0	Central	Masaka	1144	238	856	97	74	4	2	1	66	43	0	238	0	835
C211	0	30.752	31	C211_Link01	U	Masaka	Central	Masaka	756	101	503	108	53	27	1	0	46	18	0	101	0	8484681
C211	30.752	35.744	5	C211_Link02	U	Masaka	Central	Masaka	756	101	503	108	53	27	1	0	46	18	0	101	0	1377326
C211	35.744	35.791	0	C211_Link02	U	0	Central	Masaka	756	101	503	108	53	27	1	0	46	18	0	101	0	12968
C212	0	4.912	5	C212_Link01	U	Masaka	Central	Masaka	1144	238	856	97	74	4	2	1	66	43	0	238	0	2051031
C212	4.912	4.979	0	C212_Link01	U	0	Central	Masaka	1144	238	856	97	74	4	2	1	66	43	0	238	0	27976
C213	0	1.871	2	C213_Link01	U	Masaka	Central	Masaka	1144	238	856	97	74	4	2	1	66	43	0	238	0	781246
C213	1.871	1.874	0	C213_Link01	U	0	Central	Masaka	1144	238	856	97	74	4	2	1	66	43	0	238	0	1253
C214	0	8.696	9	C214_Link01	U	Lyantond	Central	Masaka	2304	354	1115	496	250	63	16	3	241	93	27	354	0	7312104
C214	8.696	48.889	40	C214_Link01	U	Rakai	Central	Masaka	2304	354	1115	496	250	63	16	3	241	93	27	354	0	33796619
C214	48.889	65.13	16	C214_Link02	F	Rakai	Central	Masaka	2304	354	1115	496	250	63	16	3	241	93	27	354	0	13656380
C215	0	25.792	26	C215_Link01	U	Kalungu	Central	Masaka	979	108	736	65	54	38	11	1	45	28	0	108	0	9212917
C215	25.792	35.107	9	C215_Link02	U	Kalungu	Central	Masaka	979	108	736	65	54	38	11	1	45	28	0	108	0	3327323
C215	35.107	35.134	0	C215_Link03	U	Kalungu	Central	Masaka	2845	141	2245	144	151	186	6	0	78	36	0	141	0	28035
C215	35.134	48.357	13	C215_Link03	U	Gomba	Central	Masaka	2845	141	2245	144	151	186	6	0	78	36	0	141	0	13730037
C216	0	25.882	26	C216_Link01	U	Kalungu	Central	Masaka	979	108	736	65	54	38	11	1	45	28	0	108	0	9245065
C216	25.882	25.918	0	C216_Link01	U	0	Central	Masaka	979	108	736	65	54	38	11	1	45	28	0	108	0	12859
C217	0	35.372	35	C217_Link01	U	Bukoma	Central	Masaka	679	133	385	119	43	15	1	0	26	89	2	133	0	8771814

C217	35.372	35.583	0	C217_Link01	U	0	Central	Masaka	679	133	385	119	43	15	1	0	26	89	2	133	0	52325
C218	0	31.956	32	C218_Link01	U	Masaka	Central	Masaka	2417	324	1609	345	169	87	3	0	147	57	0	324	0	28195624
C219	0	1.018	1	C219_Link01	U	Masaka	Central	Masaka	1144	238	856	97	74	4	2	1	66	43	0	238	0	425071
C220	0	3.757	4	C220_Link01	U	Masaka	Central	Masaka	1144	238	856	97	74	4	2	1	66	43	0	238	0	1568755
C221	0	8.024	8	C221_Link01	U	Rakai	Central	Masaka	1457	304	1089	124	94	6	3	2	84	54	0	304	0	4266321
C221	8.024	8.033	0	C221_Link01	U	Masaka	Central	Masaka	1457	304	1089	124	94	6	3	2	84	54	0	304	0	4785
C221	8.033	32.674	25	C221_Link02	U	Masaka	Central	Masaka	1457	304	1089	124	94	6	3	2	84	54	0	304	0	13101499
C221	32.674	32.745	0	C221_Link02	U	0	Central	Masaka	1457	304	1089	124	94	6	3	2	84	54	0	304	0	37750
C222	0	13.097	13	C222_Link01	U	Masaka	Central	Masaka	1144	238	856	97	74	4	2	1	66	43	0	238	0	5468720
C222	13.097	13.114	0	C222_Link01	U	0	Central	Masaka	1144	238	856	97	74	4	2	1	66	43	0	238	0	7098
C223	0	17.029	17	C223_Link01	U	Masaka	Central	Masaka	916	191	685	78	60	3	2	1	53	34	0	191	0	5691234
C223	17.029	17.097	0	C223_Link01	U	0	Central	Masaka	916	191	685	78	60	3	2	1	53	34	0	191	0	22726
C224	0	41.903	42	C224_Link01	U	Rakai	Central	Masaka	1457	304	1089	124	94	6	3	2	84	54	0	304	0	22279619
C225	0	60.76	61	C225_Link01	U	Lwengo	Central	Masaka	732	88	547	82	52	18	2	0	24	8	0	88	0	16240210
C225	60.76	60.928	0	C225_Link01	U	0	Central	Masaka	732	88	547	82	52	18	2	0	24	8	0	88	0	44904
C226	0	30.155	30	C226_Link01	U	Bukoma	Central	Masaka	679	133	385	119	43	15	1	0	26	89	2	133	0	7478064
C226	30.155	30.297	0	C226_Link01	U	Lyantond	Central	Masaka	679	133	385	119	43	15	1	0	26	89	2	133	0	35214
C226	30.297	80.665	50	C226_Link02	U	Lyantond	Central	Masaka	775	261	349	143	114	39	15	7	52	49	8	261	0	14248423
C226	80.665	80.79	0	C226_Link02	U	0	Central	Masaka	775	261	349	143	114	39	15	7	52	49	8	261	0	35361
C227	0	3.086	3	C227_Link01	U	Lyantond	Central	Masaka	2857	1147	2074	286	268	74	9	0	115	29	2	1147	0	3218270
C227	3.086	44.264	41	C227_Link01	U	Lyantond	Central	Masaka	902	337	631	117	79	24	3	0	38	10	0	337	0	13559151
C227	44.264	44.311	0	C227_Link01	U	0	Central	Masaka	902	337	631	117	79	24	3	0	38	10	0	337	0	15476
C228	0	12.334	12	C228_Link01	U	Sembab	Central	Masaka	1043	120	648	52	130	46	2	0	99	60	6	120	0	4694362
C228	12.334	12.339	0	C228_Link01	U	Sembab	Central	Mbarara	1043	120	648	52	130	46	2	0	99	60	6	120	0	1903
C228	12.339	18.18	6	C228_Link02	U	Sembab	Central	Mbarara	1043	120	648	52	130	46	2	0	99	60	6	120	0	2223104
C228	18.18	18.205	0	C228_Link02	U	Kiruhura	Southern	Mbarara	1200	139	746	60	150	53	3	0	114	69	6	139	0	10954
C228	18.205	41.997	24	C228_Link02	U	Kiruhura	Southern	Mbarara	1480	368	1068	196	106	21	4	0	70	8	8	368	0	12854333
C228	41.997	42.066	0	C228_Link02	U	0	Southern	Mbarara	1480	368	1068	196	106	21	4	0	70	8	8	368	0	37279
C229	0	34.539	35	C229_Link01	U	Kalangal	Central	Masaka	583	39	400	45	51	13	2	0	47	22	1	39	0	7345687
C229	34.539	34.652	0	C229_Link01	U	0	Central	Masaka	583	39	400	45	51	13	2	0	47	22	1	39	0	24033
C230	0	22.691	23	C230_Link01	U	Kalangal	Central	Masaka	317	29	234	16	22	6	0	0	25	13	1	29	0	2627215
C230	22.691	22.72	0	C230_Link01	U	0	Central	Masaka	317	29	234	16	22	6	0	0	25	13	1	29	0	3358
C230	22.72	34.705	12	C230_Link01	U	0	Central	Masaka	254	24	187	12	18	4	0	0	20	11	1	24	0	1112089
C231	0	4.5	5	C231_Link01	F	0	Central	Masaka	1457	304	1089	124	94	6	3	2	84	54	0	304	0	2392628
C232	0	1.33	1	C232_Link01	F	Lyantond	Central	Masaka	875	327	612	114	76	22	3	0	37	10	0	327	0	424839
C233	0	11.635	12	C233_Link01	U	0	Central	Masaka	1144	238	856	97	74	4	2	1	66	43	0	238	0	4858254
C234	0	12.763	13	C234_Link01	U	0	Central	Masaka	1144	238	856	97	74	4	2	1	66	43	0	238	0	5329256
C260	0	28.362	28	C260_Link01	U	Mityana	Central	Mpigi	1369	36	1147	72	63	19	1	0	40	20	6	36	0	14171647
C260	28.362	28.372	0	C260_Link01	U	0	Central	Mpigi	1369	36	1147	72	63	19	1	0	40	20	6	36	0	4997
C261	0	16.595	17	C261_Link01	U	Mityana	Central	Mpigi	1450	38	1216	76	66	20	1	0	43	21	6	38	0	8782599
C261	16.595	30.107	14	C261_Link02	U	Mityana	Central	Mpigi	1450	38	1216	76	66	20	1	0	43	21	6	38	0	7150978
C261	30.107	30.162	0	C261_Link02	U	0	Central	Mpigi	1450	38	1216	76	66	20	1	0	43	21	6	38	0	29108
C262	0	30.274	30	C262_Link01	U	Mityana	Central	Mpigi	1450	38	1216	76	66	20	1	0	43	21	6	38	0	16021959
C262	30.274	30.323	0	C262_Link01	U	Mityana	Central	Mpigi	2845	141	2245	144	151	186	6	0	78	36	0	141	0	50879
C262	30.323	36.594	6	C262_Link01	U	Gomba	Central	Mpigi	2845	141	2245	144	151	186	6	0	78	36	0	141	0	6511462
C263	0	1.829	2	C263_Link01	U	Mubend	Central	Mubend	1233	103	840	97	76	120	3	0	57	38	0	103	0	823033
C263	1.829	1.839	0	C263_Link01	U	0	Central	Mubend	1233	103	840	97	76	120	3	0	57	38	0	103	0	4500
C264	0	15.45	15	C264_Link01	U	Mubend	Central	Mubend	1233	103	840	97	76	120	3	0	57	38	0	103	0	6952355
C265	0	17.695	18	C265_Link01	U	Mubend	Central	Mubend	1233	103	840	97	76	120	3	0	57	38	0	103	0	7962584
C265	17.695	17.769	0	C265_Link01	U	Gomba	Central	Mpigi	1233	103	840	97	76	120	3	0	57	38	0	103	0	33299
C265	17.769	38.511	21	C265_Link02	U	Gomba	Central	Mpigi	2845	141	2245	144	151	186	6	0	78	36	0	141	0	21537354
C266	0	1.07	1	C266_Link01	U	Mubend	Central	Mubend	1233	103	840	97	76	120	3	0	57	38	0	103	0	481490
C267	0	0.136	0	C267_Link01	U	Mityana	Central	Mubend	1450	38	1216	76	66	20	1	0	43	21	6	38	0	71976
C267	0.136	0.137	0	C267_Link01	U	0	Central	Mubend	1450	38	1216	76	66	20	1	0	43	21	6	38	0	529
C268	0	0.136	0	C268_Link01	U	0	Central	Mubend	1450	38	1216	76	66	20	1	0	43	21	6	38	0	71976
C268	0.136	7.471	7	C268_Link01	U	Mityana	Central	Mubend	1450	38	1216	76	66	20	1	0	43	21	6	38	0	3881914
C269	0	2.558	3	C269_Link01	U	Mityana	Central	Mpigi	1450	38	1216	76	66	20	1	0	43	21	6	38	0	1353775
C269	2.558	2.577	0	C269_Link01	U	0	Central	Mpigi	1450	38	1216	76	66	20	1	0	43	21	6	38	0	10055
C270	0	8.002	8	C270_Link01	U	Mityana	Central	Mpigi	1450	38	1216	76	66	20	1	0	43	21	6	38	0	4234912
C270	8.002	8.09	0	C270_Link01	U	0	Central	Mpigi	1450	38	1216	76	66	20	1	0	43	21	6	38	0	46572
C271	0	18.662	19	C271_Link01	U	Mityana	Central	Mubend	1075	48	809	71	80	22	3	1	56	26	7	48	0	7325022
C271	18.662	41.198	23	C271_Link02	U	Mityana	Central	Mubend	449	99	367	24	27	2	0	0	18	10	1	99	0	3691838
C271	41.198	41.308	0	C271_Link02	U	Mubend	Central	Mubend	449	99	367	24	27	2	0	0	18	10	1	99	0	18020
C271	41.308	41.638	0	C271_Link02	U	Mubend	Central	Mubend	399	88	326	21	24	2	0	0	16	9	1	88	0	48099
C271	41.638	67.904	26	C271_Link03	U	Mubend	Central	Mubend	342	75	279	18	20	2	0	0	13	8	1	75	0	3278388

C271	67.904	68.137	0	C271_Link03	U	Kyankwa	Western	Hoima	342	75	279	18	20	2	0	0	13	8	1	75	0	29082
C271	68.137	87.605	19	C271_Link04	U	Kyankwa	Western	Hoima	766	181	678	25	17	3	1	0	29	12	0	181	0	5443288
C271	87.605	99.424	12	C271_Link04	U	Kyankwa	Western	Hoima	556	132	492	18	12	2	1	0	21	9	0	132	0	2397180
C271	99.424	107.323	8	C271_Link04	U	Kyankwa	Western	Hoima	544	30	444	19	21	13	0	0	26	20	0	30	0	1569677
C271	107.323	107.523	0	C271_Link04	U	0	Western	Hoima	544	30	444	19	21	13	0	0	26	20	0	30	0	39744
C272	0	20.08	20	C272_Link01	U	Mityana	Central	Mpigi	488	120	363	24	28	29	0	0	30	13	0	120	0	3578049
C273	0	16.86	17	C273_Link01	U	Mubend	Central	Mubend	874	73	596	69	54	85	2	0	40	27	0	73	0	5378628
C273	16.86	31.74	15	C273_Link02	U	Mubend	Central	Mubend	874	73	596	69	54	85	2	0	40	27	0	73	0	4746974
C273	31.74	47.168	15	C273_Link03	U	Mubend	Central	Mubend	874	73	596	69	54	85	2	0	40	27	0	73	0	4921795
C273	47.168	50.168	3	C273_Link03	U	Mubend	Western	Mubend	874	73	596	69	54	85	2	0	40	27	0	73	0	957051
C273	50.168	61.629	11	C273_Link03	U	Kiboga	Western	Mubend	874	73	596	69	54	85	2	0	40	27	0	73	0	3656254
C273	61.629	61.665	0	C273_Link03	U	0	Western	Mubend	874	73	596	69	54	85	2	0	40	27	0	73	0	11485
C274	0	20.227	20	C274_Link01	U	Mubend	Central	Mubend	2250	246	1696	124	126	67	4	1	195	31	4	246	0	16609416
C274	20.227	59.454	39	C274_Link02	U	Mubend	Central	Mubend	1381	142	1163	58	51	7	1	0	81	20	0	142	0	19777725
C274	59.454	59.689	0	C274_Link02	U	0	Central	Mubend	1381	142	1163	58	51	7	1	0	81	20	0	142	0	118484
C275	0	3.32	3	C275_Link01	U	Mubend	Central	Mubend	1144	238	856	97	74	4	2	1	66	43	0	238	0	1386283
C275	3.32	18.68	15	C275_Link01	U	0	Central	Mubend	1144	238	856	97	74	4	2	1	66	43	0	238	0	6413647
C275	18.68	18.868	0	C275_Link01	U	0	Central	0	1144	238	856	97	74	4	2	1	66	43	0	238	0	78500
C277	0	43.549	44	C277_Link01	U	Mubend	Central	Mubend	457	168	363	27	24	6	0	0	26	11	0	168	0	7259339
C277	43.549	43.59	0	C277_Link01	U	0	Central	Mubend	457	168	363	27	24	6	0	0	26	11	0	168	0	6834
C279	0	0.431	0	C279_Link01	U	Mubend	Central	Mubend	1144	238	856	97	74	4	2	1	66	43	0	238	0	179966
C279	0.431	9	9	C279_Link01	U	0	Central	0	1144	238	856	97	74	4	2	1	66	43	0	238	0	3578030
C280	0	7.73	8	C280_Link01	U	Mubend	Central	Mubend	1233	103	840	97	76	120	3	0	57	38	0	103	0	3478427
C281	0	4.879	5	C281_Link01	U	0	Central	Mubend	1233	103	840	97	76	120	3	0	57	38	0	103	0	2195504
C282	0	1	1	C282_Link01	U	0	Central	Mubend	1144	238	856	97	74	4	2	1	66	43	0	238	0	417555
C300	0	87.401	87	C300_Link01	U	Kayunga	Central	Kampala	3420	822	1229	362	397	814	20	22	208	244	121	822	0	109089479
C301	0	37.179	37	C301_Link01	U	Luwero	Central	Luwero	3064	917	2169	233	225	81	35	22	159	79	62	917	0	41581264
C301	37.179	37.188	0	C301_Link01	U	0	Central	Luwero	3064	917	2169	233	225	81	35	22	159	79	62	917	0	10066
C302	0	14.953	15	C302_Link01	F	Wakiso	Central	Luwero	8588	168	4321	1183	1322	807	58	12	632	218	35	168	0	46873810
C302	14.953	30.873	16	C302_Link01	F	Luwero	Central	Luwero	8588	168	4321	1183	1322	807	58	12	632	218	35	168	0	49905107
C302	30.873	42.374	12	C302_Link02	U	Luwero	Central	Luwero	8588	168	4321	1183	1322	807	58	12	632	218	35	168	0	36052678
C302	42.374	53.958	12	C302_Link03	U	Luwero	Central	Luwero	8588	168	4321	1183	1322	807	58	12	632	218	35	168	0	36312861
C302	53.958	53.98	0	C302_Link03	U	0	Central	Luwero	8588	168	4321	1183	1322	807	58	12	632	218	35	168	0	68964
C303	0	11.055	11	C303_Link01	U	Luwero	Central	Luwero	1507	310	910	211	183	91	10	2	81	16	2	310	0	6082140
C304	0	3.656	4	C304_Link01	U	Luwero	Central	Luwero	1607	139	1219	72	124	58	6	3	97	27	1	139	0	2145020
C304	3.656	34.054	30	C304_Link01	U	Nakasek	Central	Luwero	1607	139	1219	72	124	58	6	3	97	27	1	139	0	17834877
C304	34.054	34.106	0	C304_Link01	U	0	Central	Luwero	1607	139	1219	72	124	58	6	3	97	27	1	139	0	30509
C305	0	2.63	3	C305_Link01	U	Wakiso	Central	Luwero	2107	191	1044	171	241	205	9	3	186	245	3	191	0	2022490
C305	2.63	2.642	0	C305_Link01	U	Nakasek	Central	Luwero	2107	191	1044	171	241	205	9	3	186	245	3	191	0	9228
C305	2.642	15.486	13	C305_Link01	U	Nakasek	Central	Luwero	1287	502	746	145	148	70	12	0	130	29	6	502	0	6032804
C305	15.486	15.493	0	C305_Link01	U	0	Central	Luwero	1287	502	746	145	148	70	12	0	130	29	6	502	0	3288
C306	0	7.679	8	C306_Link01	U	Luwero	Central	Luwero	1287	502	746	145	148	70	12	0	130	29	6	502	0	3606813
C306	7.679	28.761	21	C306_Link01	U	Nakasek	Central	Luwero	1287	502	746	145	148	70	12	0	130	29	6	502	0	9902178
C307	0	82.212	82	C307_Link01	U	Nakasek	Central	Luwero	928	144	400	76	128	118	8	2	84	105	6	144	0	27847233
C308	0	12.733	13	C308_Link01	F	Nakason	Central	Luwero	546	211	361	36	52	49	3	2	27	11	3	211	0	2535510
C308	12.733	12.762	0	C308_Link01	F	0	Central	Luwero	546	211	361	36	52	49	3	2	27	11	3	211	0	5775
C309	0	6.678	7	C309_Link01	F	Nakason	Central	Luwero	546	211	361	36	52	49	3	2	27	11	3	211	0	1329784
C309	6.678	6.699	0	C309_Link01	F	0	Central	Luwero	546	211	361	36	52	49	3	2	27	11	3	211	0	4182
C310	0	20.718	21	C310_Link01	U	Kamuli	Eastern	Jinja	558	287	448	36	39	9	1	0	19	6	0	287	0	4219448
C310	20.718	20.749	0	C310_Link01	U	0	Eastern	Jinja	558	287	448	36	39	9	1	0	19	6	0	287	0	6313
C310	20.749	20.8	0	C310_Link01	U	0	Eastern	0	558	287	448	36	39	9	1	0	19	6	0	287	0	10387
C311	0	18.368	18	C311_Link01	U	Luwero	Central	Luwero	1507	310	910	211	183	91	10	2	81	16	2	310	0	10105541
C311	18.368	18.41	0	C311_Link01	U	0	Central	Luwero	1507	310	910	211	183	91	10	2	81	16	2	310	0	23107
C312	0	20.579	21	C312_Link01	U	Luwero	Central	Luwero	841	173	508	118	102	51	6	1	45	9	1	173	0	6320024
C312	20.579	20.724	0	C312_Link02	U	Luwero	Central	Luwero	1287	502	746	145	148	70	12	0	130	29	6	502	0	68106
C312	20.724	35.549	15	C312_Link02	U	Nakasek	Central	Luwero	1287	502	746	145	148	70	12	0	130	29	6	502	0	6963276
C313	0	16.881	17	C313_Link01	U	Luwero	Central	Luwero	933	190	678	45	92	67	1	0	38	10	0	190	0	5745735
C315	0	4.773	5	C315_Link01	U	Nakason	Central	Luwero	546	211	361	36	52	49	3	2	27	11	3	211	0	950443
C315	4.773	4.788	0	C315_Link01	U	0	Central	Luwero	546	211	361	36	52	49	3	2	27	11	3	211	0	2987
C315	4.788	14.867	10	C315_Link01	U	0	Central	Luwero	546	211	361	36	52	49	3	2	27	11	3	211	0	2007022
C316	0	27.15	27	C316_Link01	U	Nakasek	Central	Luwero	1287	502	746	145	148	70	12	0	130	29	6	502	0	12752306
C317	0	31.905	32	C317_Link01	U	Nakasek	Central	Luwero	400	51	267	20	35	18	4	0	42	9	6	51	0	4663389
C317	31.905	40.84	9	C317_Link02	U	Nakasek	Central	Luwero	400	51	267	20	35	18	4	0	42	9	6	51	0	1305983
C317	40.84	40.889	0	C317_Link02	U	0	Central	Luwero	400	51	267	20	35	18	4	0	42	9	6	51	0	7162
C318	0	22.082	22	C318_Link01	U	Nakason	Central	Luwero	546	211	361	36	52	49	3	2	27	11	3	211	0	4397168

C320	0	10.939	11	C320_Link01	U	Mityana	Central	Luwero	1450	38	1216	76	66	20	1	0	43	21	6	38	0	5789265
C320	10.939	10.991	0	C320_Link01	U	Mityana	Central	Luwero	1287	502	746	145	148	70	12	0	130	29	6	502	0	24424
C320	10.991	19.513	9	C320_Link01	U	Nakasek	Central	Luwero	1287	502	746	145	148	70	12	0	130	29	6	502	0	4002768
C325	0	83.131	83	C325_Link01	U	Luwero	Central	Luwero	944	364	623	62	89	84	7	4	47	20	7	364	0	28636362
C326	0	31.981	32	C326_Link01	U	Nakason	Central	Luwero	244	109	142	19	18	28	3	3	18	11	1	109	0	2849342
C326	31.981	70.071	38	C326_Link02	U	Nakason	Central	Luwero	244	109	142	19	18	28	3	3	18	11	1	109	0	3393623
C326	70.071	77.702	8	C326_Link03	U	Nakason	Central	Luwero	244	109	142	19	18	28	3	3	18	11	1	109	0	679883
C326	77.702	77.966	0	C326_Link03	U	0	Central	Luwero	244	109	142	19	18	28	3	3	18	11	1	109	0	23521
C327	0	7.457	7	C327_Link01	U	Nakasek	Central	Luwero	1287	502	746	145	148	70	12	0	130	29	6	502	0	3502540
C328	0	9.015	9	C328_Link01	U	0	Central	Luwero	1450	38	1216	76	66	20	1	0	43	21	6	38	0	4771023
C329	0	27.65	28	C329_Link01	U	0	Central	Luwero	1507	310	910	211	183	91	10	2	81	16	2	310	0	15212228
C330	0	29.735	30	C330_Link01	U	0	Central	Luwero	546	211	361	36	52	49	3	2	27	11	3	211	0	5921102
C331	0	7.079	7	C331_Link01	U	0	Central	Luwero	546	211	361	36	52	49	3	2	27	11	3	211	0	1409635
C332	0	57.024	57	C332_Link01	U	0	Central	Luwero	546	211	361	36	52	49	3	2	27	11	3	211	0	11355135
C333	0	34.8	35	C333_Link01	U	0	Central	Luwero	316	250	236	20	38	1	0	0	8	12	0	250	0	4014934
C334	0	32	32	C334_Link01	U	0	Central	Luwero	316	250	236	20	38	1	0	0	8	12	0	250	0	3691894
C350	0	3.6	4	C350_Link01	F	Mbarara	Southern	Mbarara	2903	231	1147	1006	356	92	3	6	155	123	14	231	0	3815140
C350	3.6	30.649	27	C350_Link01	F	Isingiro	Southern	Mbarara	2903	231	1147	1006	356	92	3	6	155	123	14	231	0	28665477
C350	30.649	54.303	24	C350_Link02	F	Isingiro	Southern	Mbarara	2903	231	1147	1006	356	92	3	6	155	123	14	231	0	25067589
C351	0	22.203	22	C351_Link01	U	Isingiro	Central	Masaka	1055	304	519	207	114	33	4	1	117	61	0	304	0	8550812
C351	22.203	49.24	27	C351_Link02	U	Isingiro	Central	Masaka	1055	304	519	207	114	33	4	1	117	61	0	304	0	10412481
C351	49.24	63.205	14	C351_Link02	U	Isingiro	Southern	Mbarara	1215	350	597	238	131	38	5	1	135	70	0	350	0	6191789
C351	63.205	63.514	0	C351_Link02	U	Rakai	Southern	Mbarara	1215	350	597	238	131	38	5	1	135	70	0	350	0	137004
C351	63.514	103.232	40	C351_Link03	U	Rakai	Southern	Mbarara	1677	350	1254	142	109	6	4	3	97	62	0	350	0	24312493
C351	103.232	103.572	0	C351_Link03	U	0	Southern	Mbarara	1677	350	1254	142	109	6	4	3	97	62	0	350	0	208123
C352	0	25.17	25	C352_Link01	U	Isingiro	Southern	Mbarara	1215	350	597	238	131	38	5	1	135	70	0	350	0	11159851
C352	25.17	25.217	0	C352_Link01	U	0	Southern	Mbarara	1215	350	597	238	131	38	5	1	135	70	0	350	0	20839
C353	0	13.729	14	C353_Link01	U	Isingiro	Southern	Mbarara	680	215	482	54	60	8	3	4	32	31	6	215	0	3406988
C353	13.729	13.783	0	C353_Link01	U	0	Southern	Mbarara	680	215	482	54	60	8	3	4	32	31	6	215	0	13401
C354	0	2.681	3	C354_Link01	F	Isingiro	Southern	Mbarara	1215	350	597	238	131	38	5	1	135	70	0	350	0	1188699
C354	2.681	2.719	0	C354_Link01	F	0	Southern	Mbarara	1215	350	597	238	131	38	5	1	135	70	0	350	0	16848
C355	0	33.232	33	C355_Link01	F	Kiruhura	Southern	Mbarara	1496	45	596	452	225	43	4	4	31	123	18	45	0	18143072
C355	33.232	67.99	35	C355_Link02	F	Kiruhura	Southern	Mbarara	1496	45	596	452	225	43	4	4	31	123	18	45	0	18976194
C356	0	9.707	10	C356_Link01	F	Ibanda	Southern	Mbarara	1480	368	1068	196	106	21	4	0	70	8	8	368	0	5244494
C356	9.707	32.433	23	C356_Link01	F	Kiruhura	Southern	Mbarara	1480	368	1068	196	106	21	4	0	70	8	8	368	0	12278395
C356	32.433	62.272	30	C356_Link02	U	Kiruhura	Southern	Mbarara	596	73	232	137	78	89	0	0	40	14	5	73	0	6488054
C356	62.272	62.371	0	C356_Link02	U	0	Southern	Mbarara	596	73	232	137	78	89	0	0	40	14	5	73	0	21526
C357	0	15.863	16	C357_Link01	U	Ibanda	Southern	Mbarara	1480	368	1068	196	106	21	4	0	70	8	8	368	0	8570456
C357	15.863	53.483	38	C357_Link01	U	Kiruhura	Southern	Mbarara	1480	368	1068	196	106	21	4	0	70	8	8	368	0	20325319
C357	53.483	69.206	16	C357_Link02	U	Kiruhura	Southern	Mbarara	1480	368	1068	196	106	21	4	0	70	8	8	368	0	8494817
C357	69.206	69.21	0	C357_Link02	U	Kiruhura	Southern	Mbarara	1200	139	746	60	150	53	3	0	114	69	6	139	0	1753
C357	69.21	85.995	17	C357_Link02	U	Sembab	Central	Masaka	1043	120	648	52	130	46	2	0	99	60	6	120	0	6388427
C357	85.995	86.013	0	C357_Link02	U	0	Central	Masaka	1043	120	648	52	130	46	2	0	99	60	6	120	0	6851
C358	0	4.212	4	C358_Link01	U	Kiruhura	Southern	Mbarara	1480	368	1068	196	106	21	4	0	70	8	8	368	0	2275658
C358	4.212	35.469	31	C358_Link02	U	Kiruhura	Southern	Mbarara	1480	368	1068	196	106	21	4	0	70	8	8	368	0	16887520
C359	0	49.707	50	C359_Link01	U	Isingiro	Southern	Mbarara	1665	479	817	326	180	52	8	1	185	96	0	479	0	30215576
C359	49.707	54.916	5	C359_Link02	U	Isingiro	Southern	Mbarara	1665	479	817	326	180	52	8	1	185	96	0	479	0	3166414
C360	0	54.262	54	C360_Link01	U	Isingiro	Southern	Mbarara	1177	216	423	284	159	49	3	1	140	117	1	216	0	23314818
C360	54.262	54.358	0	C360_Link01	U	0	Southern	Mbarara	1177	216	423	284	159	49	3	1	140	117	1	216	0	41248
C361	0	16.544	17	C361_Link01	U	Isingiro	Southern	Mbarara	1215	350	597	238	131	38	5	1	135	70	0	350	0	7335263
C363	0	39.29	39	C363_Link01	U	Isingiro	Southern	Mbarara	553	63	339	73	32	8	0	0	41	58	1	63	0	7930166
C363	39.29	39.36	0	C363_Link01	U	0	Southern	Mbarara	553	63	339	73	32	8	0	0	41	58	1	63	0	14129
C364	0	63.227	63	C364_Link01	U	Isingiro	Southern	Mbarara	1200	486	892	120	69	8	3	0	66	41	1	486	0	27704778
C364	63.227	63.63	0	C364_Link01	U	0	Southern	Mbarara	1200	486	892	120	69	8	3	0	66	41	1	486	0	176586
C365	0	32.825	33	C365_Link01	U	Mbarara	Southern	Mbarara	795	145	514	80	66	22	5	1	70	32	4	145	0	9526765
C365	32.825	33.029	0	C365_Link02	U	Mbarara	Southern	Mbarara	795	145	514	80	66	22	5	1	70	32	4	145	0	59207
C365	33.029	52.322	19	C365_Link02	U	Ntungam	Southern	Mbarara	795	145	514	80	66	22	5	1	70	32	4	145	0	5599387
C366	0	23.107	23	C366_Link01	U	Ntungam	Southern	Mbarara	5715	989	2177	1074	965	579	119	19	376	282	124	989	0	48200312
C366	23.107	23.33	0	C366_Link01	U	0	Southern	Mbarara	5715	989	2177	1074	965	579	119	19	376	282	124	989	0	465169
C367	0	1.352	1	C367_Link01	U	Mbarara	Southern	Mbarara	470	117	339	62	34	6	1	0	22	3	3	117	0	231983
C367	1.352	49.51	48	C367_Link01	U	Kiruhura	Southern	Mbarara	470	117	339	62	34	6	1	0	22	3	3	117	0	8263184
C368	0	22.894	23	C368_Link01	U	Mbarara	Southern	Mbarara	403	123	299	45	28	1	0	0	23	5	0	123	0	3365537
C368	22.894	22.944	0	C368_Link01	U	0	Southern	Mbarara	403	123	299	45	28	1	0	0	23	5	0	123	0	7350
C369	0	20.416	20	C369_Link01	U	Kiruhura	Southern	Mbarara	939	171	606	95	78	26	6	1	83	39	5	171	0	6996503
C369	20.416	20.465	0	C369_Link01	U	0	Southern	Mbarara	939	171	606	95	78	26	6	1	83	39	5	171	0	16792

C370	0	6.301	6	C370_Link01	U	Kiruhura	Southern	Mbarara	541	58	287	141	51	14	3	0	27	17	1	58	0	1244968
C370	6.301	31.348	25	C370_Link02	U	Kiruhura	Southern	Mbarara	541	58	287	141	51	14	3	0	27	17	1	58	0	4948851
C371	0	24.454	24	C371_Link01	U	Kiruhura	Southern	Mbarara	1480	368	1068	196	106	21	4	0	70	8	8	368	0	13211998
C371	24.454	24.475	0	C371_Link01	U	0	Southern	Mbarara	1480	368	1068	196	106	21	4	0	70	8	8	368	0	11346
C372	0	17.099	17	C372_Link01	U	Ibanda	Southern	Mbarara	897	133	559	105	87	21	4	0	67	47	8	133	0	5601138
C372	17.099	17.125	0	C372_Link02	U	Ibanda	Southern	Mbarara	547	65	435	41	56	4	0	0	4	5	1	65	0	5186
C372	17.125	42.989	26	C372_Link02	U	Buhweju	Southern	Mbarara	547	65	435	41	56	4	0	0	4	5	1	65	0	5159178
C373	0	11.148	11	C373_Link01	U	Ibanda	Southern	Mbarara	897	133	559	105	87	21	4	0	67	47	8	133	0	3651763
C373	11.148	14.531	3	C373_Link01	U	Kamwen	Southern	Mbarara	897	133	559	105	87	21	4	0	67	47	8	133	0	1108173
C373	14.531	14.591	0	C373_Link02	U	Kamwen	Southern	Mbarara	624	137	530	49	19	1	0	0	23	1	0	137	0	13670
C373	14.591	34.642	20	C373_Link02	U	Kamwen	Western	Mbarara	542	119	460	43	17	1	0	0	20	1	0	119	0	3968039
C373	34.642	35.561	1	C373_Link02	U	Kamwen	Western	Mbarara	780	116	486	91	75	18	3	0	58	40	7	116	0	261482
C374	0	4.605	5	C374_Link01	U	Ibanda	Southern	Mbarara	897	133	559	105	87	21	4	0	67	47	8	133	0	1508465
C375	0	24.119	24	C375_Link01	U	Ibanda	Southern	Mbarara	897	133	559	105	87	21	4	0	67	47	8	133	0	7900688
C375	24.119	24.126	0	C375_Link01	U	0	Southern	Mbarara	897	133	559	105	87	21	4	0	67	47	8	133	0	2293
C376	0	23.354	23	C376_Link01	U	Ibanda	Southern	Mbarara	897	133	559	105	87	21	4	0	67	47	8	133	0	7650096
C376	23.354	23.427	0	C376_Link01	U	0	Southern	Mbarara	897	133	559	105	87	21	4	0	67	47	8	133	0	23913
C377	0	1.482	1	C377_Link01	U	Ibanda	Southern	Mbarara	897	133	559	105	87	21	4	0	67	47	8	133	0	485460
C377	1.482	1.487	0	C377_Link01	U	0	Southern	Mbarara	897	133	559	105	87	21	4	0	67	47	8	133	0	1638
C378	0	12.967	13	C378_Link01	U	Kiruhura	Southern	Mbarara	1480	368	1068	196	106	21	4	0	70	8	8	368	0	7005806
C378	12.967	12.977	0	C378_Link01	U	Kamwen	Western	Fortporta	1286	319	928	170	92	18	3	0	61	7	7	319	0	4693
C378	12.977	27.346	14	C378_Link01	U	Kamwen	Western	Fortporta	780	116	486	91	75	18	3	0	58	40	7	116	0	4088393
C378	27.346	27.424	0	C378_Link01	U	0	Western	Fortporta	780	116	486	91	75	18	3	0	58	40	7	116	0	22193
C379	0	10.941	11	C379_Link01	U	Isingiro	Southern	Mbarara	1215	350	597	238	131	38	5	1	135	70	0	350	0	4851011
C380	0	24.312	24	C380_Link01	U	Kiruhura	Southern	Mbarara	1480	368	1068	196	106	21	4	0	70	8	8	368	0	13135278
C382	0	17.736	18	C382_Link01	U	Mbarara	Southern	Mbarara	939	171	606	95	78	26	6	1	83	39	5	171	0	6078075
C383	0	8.605	9	C383_Link01	F	0	Southern	Mbarara	1480	368	1068	196	106	21	4	0	70	8	8	368	0	4649106
C384	0	2.839	3	C384_Link01	U	0	Southern	Mbarara	939	171	606	95	78	26	6	1	83	39	5	171	0	972917
C385	0	1.71	2	C385_Link01	U	0	Southern	Mbarara	897	133	559	105	87	21	4	0	67	47	8	133	0	560147
C386	0	0.229	0	C386_Link01	U	0	Southern	Mbarara	5715	989	2177	1074	965	579	119	19	376	282	124	989	0	477685
C387	0	19.055	19	C387_Link01	U	0	Southern	Mbarara	966	109	857	26	30	1	0	0	47	5	0	109	0	6719240
C410	0	14.556	15	C410_Link01	F	Ntungam	Southern	Kabale	1931	183	1107	254	203	221	5	23	43	63	10	183	0	10258693
C410	14.556	20.602	6	C410_Link01	F	Rukungir	Southern	Kabale	1931	183	1107	254	203	221	5	23	43	63	10	183	0	4261065
C410	20.602	34.543	14	C410_Link02	F	Rukungir	Southern	Kabale	1931	183	1107	254	203	221	5	23	43	63	10	183	0	9825257
C411	0	30.692	31	C411_Link01	U	Kabale	Southern	Kabale	477	122	282	82	62	12	0	0	28	10	0	122	0	5338821
C411	30.692	59.882	29	C411_Link01	U	Rukungir	Southern	Kabale	477	122	282	82	62	12	0	0	28	10	0	122	0	5077551
C412	0	9.883	10	C412_Link01	F	Kisoro	Southern	Kabale	364	287	272	23	44	1	0	0	9	14	0	287	0	1312706
C412	9.883	9.89	0	C412_Link01	F	0	Southern	Kabale	364	287	272	23	44	1	0	0	9	14	0	287	0	930
C413	0	4.909	5	C413_Link01	U	Kabale	Southern	Kabale	364	287	272	23	44	1	0	0	9	14	0	287	0	652036
C413	4.909	28.153	23	C413_Link01	U	Kisoro	Southern	Kabale	364	287	272	23	44	1	0	0	9	14	0	287	0	3087376
C413	28.153	28.218	0	C413_Link01	U	0	Southern	Kabale	364	287	272	23	44	1	0	0	9	14	0	287	0	8634
C414	0	20.065	20	C414_Link01	U	Kanungu	Southern	Kasese	185	21	75	31	48	6	0	0	9	6	9	21	0	1356274
C414	20.065	61.945	42	C414_Link01	U	Rukungir	Southern	Kasese	185	21	75	31	48	6	0	0	9	6	9	21	0	2830838
C414	61.945	87.025	25	C414_Link01	U	Rubirizi	Southern	Kasese	185	21	75	31	48	6	0	0	9	6	9	21	0	1695258
C415	0	20.438	20	C415_Link01	U	Sheema	Southern	Mbarara	1805	300	1470	184	73	6	0	1	43	27	1	300	0	13467083
C415	20.438	21.122	1	C415_Link01	U	Sheema	Southern	Mbarara	2116	124	1680	196	111	17	4	3	80	23	3	124	0	528300
C415	21.122	21.129	0	C415_Link01	U	Mbarara	Southern	Mbarara	2116	124	1680	196	111	17	4	3	80	23	3	124	0	5407
C415	21.129	35.165	14	C415_Link02	U	Mbarara	Southern	Mbarara	1260	74	1000	117	66	10	3	1	48	14	1	74	0	6455480
C415	35.165	35.186	0	C415_Link02	U	0	Southern	Mbarara	1260	74	1000	117	66	10	3	1	48	14	1	74	0	9658
C416	0	13.222	13	C416_Link01	U	Buhweju	Southern	Mbarara	782	93	622	60	80	5	0	0	5	8	3	93	0	3774909
C416	13.222	57.127	44	C416_Link02	U	Buhweju	Southern	Mbarara	782	93	622	60	80	5	0	0	5	8	3	93	0	12534969
C416	57.127	57.532	0	C416_Link02	U	0	Southern	Mbarara	782	93	622	60	80	5	0	0	5	8	3	93	0	115628
C417	0	13.539	14	C417_Link01	F	Ntungam	Southern	Kabale	2189	102	1379	317	176	36	3	8	123	98	48	102	0	10815476
C417	13.539	29.671	16	C417_Link02	F	Ntungam	Southern	Kabale	2189	102	1379	317	176	36	3	8	123	98	48	102	0	12886865
C417	29.671	35.711	6	C417_Link03	F	Ntungam	Southern	Kabale	2189	102	1379	317	176	36	3	8	123	98	48	102	0	4824985
C418	0	11.343	11	C418_Link01	U	Ntungam	Southern	Kabale	5715	989	2177	1074	965	579	119	19	376	282	124	989	0	23661061
C419	0	10.675	11	C419_Link01	U	Ntungam	Southern	Mbarara	5715	989	2177	1074	965	579	119	19	376	282	124	989	0	22267639
C419	10.675	10.689	0	C419_Link01	U	Isingiro	Southern	Mbarara	5715	989	2177	1074	965	579	119	19	376	282	124	989	0	29203
C419	10.689	30.111	19	C419_Link01	U	Isingiro	Southern	Mbarara	1215	350	597	238	131	38	5	1	135	70	0	350	0	8611308
C419	30.111	43.819	14	C419_Link02	F	Isingiro	Southern	Mbarara	1215	350	597	238	131	38	5	1	135	70	0	350	0	6077840
C419	43.819	43.876	0	C419_Link02	F	0	Southern	Mbarara	1215	350	597	238	131	38	5	1	135	70	0	350	0	25273
C420	0	2.897	3	C420_Link01	F	Kabale	Southern	Kabale	477	122	282	82	62	12	0	0	28	10	0	122	0	503928
C421	0	25.134	25	C421_Link01	U	Ntungam	Southern	Mbarara	5715	989	2177	1074	965	579	119	19	376	282	124	989	0	52428556
C422	0	18.133	18	C422_Link01	U	Ntungam	Southern	Kabale	5715	989	2177	1074	965	579	119	19	376	282	124	989	0	37824740
C422	18.133	18.188	0	C422_Link01	U	0	Southern	Kabale	5715	989	2177	1074	965	579	119	19	376	282	124	989	0	114728

C423	0	17.685	18	C423_Link01	U	Kabale	Southern	Kabale	477	122	282	82	62	12	0	0	28	10	0	122	0	3076276
C424	0	20.053	20	C424_Link01	U	Kabale	Southern	Kabale	477	122	282	82	62	12	0	0	28	10	0	122	0	3488185
C424	20.053	20.068	0	C424_Link01	U	0	Southern	Kabale	477	122	282	82	62	12	0	0	28	10	0	122	0	2609
C425	0	66.217	66	C425_Link01	U	Kabale	Southern	Kabale	300	155	158	69	19	5	1	0	40	8	0	155	0	7261559
C425	66.217	66.59	0	C425_Link01	U	0	Southern	Kabale	300	155	158	69	19	5	1	0	40	8	0	155	0	40904
C426	0	7.832	8	C426_Link01	U	Kabale	Southern	Kabale	477	122	282	82	62	12	0	0	28	10	0	122	0	1362363
C426	7.832	7.874	0	C426_Link01	U	0	Southern	Kabale	477	122	282	82	62	12	0	0	28	10	0	122	0	7306
C427	0	0.404	0	C427_Link01	U	Kabale	Southern	Kabale	477	122	282	82	62	12	0	0	28	10	0	122	0	70275
C429	0	18.254	18	C429_Link01	U	Kabale	Southern	Kabale	627	161	372	107	82	16	0	0	38	13	0	161	0	4176147
C430	0	37.7	38	C430_Link01	U	Ntungam	Southern	Kabale	1496	259	570	281	253	152	31	5	98	74	32	259	0	20582385
C430	37.7	37.745	0	C430_Link01	U	0	Southern	Kabale	1496	259	570	281	253	152	31	5	98	74	32	259	0	24568
C431	0	7.88	8	C431_Link01	U	Ntungam	Southern	Kabale	5715	989	2177	1074	965	579	119	19	376	282	124	989	0	16437377
C431	7.88	23.635	16	C431_Link02	U	Ntungam	Southern	Kabale	5715	989	2177	1074	965	579	119	19	376	282	124	989	0	32864323
C432	0	30.602	31	C432_Link01	U	Kabale	Southern	Kabale	493	34	347	47	44	6	1	0	45	3	0	34	0	5511212
C432	30.602	30.663	0	C432_Link01	U	Kanungu	Southern	Kabale	493	34	347	47	44	6	1	0	45	3	0	34	0	10986
C432	30.663	37.044	6	C432_Link02	U	Kanungu	Southern	Kabale	493	34	347	47	44	6	1	0	45	3	0	34	0	1149175
C432	37.044	37.092	0	C432_Link02	U	0	Southern	Kabale	493	34	347	47	44	6	1	0	45	3	0	34	0	8644
C433	0	46.733	47	C433_Link01	U	Kabale	Southern	Kabale	539	58	219	97	105	19	1	0	73	25	0	58	0	9189446
C433	46.733	46.813	0	C433_Link01	U	Kanungu	Southern	Kabale	539	58	219	97	105	19	1	0	73	25	0	58	0	15731
C433	46.813	70.127	23	C433_Link02	U	Kanungu	Southern	Kabale	539	58	219	97	105	19	1	0	73	25	0	58	0	4584400
C433	70.127	79.65	10	C433_Link03	U	Kanungu	Southern	Kabale	539	58	219	97	105	19	1	0	73	25	0	58	0	1872576
C433	79.65	79.76	0	C433_Link03	U	0	Southern	Kabale	539	58	219	97	105	19	1	0	73	25	0	58	0	21630
C434	0	63.56	64	C434_Link01	U	Kabale	Southern	Kabale	126	27	57	19	25	5	0	0	17	3	0	27	0	2914258
C436	0	1.964	2	C436_Link01	U	Kisoro	Southern	Kabale	364	287	272	23	44	1	0	0	9	14	0	287	0	260868
C436	1.964	44.057	42	C436_Link02	U	Kisoro	Southern	Kabale	364	287	272	23	44	1	0	0	9	14	0	287	0	5590988
C436	44.057	44.7	1	C436_Link02	U	0	Southern	Kabale	364	287	272	23	44	1	0	0	9	14	0	287	0	85406
C437	0	4.92	5	C437_Link01	F	Kisoro	Southern	Kabale	364	287	272	23	44	1	0	0	9	14	0	287	0	653497
C437	4.92	4.932	0	C437_Link01	F	0	Southern	Kabale	364	287	272	23	44	1	0	0	9	14	0	287	0	1594
C438	0	3.986	4	C438_Link01	U	Kisoro	Southern	Kabale	364	287	272	23	44	1	0	0	9	14	0	287	0	529439
C438	3.986	8.87	5	C438_Link02	U	Kisoro	Southern	Kabale	364	287	272	23	44	1	0	0	9	14	0	287	0	648716
C438	8.87	8.872	0	C438_Link02	U	0	Southern	Kabale	364	287	272	23	44	1	0	0	9	14	0	287	0	266
C439	0	18.389	18	C439_Link01	U	Kisoro	Southern	Kabale	364	287	272	23	44	1	0	0	9	14	0	287	0	2442512
C440	0	17.31	17	C440_Link01	U	Kanungu	Southern	Kabale	904	144	386	111	105	56	27	5	128	62	23	144	0	5711167
C440	17.31	31.36	14	C440_Link02	U	Kanungu	Southern	Kabale	904	144	386	111	105	56	27	5	128	62	23	144	0	4635580
C440	31.36	31.425	0	C440_Link02	U	0	Southern	Kabale	904	144	386	111	105	56	27	5	128	62	23	144	0	21446
C441	0	16.93	17	C441_Link01	U	Kanungu	Southern	Kabale	904	144	386	111	105	56	27	5	128	62	23	144	0	5585792
C441	16.93	16.961	0	C441_Link01	U	0	Southern	Kabale	904	144	386	111	105	56	27	5	128	62	23	144	0	10228
C442	0	11.06	11	C442_Link01	U	Rukungir	Southern	Kabale	623	62	370	61	79	34	0	0	60	18	1	62	0	2514621
C442	11.06	11.144	0	C442_Link01	U	Kanungu	Southern	Kabale	623	62	370	61	79	34	0	0	60	18	1	62	0	19098
C442	11.144	32.355	21	C442_Link02	U	Kanungu	Southern	Kabale	904	144	386	111	105	56	27	5	128	62	23	144	0	6998241
C442	32.355	43.713	11	C442_Link03	U	Kanungu	Southern	Kabale	904	144	386	111	105	56	27	5	128	62	23	144	0	3747396
C442	43.713	44.288	1	C442_Link03	U	0	Southern	Kabale	904	144	386	111	105	56	27	5	128	62	23	144	0	189712
C443	0	10.612	11	C443_Link01	U	Rukungir	Southern	Kabale	623	62	370	61	79	34	0	0	60	18	1	62	0	2412763
C443	10.612	10.63	0	C443_Link01	U	0	Southern	Kabale	623	62	370	61	79	34	0	0	60	18	1	62	0	4093
C444	0	1.402	1	C444_Link01	U	Rukungir	Southern	Kabale	623	62	370	61	79	34	0	0	60	18	1	62	0	318761
C445	0	9.909	10	C445_Link01	U	Rukungir	Southern	Kabale	1247	126	741	122	158	69	0	0	119	36	3	126	0	4510539
C445	9.909	43.663	34	C445_Link02	U	Rukungir	Southern	Kabale	1247	126	741	122	158	69	0	0	119	36	3	126	0	15364693
C446	0	25.048	25	C446_Link01	U	Kanungu	Southern	Kabale	1619	256	689	199	188	100	49	10	229	111	43	256	0	14799786
C446	25.048	25.066	0	C446_Link01	U	0	Southern	Kabale	1619	256	689	199	188	100	49	10	229	111	43	256	0	10635
C447	0	29.113	29	C447_Link01	U	Sheema	Southern	Mbarara	527	56	448	40	13	14	0	0	9	3	0	56	0	5600847
C447	29.113	50.5	21	C447_Link01	U	Mitooma	Southern	Mbarara	527	56	448	40	13	14	0	0	9	3	0	56	0	4114496
C447	50.5	50.522	0	C447_Link02	U	Mitooma	Southern	Mbarara	527	56	448	40	13	14	0	0	9	3	0	56	0	4232
C447	50.522	63.851	13	C447_Link02	U	Mitooma	Southern	Kabale	527	56	448	40	13	14	0	0	9	3	0	56	0	2564273
C447	63.851	65.249	1	C447_Link02	U	Rukungir	Southern	Kabale	527	56	448	40	13	14	0	0	9	3	0	56	0	268951
C447	65.249	65.5	0	C447_Link02	U	0	Southern	Kabale	527	56	448	40	13	14	0	0	9	3	0	56	0	48288
C448	0	9.25	9	C448_Link01	U	Kisoro	Southern	Kabale	364	287	272	23	44	1	0	0	9	14	0	287	0	1228628
C448	9.25	9.365	0	C448_Link01	U	0	Southern	Kabale	364	287	272	23	44	1	0	0	9	14	0	287	0	15275
C449	0	43.711	44	C449_Link01	U	Busheny	Southern	Mbarara	1068	41	403	247	164	32	3	0	23	193	3	41	0	17045787
C449	43.711	43.812	0	C449_Link01	U	0	Southern	Mbarara	1068	41	403	247	164	32	3	0	23	193	3	41	0	39387
C450	0	18.566	19	C450_Link01	U	Rubirizi	Southern	Mbarara	897	133	559	105	87	21	4	0	67	47	8	133	0	6081685
C450	18.566	27.43	9	C450_Link02	U	Rubirizi	Southern	Mbarara	897	133	559	105	87	21	4	0	67	47	8	133	0	2903590
C450	27.43	27.462	0	C450_Link03	U	Rubirizi	Southern	Mbarara	897	133	559	105	87	21	4	0	67	47	8	133	0	10482
C450	27.462	35.699	8	C450_Link03	U	Kamwen	Western	Mbarara	780	116	486	91	75	18	3	0	58	40	7	116	0	2343663
C451	0	0.093	0	C451_Link01	U	Kisoro	Southern	Kabale	364	287	272	23	44	1	0	0	9	14	0	287	0	12353
C452	0	19.6	20	C452_Link01	U	Busheny	Southern	Mbarara	811	73	578	131	38	23	0	0	31	10	0	73	0	5799663

C452	19.6	45	25	C452_Link02	U	Busheny	Southern	Mbarara	811	73	578	131	38	23	0	0	31	10	0	73	0	7515890
C453	0	2.105	2	C453_Link01	F	0	Southern	Kabale	364	287	272	23	44	1	0	0	9	14	0	287	0	279596
C454	0	18.84	19	C454_Link01	U	0	Southern	Kabale	5715	989	2177	1074	965	579	119	19	376	282	124	989	0	39299514
C455	0	20.134	20	C455_Link01	U	0	Southern	Kabale	477	122	282	82	62	12	0	0	28	10	0	122	0	3502275
C456	0	6.74	7	C456_Link01	U	0	Southern	Kabale	904	144	386	111	105	56	27	5	128	62	23	144	0	2223759
C457	0	5.1	5	C457_Link01	F	0	Southern	Kabale	364	287	272	23	44	1	0	0	9	14	0	287	0	677406
C458	0	3.725	4	C458_Link01	U	0	Southern	Kabale	477	122	282	82	62	12	0	0	28	10	0	122	0	647957
C510	0	15.262	15	C510_Link01	U	Kasese	Southern	Kasese	966	109	857	26	30	1	0	0	47	5	0	109	0	5381739
C510	15.262	15.32	0	C510_Link01	U	0	Southern	Kasese	966	109	857	26	30	1	0	0	47	5	0	109	0	20452
C511	0	11.687	12	C511_Link01	F	Kasese	Southern	Kasese	966	109	857	26	30	1	0	0	47	5	0	109	0	4121110
C511	11.687	11.734	0	C511_Link01	F	0	Southern	Kasese	966	109	857	26	30	1	0	0	47	5	0	109	0	16573
C512	0	24.299	24	C512_Link01	U	Kasese	Southern	Kasese	1542	51	1435	21	32	3	0	0	41	10	0	51	0	13679572
C512	24.299	24.661	0	C512_Link01	U	0	Southern	Kasese	1542	51	1435	21	32	3	0	0	41	10	0	51	0	203795
C513	0	12.747	13	C513_Link01	U	Kasese	Southern	Kasese	966	109	857	26	30	1	0	0	47	5	0	109	0	4494891
C513	12.747	39.192	26	C513_Link02	U	Kasese	Southern	Kasese	966	109	857	26	30	1	0	0	47	5	0	109	0	9325127
C514	0	8.012	8	C514_Link01	U	Kasese	Southern	Kasese	966	109	857	26	30	1	0	0	47	5	0	109	0	2825219
C514	8.012	10.154	2	C514_Link02	U	Kasese	Southern	Kasese	966	109	857	26	30	1	0	0	47	5	0	109	0	755319
C515	0	6.808	7	C515_Link01	U	Kasese	Southern	Kasese	966	109	857	26	30	1	0	0	47	5	0	109	0	2400660
C515	6.808	6.826	0	C515_Link01	U	0	Southern	Kasese	966	109	857	26	30	1	0	0	47	5	0	109	0	6347
C515	6.826	7.656	1	C515_Link01	U	0	Southern	Kasese	966	109	857	26	30	1	0	0	47	5	0	109	0	292677
C516	0	38.816	39	C516_Link01	U	Kasese	Southern	Kasese	966	109	857	26	30	1	0	0	47	5	0	109	0	13687432
C516	38.816	55.238	16	C516_Link02	U	Kasese	Southern	Kasese	966	109	857	26	30	1	0	0	47	5	0	109	0	5790782
C517	0	0.759	1	C517_Link01	F	Kasese	Southern	Kasese	966	109	857	26	30	1	0	0	47	5	0	109	0	267641
C517	0.759	0.764	0	C517_Link01	F	0	Southern	Kasese	966	109	857	26	30	1	0	0	47	5	0	109	0	1763
C518	0	3.722	4	C518_Link01	U	Kasese	Southern	Kasese	966	109	857	26	30	1	0	0	47	5	0	109	0	1312464
C519	0	10.114	10	C519_Link01	U	Kasese	Southern	Kasese	1523	92	1360	70	52	9	1	1	21	9	0	92	0	5622153
C519	10.114	10.267	0	C519_Link01	U	0	Southern	Kasese	1523	92	1360	70	52	9	1	1	21	9	0	92	0	85049
C520	0	5.477	5	C520_Link01	U	Kasese	Southern	Kasese	966	109	857	26	30	1	0	0	47	5	0	109	0	1931319
C520	5.477	13.452	8	C520_Link02	U	Kasese	Southern	Kasese	966	109	857	26	30	1	0	0	47	5	0	109	0	2812172
C520	13.452	13.493	0	C520_Link02	U	0	Southern	Kasese	966	109	857	26	30	1	0	0	47	5	0	109	0	14458
C521	0	6.814	7	C521_Link01	U	Kasese	Southern	Kasese	966	109	857	26	30	1	0	0	47	5	0	109	0	2402776
C521	6.814	6.827	0	C521_Link01	U	0	Southern	Kasese	966	109	857	26	30	1	0	0	47	5	0	109	0	4584
C522	0	6.709	7	C522_Link01	U	0	Southern	Kasese	623	62	370	61	79	34	0	0	60	18	1	62	0	1525370
C523	0	2.869	3	C523_Link01	U	0	Southern	Kasese	966	109	857	26	30	1	0	0	47	5	0	109	0	1011677
C539	0	15	15	C539_Link01	U	0	Western	0	1584	765	1442	43	42	18	9	0	25	6	0	765	0	8671352
C540	0	16.108	16	C540_Link01	F	Kabarole	Western	Fortporta	1584	765	1442	43	42	18	9	0	25	6	0	765	0	9311875
C540	16.108	27.414	11	C540_Link01	F	Ntoroko	Western	Fortporta	1584	765	1442	43	42	18	9	0	25	6	0	765	0	6535887
C540	27.414	80.116	53	C540_Link02	F	Ntoroko	Western	Fortporta	2579	325	2163	117	117	82	0	3	30	60	7	325	0	49616261
C540	80.116	91.946	12	C540_Link02	F	Bundibu	Western	Fortporta	2579	325	2163	117	117	82	0	3	30	60	7	325	0	11137345
C540	91.946	92.995	1	C540_Link02	F	0	Western	Fortporta	2579	325	2163	117	117	82	0	3	30	60	7	325	0	987580
C540	92.995	103.614	11	C540_Link02	F	0	Western	0	1584	765	1442	43	42	18	9	0	25	6	0	765	0	6138739
C541	0	50.281	50	C541_Link01	U	Ntoroko	Western	Fortporta	268	10	170	12	34	2	0	1	3	21	24	10	0	4913305
C542	0	59.78	60	C542_Link01	U	Kabarole	Western	Fortporta	664	171	523	33	38	8	2	0	45	15	0	171	0	14481075
C543	0	4.743	5	C543_Link01	U	Bundibu	Western	Fortporta	2579	325	2163	117	117	82	0	3	30	60	7	325	0	4465294
C543	4.743	4.75	0	C543_Link01	U	0	Western	Fortporta	2579	325	2163	117	117	82	0	3	30	60	7	325	0	6590
C544	0	6.971	7	C544_Link01	U	Bundibu	Western	Fortporta	2579	325	2163	117	117	82	0	3	30	60	7	325	0	6562843
C545	0	12.487	12	C545_Link01	U	Bundibu	Western	Fortporta	2579	325	2163	117	117	82	0	3	30	60	7	325	0	11755877
C545	12.487	12.565	0	C545_Link01	U	0	Western	Fortporta	2579	325	2163	117	117	82	0	3	30	60	7	325	0	73433
C546	0	6.415	6	C546_Link01	U	Kabarole	Western	Fortporta	2579	325	2163	117	117	82	0	3	30	60	7	325	0	6039397
C547	0	8.899	9	C547_Link01	U	Kabarole	Western	Fortporta	2579	325	2163	117	117	82	0	3	30	60	7	325	0	8377957
C547	8.899	8.914	0	C547_Link01	U	0	Western	Fortporta	2579	325	2163	117	117	82	0	3	30	60	7	325	0	14122
C547	8.914	57.049	48	C547_Link01	U	0	Western	Fortporta	2579	325	2163	117	117	82	0	3	30	60	7	325	0	45316662
C547	57.049	58.624	2	C547_Link01	U	0	Western	Fortporta	780	116	486	91	75	18	3	0	58	40	7	116	0	448133
C548	0	36.279	36	C548_Link01	U	Kyenjojo	Western	Fortporta	726	69	609	29	40	4	0	0	27	15	1	69	0	9607445
C548	36.279	36.378	0	C548_Link01	U	0	Western	Fortporta	726	69	609	29	40	4	0	0	27	15	1	69	0	26217
C549	0	14.602	15	C549_Link01	U	Kyegweg	Western	Fortporta	1010	96	846	40	56	7	0	0	38	20	2	96	0	5383709
C549	14.602	45.051	30	C549_Link01	U	Kyenjojo	Western	Fortporta	1010	96	846	40	56	7	0	0	38	20	2	96	0	11226445
C549	45.051	45.144	0	C549_Link01	U	0	Western	Fortporta	1010	96	846	40	56	7	0	0	38	20	2	96	0	34289
C550	0	32.079	32	C550_Link01	F	Kibaale	Western	Mubend	1407	42	616	173	162	57	1	0	118	202	76	42	0	16476730
C550	32.079	32.205	0	C550_Link01	F	Kibaale	Western	Hoima	1407	42	616	173	162	57	1	0	118	202	76	42	0	64717
C550	32.205	74.443	42	C550_Link02	F	Kibaale	Western	Hoima	1407	42	616	173	162	57	1	0	118	202	76	42	0	21694694
C550	74.443	74.748	0	C550_Link02	F	0	Western	Hoima	1407	42	616	173	162	57	1	0	118	202	76	42	0	156657
C551	0	14.686	15	C551_Link01	U	Kyegweg	Western	Fortporta	726	69	609	29	40	4	0	0	27	15	1	69	0	3889163
C551	14.686	36.326	22	C551_Link01	U	Kibaale	Western	Fortporta	726	69	609	29	40	4	0	0	27	15	1	69	0	5730729
C551	36.326	36.551	0	C551_Link01	U	0	Western	Fortporta	726	69	609	29	40	4	0	0	27	15	1	69	0	59585

C552	0	10.156	10	C552_Link01	U	Kiruhura	Southern	Mbarara	1480	368	1068	196	106	21	4	0	70	8	8	368	0	5487080
C552	10.156	10.16	0	C552_Link02	U	Kiruhura	Southern	Mbarara	835	79	701	34	47	5	0	0	31	17	1	79	0	1220
C552	10.16	50.94	41	C552_Link02	U	Kyegweg	Western	Mbarara	726	69	609	29	40	4	0	0	27	15	1	69	0	10799405
C553	0	46.11	46	C553_Link01	U	Kibaale	Western	Hoima	718	47	611	34	33	3	0	0	28	9	0	47	0	12078380
C553	46.11	46.268	0	C553_Link01	U	0	Western	Hoima	718	47	611	34	33	3	0	0	28	9	0	47	0	41388
C554	0	19.836	20	C554_Link01	U	Bundibu	Western	Fortporta	2579	325	2163	117	117	82	0	3	30	60	7	325	0	18674588
C554	19.836	19.926	0	C554_Link01	U	0	Western	Fortporta	2579	325	2163	117	117	82	0	3	30	60	7	325	0	84730
C555	0	6.458	6	C555_Link01	U	Kabarole	Western	Fortporta	2579	325	2163	117	117	82	0	3	30	60	7	325	0	6079880
C555	6.458	6.477	0	C555_Link01	U	0	Western	Fortporta	2579	325	2163	117	117	82	0	3	30	60	7	325	0	17888
C556	0	16.879	17	C556_Link01	U	Kabarole	Western	Fortporta	1804	227	1513	82	82	57	0	2	21	42	4	227	0	11115883
C557	0	27.845	28	C557_Link01	U	Kabarole	Western	Fortporta	2579	325	2163	117	117	82	0	3	30	60	7	325	0	26214656
C557	27.845	27.85	0	C557_Link01	U	0	Western	Fortporta	2579	325	2163	117	117	82	0	3	30	60	7	325	0	4707
C558	0	26.152	26	C558_Link01	U	Ntoroko	Western	Fortporta	2579	325	2163	117	117	82	0	3	30	60	7	325	0	24620782
C560	0	1.855	2	C560_Link01	U	Kyenjojo	Western	Fortporta	726	69	609	29	40	4	0	0	27	15	1	69	0	491243
C561	0	5.047	5	C561_Link01	U	Kabarole	Western	Fortporta	2579	325	2163	117	117	82	0	3	30	60	7	325	0	4751495
C562	0	4.426	4	C562_Link01	U	Kabarole	Western	Fortporta	2579	325	2163	117	117	82	0	3	30	60	7	325	0	4166855
C563	0	30.252	30	C563_Link01	U	Kibaale	Western	Hoima	523	35	445	25	24	2	0	0	20	7	0	35	0	5775637
C564	0	2.948	3	C564_Link01	U	Kabarole	Western	Fortporta	2579	325	2163	117	117	82	0	3	30	60	7	325	0	2775393
C564	2.948	5.824	3	C564_Link02	U	Kabarole	Western	Fortporta	2579	325	2163	117	117	82	0	3	30	60	7	325	0	2707608
C565	0	30.071	30	C565_Link01	U	Kibaale	Western	Hoima	718	47	611	34	33	3	0	0	28	9	0	47	0	7877011
C565	30.071	30.085	0	C565_Link01	U	0	Western	Hoima	718	47	611	34	33	3	0	0	28	9	0	47	0	3667
C566	0	27.591	28	C566_Link01	U	Kibaale	Western	Hoima	873	183	541	107	64	29	3	0	64	54	10	183	0	8790671
C566	27.591	35.586	8	C566_Link02	U	Kibaale	Western	Hoima	873	183	541	107	64	29	3	0	64	54	10	183	0	2547259
C566	35.586	36.244	1	C566_Link02	U	0	Western	Hoima	873	183	541	107	64	29	3	0	64	54	10	183	0	209643
C567	0	26.59	27	C567_Link01	U	Kibaale	Western	Mubend	198	6	87	25	22	8	0	0	17	28	11	6	0	1921427
C567	26.59	26.618	0	C567_Link01	U	0	Western	Mubend	198	6	87	25	22	8	0	0	17	28	11	6	0	2023
C568	0	27.714	28	C568_Link01	U	Kamwen	Western	Fortporta	339	35	259	18	19	7	1	4	17	12	1	35	0	3424984
C568	27.714	47.449	20	C568_Link02	U	Kamwen	Western	Fortporta	339	35	259	18	19	7	1	4	17	12	1	35	0	2438914
C568	47.449	66.966	20	C568_Link03	U	Kamwen	Western	Fortporta	339	35	259	18	19	7	1	4	17	12	1	35	0	2411973
C568	66.966	67.016	0	C568_Link03	U	0	Western	Fortporta	339	35	259	18	19	7	1	4	17	12	1	35	0	6179
C569	0	37.837	38	C569_Link01	U	Kamwen	Western	Fortporta	726	69	609	29	40	4	0	0	27	15	1	69	0	10020036
C571	0	22.487	22	C571_Link01	U	Kamwen	Western	Fortporta	265	44	232	7	4	1	0	0	17	4	0	44	0	2178896
C571	22.487	22.682	0	C571_Link01	U	0	Western	Fortporta	265	44	232	7	4	1	0	0	17	4	0	44	0	18895
C572	0	33.454	33	C572_Link01	U	Kamwen	Western	Mbarara	895	133	559	105	87	20	3	0	67	46	8	133	0	10933369
C573	0	0.608	1	C573_Link01	U	Kamwen	Western	Fortporta	1429	1296	1309	18	36	2	0	0	45	16	2	1296	0	317030
C573	0.608	0.618	0	C573_Link01	U	0	Western	Fortporta	1429	1296	1309	18	36	2	0	0	45	16	2	1296	0	5214
C573	0.618	2	1	C573_Link01	U	0	Western	0	1429	1296	1309	18	36	2	0	0	45	16	2	1296	0	720617
C574	0	1.043	1	C574_Link01	U	Kabarole	Western	Kasese	2579	325	2163	117	117	82	0	3	30	60	7	325	0	981932
C574	1.043	1.047	0	C574_Link01	U	0	Western	Kasese	2579	325	2163	117	117	82	0	3	30	60	7	325	0	3766
C575	0	15	15	C575_Link01	U	Bundibu	Western	Fortporta	2579	325	2163	117	117	82	0	3	30	60	7	325	0	14121740
C578	0	7.165	7	C578_Link01	U	Kasese	Southern	Kasese	727	82	645	19	22	1	0	0	35	4	0	82	0	1899990
C578	7.165	7.169	0	C578_Link01	U	0	Southern	Kasese	727	82	645	19	22	1	0	0	35	4	0	82	0	1061
C579	0	8	8	C579_Link01	U	0	Western	Fortporta	1584	765	1442	43	42	18	9	0	25	6	0	765	0	4624721
C590	0	35.586	36	C590_Link01	U	Hoima	Western	Hoima	1609	277	1178	129	127	88	2	1	48	29	6	277	0	20893351
C590	35.586	35.703	0	C590_Link01	U	Buliisa	Western	Masindi	1609	277	1178	129	127	88	2	1	48	29	6	277	0	68693
C590	35.703	53.152	17	C590_Link02	U	Buliisa	Western	Masindi	358	114	174	12	69	80	1	0	11	9	1	114	0	2278193
C590	53.152	53.299	0	C590_Link02	U	0	Western	Masindi	358	114	174	12	69	80	1	0	11	9	1	114	0	19193
C591	0	41.302	41	C591_Link01	U	Hoima	Western	Hoima	754	48	424	76	134	20	0	6	34	56	3	48	0	11361581
C592	0	21.728	22	C592_Link01	F	Hoima	Western	Hoima	1382	253	1123	78	91	16	1	1	37	33	3	253	0	10963886
C592	21.728	43.069	21	C592_Link02	F	Hoima	Western	Hoima	1382	253	1123	78	91	16	1	1	37	33	3	253	0	10768607
C593	0	19.172	19	C593_Link01	U	Hoima	Western	Hoima	944	187	835	43	24	6	0	1	29	6	1	187	0	6604231
C594	0	27.168	27	C594_Link01	U	Hoima	Western	Hoima	1062	209	938	48	27	7	0	1	33	7	1	209	0	10529859
C594	27.168	27.202	0	C594_Link01	U	0	Western	Hoima	1062	209	938	48	27	7	0	1	33	7	1	209	0	13178
C595	0	7.361	7	C595_Link01	U	Hoima	Western	Hoima	944	187	835	43	24	6	0	1	29	6	1	187	0	2535664
C596	0	59.433	59	C596_Link01	F	Hoima	Western	Hoima	944	187	835	43	24	6	0	1	29	6	1	187	0	20473048
C597	0	0.143	0	C597_Link01	U	Hoima	Western	Hoima	944	187	835	43	24	6	0	1	29	6	1	187	0	49260
C597	0.143	0.378	0	C597_Link02	U	Hoima	Western	Hoima	944	187	835	43	24	6	0	1	29	6	1	187	0	80951
C597	0.378	0.379	0	C597_Link02	U	0	Western	Hoima	944	187	835	43	24	6	0	1	29	6	1	187	0	344
C598	0	0.28	0	C598_Link01	U	Hoima	Western	Hoima	944	187	835	43	24	6	0	1	29	6	1	187	0	96452
C599	0	23.123	23	C599_Link01	U	Hoima	Western	Hoima	944	187	835	43	24	6	0	1	29	6	1	187	0	7965243
C600	0	22.187	22	C600_Link01	U	Hoima	Western	Hoima	944	187	835	43	24	6	0	1	29	6	1	187	0	7642816
C600	22.187	22.245	0	C600_Link01	U	Hoima	Western	Hoima	454	70	314	15	44	3	0	0	56	21	1	70	0	9621
C600	22.245	32.735	10	C600_Link01	U	Masindi	Western	Masindi	454	70	314	15	44	3	0	0	56	21	1	70	0	1740002
C601	0	17.582	18	C601_Link01	U	Hoima	Western	Hoima	944	187	835	43	24	6	0	1	29	6	1	187	0	6056519
C602	0	0.574	1	C602_Link01	U	Hoima	Western	Hoima	944	187	835	43	24	6	0	1	29	6	1	187	0	197727

C602	0.574	0.583	0	C602_Link01	U	0	Western	Hoima	944	187	835	43	24	6	0	1	29	6	1	187	0	3100
C603	0	8.2	8	C603_Link01	U	Masindi	Western	Hoima	454	70	314	15	44	3	0	0	56	21	1	70	0	1360154
C603	8.2	18.116	10	C603_Link01	U	Masindi	Western	Masindi	454	70	314	15	44	3	0	0	56	21	1	70	0	1644791
C604	0	9.325	9	C604_Link01	U	Hoima	Western	Hoima	944	187	835	43	24	6	0	1	29	6	1	187	0	3212208
C605	0	2.785	3	C605_Link01	U	Hoima	Western	Hoima	944	187	835	43	24	6	0	1	29	6	1	187	0	959357
C606	0	15.423	15	C606_Link01	U	Hoima	Western	Hoima	250	31	116	27	53	11	0	2	22	17	1	31	0	1405771
C606	15.423	15.448	0	C606_Link01	U	0	Western	Hoima	250	31	116	27	53	11	0	2	22	17	1	31	0	2279
C607	0	18.154	18	C607_Link01	U	0	Western	Hoima	730	139	433	61	54	13	1	1	52	111	3	139	0	4837377
C608	0	11.009	11	C608_Link01	U	0	Western	Hoima	1584	765	1442	43	42	18	9	0	25	6	0	765	0	6364194
C608	11.009	16.324	5	C608_Link01	U	0	Western	Hoima	730	139	433	61	54	13	1	1	52	111	3	139	0	1416253
C608	16.324	37	21	C608_Link01	U	0	Western	0	1584	765	1442	43	42	18	9	0	25	6	0	765	0	11952591
C609	0	8.063	8	C609_Link01	U	0	Western	Hoima	944	187	835	43	24	6	0	1	29	6	1	187	0	2777484
C610	0	12.5	13	C610_Link01	U	0	Western	0	1584	765	1442	43	42	18	9	0	25	6	0	765	0	7226126
C620	0	28.825	29	C620_Link01	U	Kyankwa	Western	Hoima	544	30	444	19	21	13	0	0	26	20	0	30	0	5728060
C620	28.825	28.829	0	C620_Link01	U	0	Western	Hoima	544	30	444	19	21	13	0	0	26	20	0	30	0	795
C621	0	14.159	14	C621_Link01	U	Kiryando	Western	Masindi	316	48	218	10	30	2	0	0	39	15	1	48	0	1633548
C621	14.159	35.426	21	C621_Link01	U	Masindi	Western	Masindi	316	48	218	10	30	2	0	0	39	15	1	48	0	2453609
C622	0	35.13	35	C622_Link01	U	Masindi	Western	Masindi	339	118	216	43	28	10	0	0	8	33	1	118	0	4341477
C622	35.13	49.556	14	C622_Link01	U	Buliisa	Western	Masindi	339	118	216	43	28	10	0	0	8	33	1	118	0	1782811
C622	49.556	49.704	0	C622_Link01	U	0	Western	Masindi	339	118	216	43	28	10	0	0	8	33	1	118	0	18290
C623	0	41.349	41	C623_Link01	U	Buliisa	Western	Masindi	358	114	174	12	69	80	1	0	11	9	1	114	0	5398648
C623	41.349	49.747	8	C623_Link02	U	Buliisa	Western	Masindi	358	114	174	12	69	80	1	0	11	9	1	114	0	1096468
C623	49.747	49.869	0	C623_Link02	U	0	Western	Masindi	358	114	174	12	69	80	1	0	11	9	1	114	0	15929
C624	0	8.174	8	C624_Link01	U	Buliisa	Western	Masindi	358	114	174	12	69	80	1	0	11	9	1	114	0	1067222
C624	8.174	8.191	0	C624_Link01	U	0	Western	Masindi	358	114	174	12	69	80	1	0	11	9	1	114	0	2220
C625	0	71.121	71	C625_Link01	U	Masindi	Western	Masindi	339	81	233	16	51	25	2	0	11	1	0	81	0	8789360
C625	71.121	75.388	4	C625_Link02	U	Masindi	Western	Masindi	339	81	233	16	51	25	2	0	11	1	0	81	0	527329
C625	75.388	92.237	17	C625_Link02	U	Buliisa	Western	Masindi	339	81	233	16	51	25	2	0	11	1	0	81	0	2082253
C625	92.237	92.554	0	C625_Link02	U	0	Western	Masindi	339	81	233	16	51	25	2	0	11	1	0	81	0	39176
C626	0	7.692	8	C626_Link01	U	Masindi	Western	Masindi	454	70	314	15	44	3	0	0	56	21	1	70	0	1275891
C626	7.692	7.701	0	C626_Link01	U	0	Western	Masindi	454	70	314	15	44	3	0	0	56	21	1	70	0	1493
C627	0	35.684	36	C627_Link01	U	Kyankwa	Western	Hoima	697	38	569	25	27	18	0	0	33	26	0	38	0	9083602
C627	35.684	35.761	0	C627_Link02	U	Kyankwa	Western	Hoima	697	38	569	25	27	18	0	0	33	26	0	38	0	19601
C627	35.761	70.307	35	C627_Link02	U	Kibaale	Western	Hoima	697	38	569	25	27	18	0	0	33	26	0	38	0	8793917
C627	70.307	70.552	0	C627_Link02	U	0	Western	Hoima	697	38	569	25	27	18	0	0	33	26	0	38	0	62366
C629	0	19.463	19	C629_Link01	U	Kyankwa	Western	Hoima	544	30	444	19	21	13	0	0	26	20	0	30	0	3867658
C629	19.463	19.581	0	C629_Link01	U	Kibaale	Western	Hoima	544	30	444	19	21	13	0	0	26	20	0	30	0	23449
C629	19.581	24.35	5	C629_Link01	U	Kibaale	Western	Hoima	718	47	611	34	33	3	0	0	28	9	0	47	0	1249226
C629	24.35	24.504	0	C629_Link01	U	0	Western	Hoima	718	47	611	34	33	3	0	0	28	9	0	47	0	40340
C629	24.504	33.373	9	C629_Link01	U	0	Western	Hoima	730	139	433	61	54	13	1	1	52	111	3	139	0	2363264
C630	0	12.973	13	C630_Link01	U	Masindi	Western	Masindi	454	70	314	15	44	3	0	0	56	21	1	70	0	2151863
C630	12.973	47.661	35	C630_Link02	U	Masindi	Western	Masindi	454	70	314	15	44	3	0	0	56	21	1	70	0	5753783
C630	47.661	47.75	0	C630_Link02	U	0	Western	Masindi	454	70	314	15	44	3	0	0	56	21	1	70	0	14763
C631	0	3.187	3	C631_Link01	U	Masindi	Western	Masindi	454	70	314	15	44	3	0	0	56	21	1	70	0	528635
C632	0	6.504	7	C632_Link01	U	Masindi	Western	Masindi	454	70	314	15	44	3	0	0	56	21	1	70	0	1078834
C633	0	1.188	1	C633_Link01	U	Buliisa	Western	Masindi	358	114	174	12	69	80	1	0	11	9	1	114	0	155109
C633	1.188	1.197	0	C633_Link01	U	0	Western	Masindi	358	114	174	12	69	80	1	0	11	9	1	114	0	1175
C634	0	22.065	22	C634_Link01	U	Buliisa	Western	Masindi	358	114	174	12	69	80	1	0	11	9	1	114	0	2880872
C634	22.065	22.103	0	C634_Link01	U	0	Western	Masindi	358	114	174	12	69	80	1	0	11	9	1	114	0	4961
C635	0	23.301	23	C635_Link01	U	Kiryando	Western	Masindi	501	146	445	6	10	1	1	1	33	3	0	146	0	4257233
C636	0	2.53	3	C636_Link01	U	Masindi	Western	Masindi	454	70	314	15	44	3	0	0	56	21	1	70	0	419657
C636	2.53	2.552	0	C636_Link01	U	0	Western	Masindi	454	70	314	15	44	3	0	0	56	21	1	70	0	3649
C637	0	1.542	2	C637_Link01	U	Masindi	Western	Masindi	454	70	314	15	44	3	0	0	56	21	1	70	0	255775
C637	1.542	1.543	0	C637_Link01	U	0	Western	Masindi	454	70	314	15	44	3	0	0	56	21	1	70	0	166
C638	0	3.449	3	C638_Link01	U	Masindi	Western	Masindi	454	70	314	15	44	3	0	0	56	21	1	70	0	572094
C638	3.449	40.666	37	C638_Link02	U	Masindi	Western	Masindi	454	70	314	15	44	3	0	0	56	21	1	70	0	6173275
C638	40.666	40.739	0	C638_Link02	U	0	Western	Masindi	454	70	314	15	44	3	0	0	56	21	1	70	0	12109
C639	0	68.528	69	C639_Link01	U	Kiboga	Western	Hoima	730	139	433	61	54	13	1	1	52	111	3	139	0	18260204
C650	0	23.579	24	C650_Link01	F	Lira	Northern	Lira	292	255	234	9	16	6	1	0	16	7	1	255	0	2511881
C650	23.579	43.951	20	C650_Link01	F	Alebtong	Northern	Lira	292	255	234	9	16	6	1	0	16	7	1	255	0	2170238
C650	43.951	95.663	52	C650_Link01	F	Otuke	Northern	Lira	292	255	234	9	16	6	1	0	16	7	1	255	0	5508901
C650	95.663	97.4	2	C650_Link01	F	Abim	Eastern	Kotido	228	199	183	7	13	5	1	0	13	6	1	199	0	144586
C650	97.4	121.929	25	C650_Link02	U	Abim	Eastern	Kotido	228	199	183	7	13	5	1	0	13	6	1	199	0	2041770
C650	121.929	122.268	0	C650_Link02	U	0	Eastern	Kotido	228	199	183	7	13	5	1	0	13	6	1	199	0	28218
C650	122.268	122.3	0	C650_Link02	U	0	Eastern	0	228	199	183	7	13	5	1	0	13	6	1	199	0	2664

C651	0	12.771	13	C651_Link01	U	Dokolo	Northern	Lira	821	1727	727	25	28	1	0	0	31	6	1	1727	0	3825975
C651	12.771	30.261	17	C651_Link01	U	Apac	Northern	Lira	821	1727	727	25	28	1	0	0	31	6	1	1727	0	5239707
C651	30.261	30.306	0	C651_Link01	U	0	Northern	Lira	821	1727	727	25	28	1	0	0	31	6	1	1727	0	13481
C652	0	9.102	9	C652_Link01	U	Dokolo	Northern	Lira	738	947	646	9	28	9	0	0	37	9	0	947	0	2451171
C652	9.102	9.141	0	C652_Link01	U	0	Northern	Lira	738	947	646	9	28	9	0	0	37	9	0	947	0	10503
C653	0	30.002	30	C653_Link01	U	Dokolo	Northern	Lira	557	347	350	33	70	56	3	1	27	16	1	347	0	6100220
C653	30.002	45.191	15	C653_Link01	U	Kaberam	Eastern	Lira	435	271	273	25	54	44	2	1	21	13	1	271	0	2413114
C653	45.191	45.661	0	C653_Link01	U	Amolatar	Northern	Lira	557	347	350	33	70	56	3	1	27	16	1	347	0	95564
C653	45.661	87.077	41	C653_Link02	U	Amolatar	Northern	Lira	557	347	350	33	70	56	3	1	27	16	1	347	0	8420995
C653	87.077	87.953	1	C653_Link02	U	0	Northern	Lira	557	347	350	33	70	56	3	1	27	16	1	347	0	178115
C654	0	28.852	29	C654_Link01	U	Oyam	Northern	Lira	692	910	575	34	43	3	0	0	33	4	0	910	0	7286185
C654	28.852	28.87	0	C654_Link02	U	Oyam	Northern	Lira	1815	455	1662	33	77	4	0	0	22	16	0	455	0	11924
C654	28.87	30.853	2	C654_Link02	U	Nyoya	Northern	Lira	1815	455	1662	33	77	4	0	0	22	16	0	455	0	1313609
C654	30.853	30.868	0	C654_Link02	U	Nyoya	Northern	Lira	692	910	575	34	43	3	0	0	33	4	0	910	0	3788
C654	30.868	46.608	16	C654_Link02	U	Oyam	Northern	Lira	692	910	575	34	43	3	0	0	33	4	0	910	0	3974926
C655	0	13.27	13	C655_Link01	U	Gulu	Northern	Gulu	2086	1007	1899	56	55	24	12	0	33	7	0	1007	0	10103713
C655	13.27	13.516	0	C655_Link01	U	Oyam	Northern	Gulu	2086	1007	1899	56	55	24	12	0	33	7	0	1007	0	187303
C655	13.516	40.021	27	C655_Link01	U	Oyam	Northern	Gulu	692	910	575	34	43	3	0	0	33	4	0	910	0	6693482
C655	40.021	54.194	14	C655_Link01	U	Kole	Northern	Gulu	692	910	575	34	43	3	0	0	33	4	0	910	0	3579201
C655	54.194	54.222	0	C655_Link01	U	0	Northern	Gulu	692	910	575	34	43	3	0	0	33	4	0	910	0	7071
C656	0	40.907	41	C656_Link01	U	Amolatar	Northern	Lira	270	809	250	6	7	0	0	0	4	1	0	809	0	4026025
C656	40.907	51.892	11	C656_Link02	U	Amolatar	Northern	Lira	270	809	250	6	7	0	0	0	4	1	0	809	0	1081132
C656	51.892	52.167	0	C656_Link02	U	0	Northern	Lira	270	809	250	6	7	0	0	0	4	1	0	809	0	27065
C657	0	9.25	9	C657_Link01	U	Amolatar	Northern	Lira	270	809	250	6	7	0	0	0	4	1	0	809	0	910375
C657	9.25	9.255	0	C657_Link01	U	0	Northern	Lira	270	809	250	6	7	0	0	0	4	1	0	809	0	492
C658	0	18.027	18	C658_Link01	U	Apac	Northern	Lira	821	1727	727	25	28	1	0	0	31	6	1	1727	0	5400583
C658	18.027	18.065	0	C658_Link01	U	0	Northern	Lira	821	1727	727	25	28	1	0	0	31	6	1	1727	0	11384
C659	0	16.124	16	C659_Link01	U	Apac	Northern	Lira	821	1727	727	25	28	1	0	0	31	6	1	1727	0	4830476
C659	16.124	16.38	0	C659_Link01	U	0	Northern	Lira	821	1727	727	25	28	1	0	0	31	6	1	1727	0	76693
C660	0	14.829	15	C660_Link01	U	Apac	Northern	Lira	821	1727	727	25	28	1	0	0	31	6	1	1727	0	4442516
C660	14.829	14.83	0	C660_Link01	U	0	Northern	Lira	821	1727	727	25	28	1	0	0	31	6	1	1727	0	300
C661	0	12.278	12	C661_Link01	U	Apac	Northern	Lira	821	1727	727	25	28	1	0	0	31	6	1	1727	0	3678280
C661	12.278	26.648	14	C661_Link02	U	Apac	Northern	Lira	821	1727	727	25	28	1	0	0	31	6	1	1727	0	4305008
C661	26.648	26.899	0	C661_Link02	U	0	Northern	Lira	821	1727	727	25	28	1	0	0	31	6	1	1727	0	75195
C662	0	8.619	9	C662_Link01	U	Apac	Northern	Lira	692	910	575	34	43	3	0	0	33	4	0	910	0	2176613
C662	8.619	34.169	26	C662_Link01	U	Apac	Northern	Lira	821	1727	727	25	28	1	0	0	31	6	1	1727	0	7654346
C662	34.169	34.272	0	C662_Link01	U	0	Northern	Lira	821	1727	727	25	28	1	0	0	31	6	1	1727	0	30857
C663	0	1.923	2	C663_Link01	U	Oyam	Northern	Lira	692	910	575	34	43	3	0	0	33	4	0	910	0	485628
C663	1.923	1.935	0	C663_Link01	U	0	Northern	Lira	692	910	575	34	43	3	0	0	33	4	0	910	0	3030
C664	0	0.644	1	C664_Link01	U	Apac	Northern	Lira	821	1727	727	25	28	1	0	0	31	6	1	1727	0	192931
C664	0.644	0.648	0	C664_Link01	U	0	Northern	Lira	821	1727	727	25	28	1	0	0	31	6	1	1727	0	1198
C665	0	11.857	12	C665_Link01	U	Oyam	Northern	Gulu	692	910	575	34	43	3	0	0	33	4	0	910	0	2994326
C665	11.857	32.536	21	C665_Link02	U	Oyam	Northern	Gulu	692	910	575	34	43	3	0	0	33	4	0	910	0	5222204
C666	0	36.613	37	C666_Link01	U	Oyam	Northern	Gulu	692	910	575	34	43	3	0	0	33	4	0	910	0	9246122
C666	36.613	36.755	0	C666_Link01	U	Lira	Northern	Gulu	692	910	575	34	43	3	0	0	33	4	0	910	0	35860
C666	36.755	86.569	50	C666_Link02	U	Lira	Northern	Gulu	692	910	575	34	43	3	0	0	33	4	0	910	0	12579857
C666	86.569	86.853	0	C666_Link02	U	0	Northern	Gulu	692	910	575	34	43	3	0	0	33	4	0	910	0	71720
C667	0	18.378	18	C667_Link01	U	Lira	Northern	Lira	1370	1071	1044	70	81	10	6	0	111	31	16	1071	0	9192791
C667	18.378	18.392	0	C667_Link01	U	Gulu	Northern	Gulu	1370	1071	1044	70	81	10	6	0	111	31	16	1071	0	7003
C667	18.392	29.371	11	C667_Link02	U	Gulu	Northern	Gulu	1767	280	1087	50	243	43	4	19	127	176	16	280	0	7082892
C667	29.371	29.432	0	C667_Link02	U	0	Northern	Gulu	1767	280	1087	50	243	43	4	19	127	176	16	280	0	39353
C669	0	2.277	2	C669_Link01	F	Lira	Northern	Lira	766	599	584	39	46	6	3	0	62	18	9	599	0	636592
C670	0	59.324	59	C670_Link01	U	Alebtong	Northern	Lira	859	982	732	30	47	10	1	1	30	7	0	982	0	18606549
C670	59.324	59.43	0	C670_Link01	U	Amuria	Eastern	Soroti	671	768	572	23	37	8	1	1	23	6	0	768	0	25977
C670	59.43	93.298	34	C670_Link02	U	Amuria	Eastern	Soroti	671	768	572	23	37	8	1	1	23	6	0	768	0	8300004
C670	93.298	93.476	0	C670_Link02	U	0	Eastern	Soroti	671	768	572	23	37	8	1	1	23	6	0	768	0	43622
C671	0	26.945	27	C671_Link01	U	Dokolo	Northern	Lira	265	341	233	3	10	3	0	0	13	3	0	341	0	2608186
C671	26.945	42.332	15	C671_Link01	U	Alebtong	Northern	Lira	265	341	233	3	10	3	0	0	13	3	0	341	0	1489410
C671	42.332	42.37	0	C671_Link01	U	0	Northern	Lira	265	341	233	3	10	3	0	0	13	3	0	341	0	3678
C672	0	12.72	13	C672_Link01	U	Alebtong	Northern	Lira	1370	1071	1044	70	81	10	6	0	111	31	16	1071	0	6362624
C672	12.72	33.308	21	C672_Link02	U	Alebtong	Northern	Lira	1370	1071	1044	70	81	10	6	0	111	31	16	1071	0	10298247
C672	33.308	33.403	0	C672_Link02	U	0	Northern	Lira	1370	1071	1044	70	81	10	6	0	111	31	16	1071	0	47520
C673	0	19.803	20	C673_Link01	U	Alebtong	Northern	Lira	1565	959	1222	37	129	10	1	3	127	31	3	959	0	11308430
C673	19.803	38.615	19	C673_Link02	U	Alebtong	Northern	Lira	1565	959	1222	37	129	10	1	3	127	31	3	959	0	10742523
C673	38.615	46.837	8	C673_Link02	U	Otuke	Northern	Lira	1565	959	1222	37	129	10	1	3	127	31	3	959	0	4695143

C673	46.837	46.99	0	C673_Link02	U	0	Northern	Lira	1565	959	1222	37	129	10	1	3	127	31	3	959	0	87370
C674	0	19.305	19	C674_Link01	U	Agago	Northern	Kitgum	256	230	196	15	24	1	0	1	12	6	1	230	0	1806023
C674	19.305	22.085	3	C674_Link01	U	Agago	Northern	Lira	256	230	196	15	24	1	0	1	12	6	1	230	0	260075
C674	22.085	22.153	0	C674_Link02	U	Agago	Northern	Lira	1370	1071	1044	70	81	10	6	0	111	31	16	1071	0	34014
C674	22.153	38.035	16	C674_Link02	U	Otuke	Northern	Lira	1370	1071	1044	70	81	10	6	0	111	31	16	1071	0	7944276
C675	0	9.166	9	C675_Link01	U	Agago	Northern	Kitgum	1219	465	895	123	114	15	0	0	36	27	10	465	0	4079314
C675	9.166	9.216	0	C675_Link01	U	Pader	Northern	Kitgum	1219	465	895	123	114	15	0	0	36	27	10	465	0	22252
C675	9.216	27.256	18	C675_Link02	U	Pader	Northern	Kitgum	1219	465	895	123	114	15	0	0	36	27	10	465	0	8028673
C675	27.256	27.351	0	C675_Link02	U	0	Northern	Kitgum	1219	465	895	123	114	15	0	0	36	27	10	465	0	42280
C676	0	37.073	37	C676_Link01	U	Agago	Northern	Kitgum	256	230	196	15	24	1	0	1	12	6	1	230	0	3468257
C676	37.073	37.1	0	C676_Link01	U	0	Northern	Kitgum	256	230	196	15	24	1	0	1	12	6	1	230	0	2526
C677	0	31.986	32	C677_Link01	U	Agago	Northern	Kitgum	476	425	361	28	44	3	0	1	22	12	3	425	0	5552293
C677	31.986	62.831	31	C677_Link02	U	Agago	Northern	Kitgum	476	425	361	28	44	3	0	1	22	12	3	425	0	5354232
C677	62.831	62.995	0	C677_Link02	U	Kitgum	Northern	Kitgum	476	425	361	28	44	3	0	1	22	12	3	425	0	28468
C677	62.995	77.391	14	C677_Link03	U	Kitgum	Northern	Kitgum	476	425	361	28	44	3	0	1	22	12	3	425	0	2498931
C677	77.391	77.6	0	C677_Link03	U	0	Northern	Kitgum	476	425	361	28	44	3	0	1	22	12	3	425	0	36279
C678	0	37.201	37	C678_Link01	U	Agago	Northern	Kitgum	132	236	116	1	9	0	0	0	4	1	0	236	0	1790408
C678	37.201	74.352	37	C678_Link02	U	Agago	Northern	Kitgum	132	236	116	1	9	0	0	0	4	1	0	236	0	1788002
C678	74.352	74.461	0	C678_Link02	U	0	Northern	Kitgum	132	236	116	1	9	0	0	0	4	1	0	236	0	5246
C680	0	63.963	64	C680_Link01	U	Gulu	Northern	Gulu	1461	418	1202	61	132	15	3	0	31	18	0	418	0	34104616
C680	63.963	64.108	0	C680_Link01	U	Pader	Northern	Gulu	1461	418	1202	61	132	15	3	0	31	18	0	418	0	77313
C680	64.108	90.943	27	C680_Link02	U	Pader	Northern	Gulu	1461	418	1202	61	132	15	3	0	31	18	0	418	0	14308231
C680	90.943	91.103	0	C680_Link02	U	0	Northern	Gulu	1461	418	1202	61	132	15	3	0	31	18	0	418	0	85311
C681	0	45.082	45	C681_Link01	F	Apac	Northern	Kitgum	1219	465	895	123	114	15	0	0	36	27	10	465	0	20063672
C681	45.082	45.119	0	C681_Link01	F	Gulu	Northern	Gulu	1219	465	895	123	114	15	0	0	36	27	10	465	0	16467
C681	45.119	83.186	38	C681_Link02	F	Gulu	Northern	Gulu	2354	373	1449	67	323	58	6	25	169	236	22	373	0	32709957
C681	83.186	83.649	0	C681_Link02	F	Gulu	Northern	Gulu	1767	280	1087	50	243	43	4	19	127	176	16	280	0	298696
C681	83.649	83.741	0	C681_Link02	F	0	Northern	Gulu	1767	280	1087	50	243	43	4	19	127	176	16	280	0	59352
C682	0	24.32	24	C682_Link01	U	Gulu	Northern	Gulu	1767	280	1087	50	243	43	4	19	127	176	16	280	0	15689584
C682	24.32	57.421	33	C682_Link01	U	Amuru	Northern	Gulu	1767	280	1087	50	243	43	4	19	127	176	16	280	0	21354479
C682	57.421	57.529	0	C682_Link01	U	0	Northern	Gulu	1767	280	1087	50	243	43	4	19	127	176	16	280	0	69674
C683	0	3.89	4	C683_Link01	U	Gulu	Northern	Gulu	1767	280	1087	50	243	43	4	19	127	176	16	280	0	2509559
C683	3.89	3.911	0	C683_Link01	U	0	Northern	Gulu	1767	280	1087	50	243	43	4	19	127	176	16	280	0	13548
C684	0	4.097	4	C684_Link01	F	Gulu	Northern	Gulu	1767	280	1087	50	243	43	4	19	127	176	16	280	0	2643101
C684	4.097	4.101	0	C684_Link01	F	0	Northern	Gulu	1767	280	1087	50	243	43	4	19	127	176	16	280	0	2581
C685	0	34.518	35	C685_Link01	U	Gulu	Northern	Gulu	1815	455	1662	33	77	4	0	0	22	16	0	455	0	22865944
C685	34.518	34.538	0	C685_Link01	U	0	Northern	Gulu	1815	455	1662	33	77	4	0	0	22	16	0	455	0	13249
C686	0	31.103	31	C686_Link01	U	Amuru	Northern	Gulu	1796	480	1399	44	178	33	3	0	92	44	3	480	0	20385075
C686	31.103	75.079	44	C686_Link02	U	Amuru	Northern	Gulu	1796	480	1399	44	178	33	3	0	92	44	3	480	0	28822109
C686	75.079	97.817	23	C686_Link03	U	Amuru	Northern	Gulu	1796	480	1399	44	178	33	3	0	92	44	3	480	0	14902609
C686	97.817	98.122	0	C686_Link03	U	0	Northern	Gulu	1796	480	1399	44	178	33	3	0	92	44	3	480	0	199899
C687	0	0.208	0	C687_Link01	U	Nyoya	Northern	Arua	1815	455	1662	33	77	4	0	0	22	16	0	455	0	137787
C687	0.208	0.21	0	C687_Link01	U	0	Northern	Arua	1815	455	1662	33	77	4	0	0	22	16	0	455	0	1325
C688	0	25.652	26	C688_Link01	U	Amuru	Northern	Moyo	720	193	560	18	71	13	1	0	37	18	1	193	0	6741630
C688	25.652	81.133	55	C688_Link02	U	Amuru	Northern	Moyo	1242	256	1083	44	71	0	0	0	27	13	3	256	0	25141762
C688	81.133	85.106	4	C688_Link02	U	Adjuman	Northern	Moyo	1242	256	1083	44	71	0	0	0	27	13	3	256	0	1800404
C689	0	30.919	31	C689_Link01	U	Amuru	Northern	Moyo	929	416	643	73	105	9	1	0	79	19	0	416	0	10483358
C689	30.919	59.775	29	C689_Link01	U	Adjuman	Northern	Moyo	929	416	643	73	105	9	1	0	79	19	0	416	0	9783879
C689	59.775	59.895	0	C689_Link01	U	0	Northern	Moyo	929	416	643	73	105	9	1	0	79	19	0	416	0	40687
C690	0	20.021	20	C690_Link01	U	Amuru	Northern	Gulu	1767	280	1087	50	243	43	4	19	127	176	16	280	0	12916166
C690	20.021	20.022	0	C690_Link01	U	0	Northern	Gulu	1767	280	1087	50	243	43	4	19	127	176	16	280	0	645
C691	0	3.956	4	C691_Link01	U	Gulu	Northern	Gulu	1767	280	1087	50	243	43	4	19	127	176	16	280	0	2552138
C691	3.956	3.961	0	C691_Link01	U	0	Northern	Gulu	1767	280	1087	50	243	43	4	19	127	176	16	280	0	3226
C692	0	1.63	2	C692_Link01	U	Gulu	Northern	Gulu	1767	280	1087	50	243	43	4	19	127	176	16	280	0	1051563
C692	1.63	1.633	0	C692_Link01	U	0	Northern	Gulu	1767	280	1087	50	243	43	4	19	127	176	16	280	0	1935
C693	0	20.385	20	C693_Link01	U	Oyam	Northern	Lira	692	910	575	34	43	3	0	0	33	4	0	910	0	5147958
C693	20.385	22.889	3	C693_Link01	U	Apac	Northern	Lira	692	910	575	34	43	3	0	0	33	4	0	910	0	632352
C693	22.889	23.087	0	C693_Link01	U	0	Northern	Lira	692	910	575	34	43	3	0	0	33	4	0	910	0	50002
C700	0	27.852	28	C700_Link01	U	Amuru	Northern	Kitgum	616	501	486	13	43	0	0	0	34	27	13	501	0	6265520
C700	27.852	37.731	10	C700_Link01	U	Gulu	Northern	Kitgum	616	501	486	13	43	0	0	0	34	27	13	501	0	2222357
C700	37.731	55.933	18	C700_Link01	U	Kitgum	Northern	Kitgum	616	501	486	13	43	0	0	0	34	27	13	501	0	4094679
C700	55.933	65	9	C700_Link01	U	Lamwo	Northern	Kitgum	616	501	486	13	43	0	0	0	34	27	13	501	0	2039691
C700	65	107.853	43	C700_Link02	U	Lamwo	Northern	Kitgum	616	501	486	13	43	0	0	0	34	27	13	501	0	9640110
C700	107.853	108	0	C700_Link02	U	0	Northern	Kitgum	616	501	486	13	43	0	0	0	34	27	13	501	0	33069
C701	0	7.891	8	C701_Link01	U	Kitgum	Northern	Kitgum	259	194	173	24	36	1	0	0	10	13	1	194	0	746754

C701	7.891	67.102	59	C701_Link01	U	Lamwo	Northern	Kitgum	259	194	173	24	36	1	0	0	10	13	1	194	0	5603351
C701	67.102	67.331	0	C701_Link01	U	0	Northern	Kitgum	259	194	173	24	36	1	0	0	10	13	1	194	0	21671
C702	0	48.484	48	C702_Link01	U	Lamwo	Northern	Kitgum	259	194	173	24	36	1	0	0	10	13	1	194	0	4588217
C702	48.484	49.063	1	C702_Link01	U	0	Northern	Kitgum	259	194	173	24	36	1	0	0	10	13	1	194	0	54793
C703	0	79.063	79	C703_Link01	U	Kitgum	Northern	Kitgum	739	252	458	41	144	12	3	10	43	27	1	252	0	21334440
C703	79.063	79.113	0	C703_Link01	U	0	Northern	Kitgum	739	252	458	41	144	12	3	10	43	27	1	252	0	13492
C704	0	24.822	25	C704_Link01	U	Lamwo	Northern	Kitgum	259	194	173	24	36	1	0	0	10	13	1	194	0	2348996
C704	24.822	24.86	0	C704_Link01	U	0	Northern	Kitgum	259	194	173	24	36	1	0	0	10	13	1	194	0	3596
C705	0	16.832	17	C705_Link01	U	Lamwo	Northern	Kitgum	259	194	173	24	36	1	0	0	10	13	1	194	0	1592873
C705	16.832	35.731	19	C705_Link02	U	Lamwo	Northern	Kitgum	259	194	173	24	36	1	0	0	10	13	1	194	0	1788481
C705	35.731	35.81	0	C705_Link02	U	0	Northern	Kitgum	259	194	173	24	36	1	0	0	10	13	1	194	0	7476
C706	0	17.307	17	C706_Link01	U	Lamwo	Northern	Kitgum	259	194	173	24	36	1	0	0	10	13	1	194	0	1637824
C706	17.307	29.292	12	C706_Link02	U	Lamwo	Northern	Kitgum	259	194	173	24	36	1	0	0	10	13	1	194	0	1134184
C706	29.292	29.345	0	C706_Link02	U	0	Northern	Kitgum	259	194	173	24	36	1	0	0	10	13	1	194	0	5016
C707	0	1.34	1	C707_Link01	U	Lamwo	Northern	Kitgum	259	194	173	24	36	1	0	0	10	13	1	194	0	126809
C707	1.34	1.342	0	C707_Link01	U	0	Northern	Kitgum	259	194	173	24	36	1	0	0	10	13	1	194	0	189
C708	0	45.085	45	C708_Link01	U	Lamwo	Northern	Kitgum	259	194	173	24	36	1	0	0	10	13	1	194	0	4266557
C709	0	36.867	37	C709_Link01	U	Lamwo	Northern	Kitgum	259	194	173	24	36	1	0	0	10	13	1	194	0	3488858
C709	36.867	37.125	0	C709_Link01	U	0	Northern	Kitgum	259	194	173	24	36	1	0	0	10	13	1	194	0	24415
C710	0	41.183	41	C710_Link01	U	Kitgum	Northern	Kitgum	739	252	458	41	144	12	3	10	43	27	1	252	0	11112863
C710	41.183	41.4	0	C710_Link01	U	0	Northern	Kitgum	739	252	458	41	144	12	3	10	43	27	1	252	0	58556
C711	0	1.264	1	C711_Link01	U	0	Northern	Kitgum	739	252	458	41	144	12	3	10	43	27	1	252	0	341079
C720	0	10.662	11	C720_Link01	U	Moyo	Northern	Moyo	427	172	342	19	41	3	1	0	10	6	3	172	0	1660499
C721	0	32.432	32	C721_Link01	U	Moyo	Northern	Moyo	2664	2474	1882	200	295	33	4	0	188	53	9	2474	0	31533403
C721	32.432	45.546	13	C721_Link01	U	Moyo	Northern	Moyo	427	172	342	19	41	3	1	0	10	6	3	172	0	2042373
C722	0	52.944	53	C722_Link01	U	Moyo	Northern	Moyo	427	172	342	19	41	3	1	0	10	6	3	172	0	8245494
C722	52.944	53.037	0	C722_Link01	U	0	Northern	Moyo	427	172	342	19	41	3	1	0	10	6	3	172	0	14484
C723	0	3.397	3	C723_Link01	U	Adjuman	Northern	Moyo	1242	256	1083	44	71	0	0	0	27	13	3	256	0	1539384
C723	3.397	3.441	0	C723_Link01	U	0	Northern	Moyo	1242	256	1083	44	71	0	0	0	27	13	3	256	0	19939
C725	0	12.2	12	C725_Link01	U	Adjuman	Northern	Moyo	1242	256	1083	44	71	0	0	0	27	13	3	256	0	5528550
C725	12.2	18.766	7	C725_Link02	U	Adjuman	Northern	Moyo	1242	256	1083	44	71	0	0	0	27	13	3	256	0	2975448
C725	18.766	18.8	0	C725_Link02	U	0	Northern	Moyo	1242	256	1083	44	71	0	0	0	27	13	3	256	0	15407
C726	0	34.339	34	C726_Link01	U	Adjuman	Northern	Moyo	1242	256	1083	44	71	0	0	0	27	13	3	256	0	15561057
C726	34.339	34.352	0	C726_Link01	U	0	Northern	Moyo	1242	256	1083	44	71	0	0	0	27	13	3	256	0	5891
C727	0	14.329	14	C727_Link01	U	0	Northern	Arua	1242	256	1083	44	71	0	0	0	27	13	3	256	0	6493328
C740	0	16.429	16	C740_Link01	U	Koboko	Northern	Arua	1545	449	640	170	387	92	6	12	108	79	52	449	0	9266225
C740	16.429	36.23	20	C740_Link01	U	Yumbe	Northern	Arua	1545	449	640	170	387	92	6	12	108	79	52	449	0	11168089
C741	0	51.473	51	C741_Link01	U	Arua	Northern	Arua	1016	209	523	98	176	6	7	3	90	83	30	209	0	19094620
C741	51.473	51.549	0	C741_Link01	U	0	Northern	Arua	1016	209	523	98	176	6	7	3	90	83	30	209	0	28193
C742	0	22.608	23	C742_Link01	U	Arua	Northern	Arua	1016	209	523	98	176	6	7	3	90	83	30	209	0	8386750
C742	22.608	22.638	0	C742_Link01	U	0	Northern	Arua	1016	209	523	98	176	6	7	3	90	83	30	209	0	11129
C743	0	41.685	42	C743_Link01	U	Nebbi	Northern	Arua	492	147	413	6	30	1	0	0	24	16	1	147	0	7483854
C743	41.685	59.771	18	C743_Link01	U	Arua	Northern	Arua	492	147	413	6	30	1	0	0	24	16	1	147	0	3247043
C743	59.771	92.725	33	C743_Link02	U	Arua	Northern	Arua	1144	234	588	110	199	7	9	3	102	93	33	234	0	13757289
C743	92.725	92.79	0	C743_Link02	U	0	Northern	Arua	1144	234	588	110	199	7	9	3	102	93	33	234	0	27136
C744	0	9.373	9	C744_Link01	F	Arua	Northern	Arua	2551	942	1896	142	256	21	3	0	47	74	111	942	0	8728089
C744	9.373	9.411	0	C744_Link01	F	0	Northern	Arua	2551	942	1896	142	256	21	3	0	47	74	111	942	0	35385
C745	0	15.025	15	C745_Link01	U	Nebbi	Northern	Arua	1376	373	776	141	159	56	4	6	79	87	68	373	0	7548099
C745	15.025	15.141	0	C745_Link01	U	0	Northern	Arua	1376	373	776	141	159	56	4	6	79	87	68	373	0	58275
C746	0	33.96	34	C746_Link01	U	Nebbi	Northern	Arua	492	147	413	6	30	1	0	0	24	16	1	147	0	6096958
C747	0	51.617	52	C747_Link01	U	Nebbi	Northern	Arua	507	151	427	6	31	1	0	0	24	16	1	151	0	9546107
C747	51.617	52.029	0	C747_Link01	U	0	Northern	Arua	507	151	427	6	31	1	0	0	24	16	1	151	0	76196
C748	0	28.118	28	C748_Link01	U	Arua	Northern	Arua	1016	209	523	98	176	6	7	3	90	83	30	209	0	10430760
C748	28.118	28.15	0	C748_Link01	U	0	Northern	Arua	1016	209	523	98	176	6	7	3	90	83	30	209	0	11871
C749	0	23.2	23	C749_Link01	U	Arua	Northern	Arua	1016	209	523	98	176	6	7	3	90	83	30	209	0	8606360
C749	23.2	23.257	0	C749_Link01	U	0	Northern	Arua	1016	209	523	98	176	6	7	3	90	83	30	209	0	21145
C750	0	5.962	6	C750_Link01	U	Arua	Northern	Arua	1016	209	523	98	176	6	7	3	90	83	30	209	0	2211686
C750	5.962	5.971	0	C750_Link01	U	0	Northern	Arua	1016	209	523	98	176	6	7	3	90	83	30	209	0	3339
C751	0	14.571	15	C751_Link01	U	Arua	Northern	Arua	1016	209	523	98	176	6	7	3	90	83	30	209	0	5405314
C751	14.571	14.61	0	C751_Link01	U	0	Northern	Arua	1016	209	523	98	176	6	7	3	90	83	30	209	0	14468
C752	0	15.178	15	C752_Link01	U	Arua	Northern	Arua	732	1207	569	22	87	0	0	0	24	21	9	1207	0	4054608
C752	15.178	15.205	0	C752_Link01	U	0	Northern	Arua	732	1207	569	22	87	0	0	0	24	21	9	1207	0	7213
C753	0	3.631	4	C753_Link01	U	Nebbi	Northern	Arua	492	147	413	6	30	1	0	0	24	16	1	147	0	651886
C753	3.631	3.65	0	C753_Link01	U	0	Northern	Arua	492	147	413	6	30	1	0	0	24	16	1	147	0	3411
C755	0	14.557	15	C755_Link01	U	Arua	Northern	Arua	1016	209	523	98	176	6	7	3	90	83	30	209	0	5400120

C756	0	44.005	44	C756_Link01	U	Yumbe	Northern	Moyo	2664	2474	1882	200	295	33	4	0	188	53	9	2474	0	42785748
C756	44.005	44.148	0	C756_Link01	U	0	Northern	Moyo	2664	2474	1882	200	295	33	4	0	188	53	9	2474	0	139038
C757	0	38.446	38	C757_Link01	U	Koboko	Northern	Arua	222	299	200	3	12	0	0	0	3	3	1	299	0	3118529
C757	38.446	38.536	0	C757_Link01	U	0	Northern	Arua	222	299	200	3	12	0	0	0	3	3	1	299	0	7300
C758	0	14.013	14	C758_Link01	U	Yumbe	Northern	Moyo	964	896	682	73	107	12	1	0	68	19	3	896	0	4933096
C758	14.013	35.659	22	C758_Link02	U	Yumbe	Northern	Moyo	964	896	682	73	107	12	1	0	68	19	3	896	0	7620195
C758	35.659	35.746	0	C758_Link02	U	0	Northern	Moyo	964	896	682	73	107	12	1	0	68	19	3	896	0	30627
C759	0	34.123	34	C759_Link01	U	Arua	Northern	Arua	1016	209	523	98	176	6	7	3	90	83	30	209	0	12658398
C759	34.123	34.206	0	C759_Link01	U	0	Northern	Arua	1016	209	523	98	176	6	7	3	90	83	30	209	0	30790
C760	0	16.831	17	C760_Link01	U	Arua	Northern	Arua	1016	209	523	98	176	6	7	3	90	83	30	209	0	6243692
C760	16.831	16.845	0	C760_Link01	U	0	Northern	Arua	1016	209	523	98	176	6	7	3	90	83	30	209	0	5193
C761	0	17.612	18	C761_Link01	U	Arua	Northern	Arua	2664	2474	1882	200	295	33	4	0	188	53	9	2474	0	17124022
C761	17.612	17.651	0	C761_Link01	U	0	Northern	Arua	2664	2474	1882	200	295	33	4	0	188	53	9	2474	0	37919
C762	0	0.098	0	C762_Link01	U	Arua	Northern	Arua	259	194	173	24	36	1	0	0	10	13	1	194	0	9274
C762	0.098	23	23	C762_Link01	U	Arua	Northern	Arua	159	207	120	1	21	0	0	0	13	3	0	207	0	1325149
C762	23	24.018	1	C762_Link02	U	Arua	Northern	Arua	159	207	120	1	21	0	0	0	13	3	0	207	0	58903
C762	24.018	36.639	13	C762_Link02	U	Arua	Northern	Arua	259	194	173	24	36	1	0	0	10	13	1	194	0	1194371
C762	36.639	36.758	0	C762_Link02	U	0	Northern	Arua	259	194	173	24	36	1	0	0	10	13	1	194	0	11261
C762	36.758	36.8	0	C762_Link02	U	0	Northern	0	259	194	173	24	36	1	0	0	10	13	1	194	0	3975
C763	0	22	22	C763_Link01	U	Arua	Northern	Arua	484	148	388	24	40	6	1	0	19	6	0	148	0	3890253
C763	22	83.015	61	C763_Link02	U	Arua	Northern	Arua	484	148	388	24	40	6	1	0	19	6	0	148	0	10789263
C763	83.015	83.2	0	C763_Link02	U	0	Northern	Arua	484	148	388	24	40	6	1	0	19	6	0	148	0	32713
C764	0	22.026	22	C764_Link01	U	Arua	Northern	Arua	1016	209	523	98	176	6	7	3	90	83	30	209	0	8170849
C764	22.026	22.055	0	C764_Link01	U	0	Northern	Arua	1016	209	523	98	176	6	7	3	90	83	30	209	0	10758
C765	0	0.274	0	C765_Link01	U	0	Northern	Arua	1767	280	1087	50	243	43	4	19	127	176	16	280	0	176766
C766	0	9.455	9	C766_Link01	U	0	Northern	Arua	2664	2474	1882	200	295	33	4	0	188	53	9	2474	0	9193029
C767	0	6.688	7	C767_Link01	U	0	Northern	Arua	1016	209	523	98	176	6	7	3	90	83	30	209	0	2481006
C768	0	10.228	10	C768_Link01	U	0	Northern	Arua	2664	2474	1882	200	295	33	4	0	188	53	9	2474	0	9944612
C780	0	7.702	8	C780_Link01	U	Iganga	Eastern	Jinja	1491	469	1293	44	49	10	2	2	36	52	2	469	0	4191603
C780	7.702	33.417	26	C780_Link01	U	Luuka	Eastern	Jinja	1491	469	1293	44	49	10	2	2	36	52	2	469	0	13994686
C780	33.417	50.041	17	C780_Link01	U	Kamuli	Eastern	Jinja	1491	469	1293	44	49	10	2	2	36	52	2	469	0	9047158
C780	50.041	57.064	7	C780_Link02	U	Kamuli	Eastern	Jinja	1491	469	1293	44	49	10	2	2	36	52	2	469	0	3822076
C780	57.064	57.226	0	C780_Link02	U	0	Eastern	Jinja	1491	469	1293	44	49	10	2	2	36	52	2	469	0	88164
C781	0	9.165	9	C781_Link01	U	Iganga	Eastern	Jinja	2402	380	2050	69	42	78	10	2	61	88	1	380	0	8035471
C781	9.165	20.406	11	C781_Link01	U	Mayuge	Eastern	Jinja	2402	380	2050	69	42	78	10	2	61	88	1	380	0	9855617
C781	20.406	29.467	9	C781_Link02	U	Mayuge	Eastern	Jinja	2402	380	2050	69	42	78	10	2	61	88	1	380	0	7944288
C781	29.467	59.059	30	C781_Link03	U	Mayuge	Eastern	Jinja	2402	380	2050	69	42	78	10	2	61	88	1	380	0	25944970
C781	59.059	59.318	0	C781_Link03	U	0	Eastern	Jinja	2402	380	2050	69	42	78	10	2	61	88	1	380	0	227080
C782	0	35.6	36	C782_Link01	F	Mayuge	Eastern	Jinja	203	152	135	19	28	1	0	0	8	10	1	152	0	2632381
C782	35.6	36.623	1	C782_Link02	F	Mayuge	Eastern	Jinja	203	152	135	19	28	1	0	0	8	10	1	152	0	75644
C782	36.623	38.039	1	C782_Link02	F	Mayuge	Eastern	Tororo	203	152	135	19	28	1	0	0	8	10	1	152	0	104704
C782	38.039	42.775	5	C782_Link02	F	Iganga	Eastern	Tororo	203	152	135	19	28	1	0	0	8	10	1	152	0	350195
C782	42.775	54.937	12	C782_Link02	F	Bugiri	Eastern	Tororo	203	152	135	19	28	1	0	0	8	10	1	152	0	899298
C782	54.937	63.463	9	C782_Link02	F	Namayin	Eastern	Tororo	203	152	135	19	28	1	0	0	8	10	1	152	0	630441
C782	63.463	77.4	14	C782_Link02	F	Busia	Eastern	Tororo	203	152	135	19	28	1	0	0	8	10	1	152	0	1030548
C783	0	16.884	17	C783_Link01	F	Namayin	Eastern	Tororo	203	152	135	19	28	1	0	0	8	10	1	152	0	1248459
C783	16.884	16.928	0	C783_Link01	F	0	Eastern	Tororo	203	152	135	19	28	1	0	0	8	10	1	152	0	3254
C784	0	29.466	29	C784_Link01	F	Iganga	Eastern	Jinja	203	152	135	19	28	1	0	0	8	10	1	152	0	2178813
C784	29.466	32.032	3	C784_Link01	F	Kaliro	Eastern	Jinja	203	152	135	19	28	1	0	0	8	10	1	152	0	189738
C784	32.032	71.327	39	C784_Link02	U	Kaliro	Eastern	Jinja	1630	787	1484	44	43	19	9	0	25	6	0	787	0	23377642
C784	71.327	74.241	3	C784_Link02	U	Buyende	Eastern	Jinja	1630	787	1484	44	43	19	9	0	25	6	0	787	0	1733616
C784	74.241	84.232	10	C784_Link02	U	0	Eastern	0	203	152	135	19	28	1	0	0	8	10	1	152	0	738767
C785	0	5.75	6	C785_Link01	U	Jinja	Eastern	Jinja	1491	469	1293	44	49	10	2	2	36	52	2	469	0	3129280
C785	5.75	8.89	3	C785_Link01	U	Kamuli	Eastern	Jinja	1491	469	1293	44	49	10	2	2	36	52	2	469	0	1708859
C785	8.89	23.051	14	C785_Link01	U	Luuka	Eastern	Jinja	1491	469	1293	44	49	10	2	2	36	52	2	469	0	7706737
C785	23.051	30.822	8	C785_Link02	U	Luuka	Eastern	Jinja	2352	536	2219	29	34	8	0	0	50	13	0	536	0	6672082
C785	30.822	43.684	13	C785_Link02	U	Iganga	Eastern	Jinja	2352	536	2219	29	34	8	0	0	50	13	0	536	0	11043150
C785	43.684	47.427	4	C785_Link02	U	Kaliro	Eastern	Jinja	2352	536	2219	29	34	8	0	0	50	13	0	536	0	3213692
C786	0	12.018	12	C786_Link01	U	Kaliro	Eastern	Jinja	1491	469	1293	44	49	10	2	2	36	52	2	469	0	6540468
C786	12.018	25.651	14	C786_Link01	U	Luuka	Eastern	Jinja	1491	469	1293	44	49	10	2	2	36	52	2	469	0	7419388
C786	25.651	45.195	20	C786_Link01	U	Kamuli	Eastern	Jinja	1491	469	1293	44	49	10	2	2	36	52	2	469	0	10636288
C786	45.195	45.284	0	C786_Link01	U	0	Eastern	Jinja	1491	469	1293	44	49	10	2	2	36	52	2	469	0	48436
C787	0	11.37	11	C787_Link01	U	Iganga	Eastern	Jinja	2352	536	2219	29	34	8	0	0	50	13	0	536	0	9762138
C787	11.37	19.76	8	C787_Link02	U	Iganga	Eastern	Jinja	2352	536	2219	29	34	8	0	0	50	13	0	536	0	7203548
C788	0	15.286	15	C788_Link01	U	Iganga	Eastern	Jinja	2352	536	2219	29	34	8	0	0	50	13	0	536	0	13124366

C789	0	5.853	6	C789_Link01	U	Kamuli	Eastern	Jinja	1491	469	1293	44	49	10	2	2	36	52	2	469	0	3185335
C789	5.853	5.883	0	C789_Link01	U	0	Eastern	Jinja	1491	469	1293	44	49	10	2	2	36	52	2	469	0	16327
C790	0	6.063	6	C790_Link01	U	Kamuli	Eastern	Jinja	1491	469	1293	44	49	10	2	2	36	52	2	469	0	3299622
C790	6.063	6.443	0	C790_Link01	U	Buyende	Eastern	Jinja	1491	469	1293	44	49	10	2	2	36	52	2	469	0	206805
C790	6.443	6.532	0	C790_Link01	U	0	Eastern	Jinja	1491	469	1293	44	49	10	2	2	36	52	2	469	0	48436
C791	0	0.911	1	C791_Link01	U	Jinja	Eastern	Jinja	2353	489	1783	110	111	204	7	3	94	41	1	489	0	782558
C792	0	18.484	18	C792_Link01	U	Jinja	Eastern	Jinja	2030	421	1537	95	96	176	6	3	81	35	1	421	0	13698919
C792	18.484	55.683	37	C792_Link02	U	Jinja	Eastern	Jinja	823	259	714	24	27	6	1	1	20	29	1	259	0	11175363
C793	0	2.157	2	C793_Link01	U	Kamuli	Eastern	Jinja	1491	469	1293	44	49	10	2	2	36	52	2	469	0	1173888
C794	0	2.403	2	C794_Link01	U	Kamuli	Eastern	Jinja	1491	469	1293	44	49	10	2	2	36	52	2	469	0	1307767
C795	0	8.719	9	C795_Link01	U	Kamuli	Eastern	Jinja	1491	469	1293	44	49	10	2	2	36	52	2	469	0	4745077
C796	0	7.927	8	C796_Link01	U	Jinja	Eastern	Jinja	2353	489	1783	110	111	204	7	3	94	41	1	489	0	6809371
C796	7.927	7.996	0	C796_Link01	U	0	Eastern	Jinja	2353	489	1783	110	111	204	7	3	94	41	1	489	0	59272
C797	0	7.052	7	C797_Link01	U	Jinja	Eastern	Jinja	1498	241	1018	51	42	15	1	0	52	318	1	241	0	3855736
C797	7.052	19.07	12	C797_Link02	U	Jinja	Eastern	Jinja	1498	241	1018	51	42	15	1	0	52	318	1	241	0	6570936
C797	19.07	37.958	19	C797_Link03	U	Jinja	Eastern	Jinja	1498	241	1018	51	42	15	1	0	52	318	1	241	0	10327163
C797	37.958	38.2156	0	C797_Link03	U	0	Eastern	Jinja	1498	241	1018	51	42	15	1	0	52	318	1	241	0	140845
C798	0	3.499	3	C798_Link01	U	Jinja	Eastern	Jinja	2353	489	1783	110	111	204	7	3	94	41	1	489	0	3005675
C798	3.499	3.519	0	C798_Link01	U	0	Eastern	Jinja	2353	489	1783	110	111	204	7	3	94	41	1	489	0	17180
C799	0	4.137	4	C799_Link01	U	Jinja	Eastern	Jinja	2353	489	1783	110	111	204	7	3	94	41	1	489	0	3553724
C800	0	16.595	17	C800_Link01	U	Bugiri	Eastern	Jinja	1263	640	1174	23	23	5	0	0	27	10	1	640	0	7650023
C800	16.595	16.699	0	C800_Link01	U	0	Eastern	Jinja	1263	640	1174	23	23	5	0	0	27	10	1	640	0	47942
C801	0	12.581	13	C801_Link01	U	Namayin	Eastern	Tororo	203	152	135	19	28	1	0	0	8	10	1	152	0	930281
C801	12.581	12.645	0	C801_Link01	U	0	Eastern	Tororo	203	152	135	19	28	1	0	0	8	10	1	152	0	4732
C802	0	0.913	1	C802_Link01	U	Iganga	Eastern	Jinja	2352	536	2219	29	34	8	0	0	50	13	0	536	0	783890
C803	0	17.93	18	C803_Link01	U	Iganga	Eastern	Jinja	655	149	618	8	9	2	0	0	14	3	0	149	0	4288027
C803	17.93	50.02	32	C803_Link02	U	Iganga	Eastern	Jinja	655	149	618	8	9	2	0	0	14	3	0	149	0	7674444
C804	0	19.057	19	C804_Link01	U	Bugiri	Eastern	Jinja	1263	640	1174	23	23	5	0	0	27	10	1	640	0	8784965
C804	19.057	19.174	0	C804_Link01	U	0	Eastern	Jinja	1263	640	1174	23	23	5	0	0	27	10	1	640	0	53935
C805	0	2.128	2	C805_Link01	U	Iganga	Eastern	Jinja	2352	536	2219	29	34	8	0	0	50	13	0	536	0	1827074
C805	2.128	8.188	6	C805_Link01	U	Iganga	Eastern	Jinja	882	468	813	15	30	7	0	0	10	7	0	468	0	1951140
C805	8.188	10.517	2	C805_Link01	U	Namutu	Eastern	Jinja	882	468	813	15	30	7	0	0	10	7	0	468	0	749869
C805	10.517	26.01	15	C805_Link02	U	Namutu	Eastern	Jinja	882	468	813	15	30	7	0	0	10	7	0	468	0	4988285
C805	26.01	26.127	0	C805_Link02	U	0	Eastern	Jinja	882	468	813	15	30	7	0	0	10	7	0	468	0	37671
C806	0	10.733	11	C806_Link01	U	Namutu	Eastern	Jinja	882	468	813	15	30	7	0	0	10	7	0	468	0	3455707
C806	10.733	10.793	0	C806_Link01	U	0	Eastern	Jinja	882	468	813	15	30	7	0	0	10	7	0	468	0	19318
C807	0	0.773	1	C807_Link01	U	Namutu	Eastern	Jinja	882	468	813	15	30	7	0	0	10	7	0	468	0	248883
C808	0	1.014	1	C808_Link01	U	Iganga	Eastern	Jinja	1630	787	1484	44	43	19	9	0	25	6	0	787	0	603256
C808	1.014	1.017	0	C808_Link01	U	0	Eastern	Jinja	1630	787	1484	44	43	19	9	0	25	6	0	787	0	1785
C809	0	22.26	22	C809_Link01	U	Kaliro	Eastern	Jinja	1630	787	1484	44	43	19	9	0	25	6	0	787	0	13243067
C810	0	10.233	10	C810_Link01	U	Pallisa	Eastern	Mbale	1630	787	1484	44	43	19	9	0	25	6	0	787	0	6087884
C810	10.233	10.418	0	C810_Link01	U	0	Eastern	Mbale	1630	787	1484	44	43	19	9	0	25	6	0	787	0	110061
C811	0	10.4	10	C811_Link01	U	Kamuli	Eastern	Jinja	2316	549	2037	61	76	56	5	2	54	23	1	549	0	8793083
C811	10.4	10.427	0	C811_Link01	U	Buyende	Eastern	Jinja	2316	549	2037	61	76	56	5	2	54	23	1	549	0	22828
C811	10.427	46.845	36	C811_Link02	U	Buyende	Eastern	Jinja	2316	549	2037	61	76	56	5	2	54	23	1	549	0	30791011
C812	0	46.019	46	C812_Link01	U	Buyende	Eastern	Jinja	1491	469	1293	44	49	10	2	2	36	52	2	469	0	25044583
C813	0	30.231	30	C813_Link01	U	Namayin	Eastern	Tororo	203	152	135	19	28	1	0	0	8	10	1	152	0	2235380
C813	30.231	30.368	0	C813_Link01	U	0	Eastern	Tororo	203	152	135	19	28	1	0	0	8	10	1	152	0	10130
C815	0	19.22	19	C815_Link01	U	Jinja	Eastern	Jinja	2353	489	1783	110	111	204	7	3	94	41	1	489	0	16510169
C815	19.22	19.356	0	C815_Link01	U	0	Eastern	Jinja	2353	489	1783	110	111	204	7	3	94	41	1	489	0	116825
C816	0	7.987	8	C816_Link01	U	Jinja	Eastern	Jinja	2353	489	1783	110	111	204	7	3	94	41	1	489	0	6860912
C816	7.987	8.052	0	C816_Link01	U	0	Eastern	Jinja	2353	489	1783	110	111	204	7	3	94	41	1	489	0	55836
C817	0	23.703	24	C817_Link01	U	Bugiri	Eastern	Jinja	618	292	566	12	12	1	0	0	19	2	7	292	0	5348172
C817	23.703	23.866	0	C817_Link01	U	0	Eastern	Jinja	618	292	566	12	12	1	0	0	19	2	7	292	0	36778
C818	0	12.008	12	C818_Link01	U	Iganga	Eastern	Jinja	2352	536	2219	29	34	8	0	0	50	13	0	536	0	10309916
C818	12.008	12.051	0	C818_Link01	U	0	Eastern	Jinja	2352	536	2219	29	34	8	0	0	50	13	0	536	0	36919
C819	0	14.799	15	C819_Link01	U	Iganga	Eastern	Jinja	2352	536	2219	29	34	8	0	0	50	13	0	536	0	12706234
C819	14.799	14.874	0	C819_Link01	U	0	Eastern	Jinja	2352	536	2219	29	34	8	0	0	50	13	0	536	0	64394
C820	0	9.733	10	C820_Link01	U	0	Eastern	Jinja	2352	536	2219	29	34	8	0	0	50	13	0	536	0	8356630
C821	0	20.889	21	C821_Link01	U	0	Eastern	Jinja	2352	536	2219	29	34	8	0	0	50	13	0	536	0	17935030
C830	0	26.931	27	C830_Link01	U	Busia	Eastern	Tororo	4228	838	3818	152	90	34	5	2	86	29	13	838	0	41556983
C830	26.931	26.982	0	C830_Link01	U	0	Eastern	Tororo	4228	838	3818	152	90	34	5	2	86	29	13	838	0	78698
C831	0	6.461	6	C831_Link01	U	Tororo	Eastern	Tororo	203	152	135	19	28	1	0	0	8	10	1	152	0	477748
C831	6.461	6.523	0	C831_Link01	U	0	Eastern	Tororo	203	152	135	19	28	1	0	0	8	10	1	152	0	4584
C831	6.523	6.5233	0	C831_Link01	U	0	Eastern	0	203	152	135	19	28	1	0	0	8	10	1	152	0	22

C832	0	31.339	31	C832_Link01	U	Tororo	Eastern	Tororo	2234	897	1958	97	103	28	0	1	39	7	1	897	0	25556608
C832	31.339	33.725	2	C832_Link01	U	Butaleja	Eastern	Tororo	2234	897	1958	97	103	28	0	1	39	7	1	897	0	1945757
C832	33.725	43.789	10	C832_Link02	U	Butaleja	Eastern	Tororo	2234	897	1958	97	103	28	0	1	39	7	1	897	0	8207081
C832	43.789	43.826	0	C832_Link02	U	0	Eastern	Tororo	2234	897	1958	97	103	28	0	1	39	7	1	897	0	30173
C833	0	5.012	5	C833_Link01	U	Mbale	Eastern	Tororo	1380	316	1217	45	44	16	0	1	51	6	0	316	0	2524341
C833	5.012	5.092	0	C833_Link01	U	Mbale	Eastern	Tororo	2746	1119	2294	113	141	28	2	2	95	67	2	1119	0	80180
C833	5.092	34.588	29	C833_Link01	U	Butaleja	Eastern	Tororo	2746	1119	2294	113	141	28	2	2	95	67	2	1119	0	29562324
C833	34.588	50.614	16	C833_Link02	U	Butaleja	Eastern	Tororo	2746	1119	2294	113	141	28	2	2	95	67	2	1119	0	16062036
C833	50.614	50.634	0	C833_Link02	U	0	Eastern	Tororo	2746	1119	2294	113	141	28	2	2	95	67	2	1119	0	20045
C835	0	2.269	2	C835_Link01	U	Tororo	Eastern	Tororo	2746	1119	2294	113	141	28	2	2	95	67	2	1119	0	2274102
C835	2.269	2.278	0	C835_Link01	U	0	Eastern	Tororo	2746	1119	2294	113	141	28	2	2	95	67	2	1119	0	9020
C836	0	18.9	19	C836_Link01	U	Tororo	Eastern	Tororo	2746	1119	2294	113	141	28	2	2	95	67	2	1119	0	18942498
C836	18.9	27.391	8	C836_Link02	U	Tororo	Eastern	Tororo	2746	1119	2294	113	141	28	2	2	95	67	2	1119	0	8510093
C836	27.391	27.575	0	C836_Link02	U	0	Eastern	Tororo	2746	1119	2294	113	141	28	2	2	95	67	2	1119	0	184414
C837	0	18.218	18	C837_Link01	U	Tororo	Eastern	Tororo	431	609	416	3	9	0	0	0	2	0	0	609	0	2863548
C837	18.218	20.437	2	C837_Link02	U	Tororo	Eastern	Tororo	431	609	416	3	9	0	0	0	2	0	0	609	0	348788
C837	20.437	33.815	13	C837_Link02	U	Mbale	Eastern	Tororo	431	609	416	3	9	0	0	0	2	0	0	609	0	2102785
C837	33.815	34.08	0	C837_Link02	U	0	Eastern	Tororo	431	609	416	3	9	0	0	0	2	0	0	609	0	41653
C838	0	8.213	8	C838_Link01	U	Tororo	Eastern	Tororo	2746	1119	2294	113	141	28	2	2	95	67	2	1119	0	8231468
C838	8.213	9.608	1	C838_Link02	U	Tororo	Eastern	Tororo	2746	1119	2294	113	141	28	2	2	95	67	2	1119	0	1398137
C838	9.608	20.354	11	C838_Link02	U	Butaleja	Eastern	Tororo	2746	1119	2294	113	141	28	2	2	95	67	2	1119	0	10770163
C838	20.354	20.486	0	C838_Link02	U	0	Eastern	Tororo	2746	1119	2294	113	141	28	2	2	95	67	2	1119	0	132297
C839	0	13.504	14	C839_Link01	U	Butaleja	Eastern	Tororo	2746	1119	2294	113	141	28	2	2	95	67	2	1119	0	13534365
C839	13.504	13.594	0	C839_Link01	U	0	Eastern	Tororo	2746	1119	2294	113	141	28	2	2	95	67	2	1119	0	90202
C840	0	10.655	11	C840_Link01	U	Tororo	Eastern	Tororo	1145	467	956	47	59	12	1	1	39	28	1	467	0	4452567
C840	10.655	25.567	15	C840_Link02	U	Tororo	Eastern	Tororo	1145	467	956	47	59	12	1	1	39	28	1	467	0	6231505
C840	25.567	25.738	0	C840_Link02	U	0	Eastern	Tororo	1145	467	956	47	59	12	1	1	39	28	1	467	0	71458
C841	0	10.842	11	C841_Link01	U	Busia	Eastern	Tororo	1630	787	1484	44	43	19	9	0	25	6	0	787	0	6450195
C841	10.842	10.9	0	C841_Link01	U	0	Eastern	Tororo	1630	787	1484	44	43	19	9	0	25	6	0	787	0	34506
C842	0	1.035	1	C842_Link01	U	Tororo	Eastern	Tororo	674	205	617	22	27	1	0	0	6	1	0	205	0	254521
C842	1.035	1.036	0	C842_Link01	U	0	Eastern	Tororo	674	205	617	22	27	1	0	0	6	1	0	205	0	246
C844	0	16.988	17	C844_Link01	U	Tororo	Eastern	Tororo	674	205	617	22	27	1	0	0	6	1	0	205	0	4177592
C844	16.988	17.079	0	C844_Link01	U	Butaleja	Eastern	Tororo	674	205	617	22	27	1	0	0	6	1	0	205	0	22378
C844	17.079	31.206	14	C844_Link02	U	Butaleja	Eastern	Tororo	674	205	617	22	27	1	0	0	6	1	0	205	0	3474031
C844	31.206	36.245	5	C844_Link03	U	Butaleja	Eastern	Tororo	674	205	617	22	27	1	0	0	6	1	0	205	0	1239162
C844	36.245	36.399	0	C844_Link03	U	0	Eastern	Tororo	674	205	617	22	27	1	0	0	6	1	0	205	0	37871
C845	0	15.255	15	C845_Link01	U	Butaleja	Eastern	Tororo	2746	1119	2294	113	141	28	2	2	95	67	2	1119	0	15289302
C845	15.255	15.344	0	C845_Link01	U	0	Eastern	Tororo	2746	1119	2294	113	141	28	2	2	95	67	2	1119	0	89200
C846	0	11.907	12	C846_Link01	U	Butaleja	Eastern	Tororo	1630	787	1484	44	43	19	9	0	25	6	0	787	0	7083792
C846	11.907	11.982	0	C846_Link01	U	0	Eastern	Tororo	1630	787	1484	44	43	19	9	0	25	6	0	787	0	44619
C846	11.982	11.983	0	C846_Link01	U	0	Eastern	0	1630	787	1484	44	43	19	9	0	25	6	0	787	0	595
C847	0	18.485	18	C847_Link01	U	Butaleja	Eastern	Tororo	2746	1119	2294	113	141	28	2	2	95	67	2	1119	0	18526565
C847	18.485	18.578	0	C847_Link01	U	0	Eastern	Tororo	2746	1119	2294	113	141	28	2	2	95	67	2	1119	0	93209
C848	0	13.149	13	C848_Link01	U	0	Eastern	Mbale	821	365	586	45	57	30	1	0	42	57	3	365	0	3939125
C849	0	4.55	5	C849_Link01	U	0	Eastern	Mbale	645	413	609	14	12	2	0	0	5	3	0	413	0	1070847
C849	4.55	13.5	9	C849_Link01	U	0	Eastern	Mbale	1630	787	1484	44	43	19	9	0	25	6	0	787	0	5324593
C850	0	10.244	10	C850_Link01	U	0	Eastern	Mbale	2746	1119	2294	113	141	28	2	2	95	67	2	1119	0	10267034
C860	0	19.763	20	C860_Link01	U	Budaka	Eastern	Mbale	882	468	813	15	30	7	0	0	10	7	0	468	0	6363098
C860	19.763	31.549	12	C860_Link01	U	Kibuku	Eastern	Mbale	882	468	813	15	30	7	0	0	10	7	0	468	0	3794741
C860	31.549	44.208	13	C860_Link01	U	Pallisa	Eastern	Mbale	882	468	813	15	30	7	0	0	10	7	0	468	0	4075821
C860	44.208	44.442	0	C860_Link01	U	0	Eastern	Mbale	882	468	813	15	30	7	0	0	10	7	0	468	0	75341
C861	0	12.434	12	C861_Link01	U	Sironko	Eastern	Mbale	1412	28	1197	46	45	67	0	0	30	27	0	28	0	6409608
C861	12.434	12.677	0	C861_Link01	U	0	Eastern	Mbale	1412	28	1197	46	45	67	0	0	30	27	0	28	0	125264
C861	12.677	16.245	4	C861_Link01	U	0	Eastern	Mbale	1412	28	1197	46	45	67	0	0	30	27	0	28	0	1839270
C862	0	3.722	4	C862_Link01	U	Mbale	Eastern	Mbale	1412	28	1197	46	45	67	0	0	30	27	0	28	0	1918655
C862	3.722	18.35	15	C862_Link01	U	Sironko	Eastern	Mbale	1412	28	1197	46	45	67	0	0	30	27	0	28	0	7540594
C862	18.35	18.427	0	C862_Link01	U	0	Eastern	Mbale	1412	28	1197	46	45	67	0	0	30	27	0	28	0	39693
C863	0	20.693	21	C863_Link01	U	Mbale	Eastern	Mbale	1380	316	1217	45	44	16	0	1	51	6	0	316	0	10422226
C863	20.693	21.067	0	C863_Link01	U	0	Eastern	Mbale	1380	316	1217	45	44	16	0	1	51	6	0	316	0	188369
C864	0	11.299	11	C864_Link01	U	Mbale	Eastern	Mbale	1380	316	1217	45	44	16	0	1	51	6	0	316	0	5690849
C864	11.299	11.389	0	C864_Link01	U	0	Eastern	Mbale	1380	316	1217	45	44	16	0	1	51	6	0	316	0	45329
C865	0	0.905	1	C865_Link01	U	Tororo	Eastern	Tororo	821	365	586	45	57	30	1	0	42	57	3	365	0	271116
C865	0.905	1.915	1	C865_Link01	U	Mbale	Eastern	Tororo	821	365	586	45	57	30	1	0	42	57	3	365	0	302572
C865	1.915	1.917	0	C865_Link01	U	Manafwa	Eastern	Tororo	821	365	586	45	57	30	1	0	42	57	3	365	0	599
C865	1.917	12.668	11	C865_Link02	U	Manafwa	Eastern	Tororo	821	365	586	45	57	30	1	0	42	57	3	365	0	3220741

C865	12.668	12.726	0	C865_Link02	U	0	Eastern	Tororo	821	365	586	45	57	30	1	0	42	57	3	365	0	17375
C866	0	4.465	4	C866_Link01	F	Manafwa	Eastern	Tororo	821	365	586	45	57	30	1	0	42	57	3	365	0	1337607
C866	4.465	4.518	0	C866_Link01	F	0	Eastern	Tororo	821	365	586	45	57	30	1	0	42	57	3	365	0	15878
C867	0	12.122	12	C867_Link01	F	Mbale	Eastern	Mbale	1380	316	1217	45	44	16	0	1	51	6	0	316	0	6105360
C867	12.122	15.402	3	C867_Link01	F	Manafwa	Eastern	Mbale	1380	316	1217	45	44	16	0	1	51	6	0	316	0	1652003
C867	15.402	24.661	9	C867_Link02	U	Manafwa	Eastern	Mbale	821	365	586	45	57	30	1	0	42	57	3	365	0	2773774
C867	24.661	43.759	19	C867_Link02	U	Bududa	Eastern	Mbale	821	365	586	45	57	30	1	0	42	57	3	365	0	5721302
C867	43.759	43.884	0	C867_Link02	U	0	Eastern	Mbale	821	365	586	45	57	30	1	0	42	57	3	365	0	37447
C870	0	15.69	16	C870_Link01	F	Manafwa	Eastern	Mbale	821	365	586	45	57	30	1	0	42	57	3	365	0	4700347
C870	15.69	25.588	10	C870_Link02	F	Manafwa	Eastern	Mbale	821	365	586	45	57	30	1	0	42	57	3	365	0	2965203
C870	25.588	32.7	7	C870_Link03	U	Manafwa	Eastern	Mbale	821	365	586	45	57	30	1	0	42	57	3	365	0	2130584
C870	32.7	49.307	17	C870_Link03	U	Manafwa	Eastern	Tororo	821	365	586	45	57	30	1	0	42	57	3	365	0	4975058
C870	49.307	49.535	0	C870_Link03	U	0	Eastern	Tororo	821	365	586	45	57	30	1	0	42	57	3	365	0	68303
C871	0	7.903	8	C871_Link01	U	Bulambu	Eastern	Mbale	337	301	304	9	10	0	0	0	10	2	0	301	0	971730
C871	7.903	9.733	2	C871_Link01	U	Kapchor	Eastern	Mbale	337	301	304	9	10	0	0	0	10	2	0	301	0	225012
C871	9.733	9.801	0	C871_Link01	U	0	Eastern	Mbale	337	301	304	9	10	0	0	0	10	2	0	301	0	8361
C872	0	12.488	12	C872_Link01	U	Budaka	Eastern	Mbale	645	413	609	14	12	2	0	0	5	3	0	413	0	2939063
C872	12.488	21.7	9	C872_Link02	U	Budaka	Eastern	Mbale	645	413	609	14	12	2	0	0	5	3	0	413	0	2168053
C873	0	3.436	3	C873_Link01	U	Butaleja	Eastern	Mbale	645	413	609	14	12	2	0	0	5	3	0	413	0	808666
C873	3.436	9.256	6	C873_Link02	U	Butaleja	Eastern	Mbale	2746	1119	2294	113	141	28	2	2	95	67	2	1119	0	5833087
C873	9.256	9.3	0	C873_Link02	U	0	Eastern	Mbale	2746	1119	2294	113	141	28	2	2	95	67	2	1119	0	44099
C874	0	0.106	0	C874_Link01	U	Mbale	Eastern	Mbale	1380	316	1217	45	44	16	0	1	51	6	0	316	0	53388
C875	0	0.176	0	C875_Link01	U	Mbale	Eastern	Mbale	1380	316	1217	45	44	16	0	1	51	6	0	316	0	88644
C876	0	16.153	16	C876_Link01	U	Mbale	Eastern	Mbale	1630	787	1484	44	43	19	9	0	25	6	0	787	0	9609850
C876	16.153	16.265	0	C876_Link01	U	0	Eastern	Mbale	1630	787	1484	44	43	19	9	0	25	6	0	787	0	66632
C876	16.265	16.266	0	C876_Link01	U	0	Eastern	0	1630	787	1484	44	43	19	9	0	25	6	0	787	0	595
C877	0	7.583	8	C877_Link01	U	Budaka	Eastern	Mbale	645	413	609	14	12	2	0	0	5	3	0	413	0	1784666
C877	7.583	7.792	0	C877_Link01	U	0	Eastern	Mbale	645	413	609	14	12	2	0	0	5	3	0	413	0	49188
C878	0	5.769	6	C878_Link01	U	Mbale	Eastern	Mbale	1160	265	1022	38	37	14	0	1	43	5	0	265	0	2442469
C878	5.769	28.988	23	C878_Link01	U	Pallisa	Eastern	Mbale	1160	265	1022	38	37	14	0	1	43	5	0	265	0	9830418
C878	28.988	48.548	20	C878_Link02	U	Pallisa	Eastern	Mbale	1160	265	1022	38	37	14	0	1	43	5	0	265	0	8281277
C879	0	12.538	13	C879_Link01	U	Kumi	Eastern	Soroti	1579	1412	1430	42	50	0	0	0	50	8	0	1412	0	7226091
C879	12.538	12.843	0	C879_Link02	U	Kumi	Eastern	Soroti	1579	1412	1430	42	50	0	0	0	50	8	0	1412	0	175782
C879	12.843	29.357	17	C879_Link02	U	Bukedea	Eastern	Soroti	1579	1412	1430	42	50	0	0	0	50	8	0	1412	0	9517599
C880	0	16.458	16	C880_Link01	U	Mbale	Eastern	Mbale	1380	316	1217	45	44	16	0	1	51	6	0	316	0	8289228
C881	0	6.908	7	C881_Link01	U	Sironko	Eastern	Mbale	1412	28	1197	46	45	67	0	0	30	27	0	28	0	3561008
C881	6.908	8.765	2	C881_Link01	U	0	Eastern	Mbale	1412	28	1197	46	45	67	0	0	30	27	0	28	0	957266
C882	0	3.211	3	C882_Link01	U	Sironko	Eastern	Mbale	295	264	267	8	9	0	0	0	9	1	0	264	0	345972
C882	3.211	13.552	10	C882_Link01	U	Bukedea	Eastern	Mbale	295	264	267	8	9	0	0	0	9	1	0	264	0	1114201
C883	0	20.083	20	C883_Link01	U	Bulambu	Eastern	Mbale	337	301	304	9	10	0	0	0	10	2	0	301	0	2469348
C884	0	12.431	12	C884_Link01	U	Bulambu	Eastern	Mbale	337	301	304	9	10	0	0	0	10	2	0	301	0	1528480
C885	0	5.121	5	C885_Link01	U	Bulambu	Eastern	Mbale	337	301	304	9	10	0	0	0	10	2	0	301	0	629664
C887	0	7.868	8	C887_Link01	U	Bulambu	Eastern	Mbale	337	301	304	9	10	0	0	0	10	2	0	301	0	967427
C887	7.868	14.509	7	C887_Link02	U	Bulambu	Eastern	Mbale	337	301	304	9	10	0	0	0	10	2	0	301	0	816558
C888	0	10.614	11	C888_Link01	U	Kapchor	Eastern	Mbale	1412	28	1197	46	45	67	0	0	30	27	0	28	0	5471415
C888	10.614	10.629	0	C888_Link01	U	0	Eastern	Mbale	1412	28	1197	46	45	67	0	0	30	27	0	28	0	7732
C889	0	26.246	26	C889_Link01	U	Kween	Eastern	Mbale	1412	28	1197	46	45	67	0	0	30	27	0	28	0	13529561
C889	26.246	26.817	1	C889_Link02	U	Kween	Eastern	Mbale	1412	28	1197	46	45	67	0	0	30	27	0	28	0	294345
C889	26.817	55.805	29	C889_Link02	U	Amudat	Eastern	Mbale	1412	28	1197	46	45	67	0	0	30	27	0	28	0	14943036
C891	0	7.55	8	C891_Link01	U	Kibuku	Eastern	Tororo	882	468	813	15	30	7	0	0	10	7	0	468	0	2430875
C892	0	19.822	20	C892_Link01	U	Kaliro	Eastern	Jinja	1630	787	1484	44	43	19	9	0	25	6	0	787	0	11792636
C892	19.822	25.672	6	C892_Link02	U	Kaliro	Eastern	Jinja	1630	787	1484	44	43	19	9	0	25	6	0	787	0	3480321
C893	0	15.818	16	C893_Link01	U	Bukwa	Eastern	Mbale	1412	28	1197	46	45	67	0	0	30	27	0	28	0	8154027
C920	0	12.095	12	C920_Link01	U	Kumi	Eastern	Soroti	1579	1412	1430	42	50	0	0	0	50	8	0	1412	0	6970774
C920	12.095	30.432	18	C920_Link01	U	Ngora	Eastern	Soroti	1579	1412	1430	42	50	0	0	0	50	8	0	1412	0	10568258
C920	30.432	45.953	16	C920_Link01	U	Serere	Eastern	Soroti	1579	1412	1430	42	50	0	0	0	50	8	0	1412	0	8945298
C920	45.953	79.596	34	C920_Link02	U	Serere	Eastern	Soroti	1579	1412	1430	42	50	0	0	0	50	8	0	1412	0	19389645
C921	0	1.1	1	C921_Link01	U	Soroti	Eastern	Soroti	0	0	0	0	0	0	0	0	0	0	0	0	0	0
C921	1.1	16.432	15	C921_Link01	U	Soroti	Eastern	Soroti	1084	702	901	38	95	9	0	0	19	22	0	702	0	6063668
C921	16.432	26.063	10	C921_Link01	U	Serere	Eastern	Soroti	1084	702	901	38	95	9	0	0	19	22	0	702	0	3808974
C921	26.063	26.076	0	C921_Link01	U	0	Eastern	Soroti	1084	702	901	38	95	9	0	0	19	22	0	702	0	5141
C922	0	8.469	8	C922_Link01	F	Soroti	Eastern	Soroti	1084	702	901	38	95	9	0	0	19	22	0	702	0	3349413
C922	8.469	8.502	0	C922_Link01	F	0	Eastern	Soroti	1084	702	901	38	95	9	0	0	19	22	0	702	0	13051
C923	0	1.916	2	C923_Link01	F	Soroti	Eastern	Soroti	1084	702	901	38	95	9	0	0	19	22	0	702	0	757761
C923	1.916	1.93	0	C923_Link01	F	0	Eastern	Soroti	1084	702	901	38	95	9	0	0	19	22	0	702	0	5537

C924	0	6.559	7	C924_Link01	U	Soroti	Eastern	Soroti	521	455	380	27	31	37	1	5	17	22	1	455	0	1247128
C924	6.559	69.299	63	C924_Link01	U	Kaberam	Eastern	Soroti	521	455	380	27	31	37	1	5	17	22	1	455	0	11929378
C924	69.299	69.936	1	C924_Link01	U	0	Eastern	Soroti	521	455	380	27	31	37	1	5	17	22	1	455	0	121119
C925	0	12.991	13	C925_Link01	U	Soroti	Eastern	Soroti	1216	443	884	51	214	19	0	1	15	31	0	443	0	5763584
C925	12.991	27.431	14	C925_Link01	U	Serere	Eastern	Soroti	1216	443	884	51	214	19	0	1	15	31	0	443	0	6406447
C925	27.431	27.443	0	C925_Link01	U	0	Eastern	Soroti	1216	443	884	51	214	19	0	1	15	31	0	443	0	5324
C926	0	14	14	C926_Link01	U	Bukedea	Eastern	Mbale	337	301	304	9	10	0	0	0	10	2	0	301	0	1721400
C926	14	15.431	1	C926_Link01	U	Bukedea	Eastern	Soroti	337	301	304	9	10	0	0	0	10	2	0	301	0	175952
C926	15.431	28.675	13	C926_Link02	U	Bukedea	Eastern	Soroti	1579	1412	1430	42	50	0	0	0	50	8	0	1412	0	7632983
C927	0	12.293	12	C927_Link01	U	Bukedea	Eastern	Mbale	219	196	198	6	7	0	0	0	7	1	0	196	0	981704
C927	12.293	48.946	37	C927_Link02	U	Bukedea	Eastern	Mbale	219	196	198	6	7	0	0	0	7	1	0	196	0	2927063
C927	48.946	49.511	1	C927_Link02	U	Kumi	Eastern	Mbale	219	196	198	6	7	0	0	0	7	1	0	196	0	45120
C927	49.511	49.534	0	C927_Link02	U	0	Eastern	Mbale	219	196	198	6	7	0	0	0	7	1	0	196	0	1837
C928	0	0.46	0	C928_Link01	U	Kumi	Eastern	Soroti	1579	1412	1430	42	50	0	0	0	50	8	0	1412	0	265114
C929	0	0.115	0	C929_Link01	U	Kumi	Eastern	Soroti	1579	1412	1430	42	50	0	0	0	50	8	0	1412	0	66279
C929	0.115	20.265	20	C929_Link02	U	Kumi	Eastern	Soroti	1579	1412	1430	42	50	0	0	0	50	8	0	1412	0	11613154
C930	0	19.678	20	C930_Link01	U	Ngora	Eastern	Soroti	1579	1412	1430	42	50	0	0	0	50	8	0	1412	0	11341124
C930	19.678	20.153	0	C930_Link02	U	Ngora	Eastern	Soroti	1579	1412	1430	42	50	0	0	0	50	8	0	1412	0	273759
C930	20.153	42.746	23	C930_Link02	U	Kumi	Eastern	Soroti	1579	1412	1430	42	50	0	0	0	50	8	0	1412	0	13021141
C931	0	26.463	26	C931_Link01	U	Serere	Eastern	Soroti	494	471	398	14	34	13	0	0	20	16	0	471	0	4774498
C932	0	30.436	30	C932_Link01	U	Serere	Eastern	Soroti	324	310	262	9	22	8	0	0	13	10	0	310	0	3600861
C932	30.436	35.467	5	C932_Link02	U	Serere	Eastern	Soroti	324	310	262	9	22	8	0	0	13	10	0	310	0	595214
C934	0	22.807	23	C934_Link01	U	Serere	Eastern	Soroti	494	471	398	14	34	13	0	0	20	16	0	471	0	4114876
C934	22.807	37.185	14	C934_Link02	U	Serere	Eastern	Soroti	494	471	398	14	34	13	0	0	20	16	0	471	0	2594102
C935	0	13.821	14	C935_Link01	U	Serere	Eastern	Soroti	494	471	398	14	34	13	0	0	20	16	0	471	0	2493608
C937	0	27.173	27	C937_Link01	U	Katakwi	Eastern	Soroti	324	137	277	9	24	2	0	0	8	3	0	137	0	3214818
C937	27.173	27.376	0	C937_Link01	U	0	Eastern	Soroti	324	137	277	9	24	2	0	0	8	3	0	137	0	24017
C938	0	10.522	11	C938_Link01	U	Katakwi	Eastern	Soroti	324	137	277	9	24	2	0	0	8	3	0	137	0	1244850
C938	10.522	29.202	19	C938_Link02	U	Katakwi	Eastern	Soroti	324	137	277	9	24	2	0	0	8	3	0	137	0	2210017
C938	29.202	29.371	0	C938_Link02	U	0	Eastern	Soroti	324	137	277	9	24	2	0	0	8	3	0	137	0	19994
C939	0	27.813	28	C939_Link01	U	Amuria	Eastern	Soroti	29	13	15	2	8	0	0	0	2	1	0	13	0	293798
C939	27.813	33.817	6	C939_Link02	U	Amuria	Eastern	Soroti	530	227	340	25	87	21	1	3	27	24	1	227	0	1161895
C939	33.817	66.468	33	C939_Link02	U	Amuria	Eastern	Soroti	29	13	15	2	8	0	0	0	2	1	0	13	0	344903
C939	66.468	66.862	0	C939_Link02	U	0	Eastern	Soroti	29	13	15	2	8	0	0	0	2	1	0	13	0	4162
C939	66.862	66.863	0	C939_Link02	U	0	Eastern	0	29	13	15	2	8	0	0	0	2	1	0	13	0	11
C940	0	35.707	36	C940_Link01	U	Amuria	Eastern	Soroti	1084	702	901	38	95	9	0	0	19	22	0	702	0	14121797
C940	35.707	35.817	0	C940_Link01	U	Napak	Eastern	Kotido	1084	702	901	38	95	9	0	0	19	22	0	702	0	43504
C940	35.817	54.612	19	C940_Link02	U	Napak	Eastern	Kotido	105	140	45	1	24	6	1	1	8	17	1	140	0	722677
C940	54.612	54.797	0	C940_Link02	U	0	Eastern	Kotido	105	140	45	1	24	6	1	1	8	17	1	140	0	7113
C941	0	33.058	33	C941_Link01	U	Amuria	Eastern	Soroti	1084	702	901	38	95	9	0	0	19	22	0	702	0	13074142
C941	33.058	33.809	1	C941_Link02	U	Amuria	Eastern	Soroti	1071	837	816	54	64	8	5	0	87	24	13	837	0	293523
C941	33.809	50.152	16	C941_Link02	U	Otuke	Northern	Lira	1370	1071	1044	70	81	10	6	0	111	31	16	1071	0	8174871
C942	0	9.625	10	C942_Link01	U	Kaberam	Eastern	Soroti	308	450	249	8	29	2	0	0	9	10	0	450	0	1081790
C942	9.625	9.63	0	C942_Link01	U	0	Eastern	Soroti	308	450	249	8	29	2	0	0	9	10	0	450	0	562
C943	0	18.347	18	C943_Link01	U	Kaberam	Eastern	Soroti	308	450	249	8	29	2	0	0	9	10	0	450	0	2062089
C943	18.347	18.353	0	C943_Link01	U	0	Eastern	Soroti	308	450	249	8	29	2	0	0	9	10	0	450	0	674
C944	0	3.646	4	C944_Link01	U	Dokolo	Northern	Soroti	351	514	284	9	33	3	0	0	10	12	0	514	0	467275
C944	3.646	16.324	13	C944_Link01	U	Kaberam	Eastern	Soroti	274	402	222	7	25	2	0	0	8	9	0	402	0	1269579
C944	16.324	16.332	0	C944_Link01	U	0	Eastern	Soroti	274	402	222	7	25	2	0	0	8	9	0	402	0	801
C945	0	21.998	22	C945_Link01	U	Katakwi	Eastern	Soroti	324	137	277	9	24	2	0	0	8	3	0	137	0	2602567
C945	21.998	22.155	0	C945_Link01	U	0	Eastern	Soroti	324	137	277	9	24	2	0	0	8	3	0	137	0	18575
C946	0	8.598	9	C946_Link01	U	Serere	Eastern	Soroti	494	471	398	14	34	13	0	0	20	16	0	471	0	1551265
C947	0	2	2	C947_Link01	F	0	Eastern	0	29	13	15	2	8	0	0	0	2	1	0	13	0	21127
C960	0	46.232	46	C960_Link01	U	Nakapiri	Eastern	Moroto	634	392	429	38	90	12	0	0	32	25	7	392	0	10704934
C960	46.232	46.817	1	C960_Link01	U	0	Eastern	Moroto	634	392	429	38	90	12	0	0	32	25	7	392	0	135456
C961	0	15.546	16	C961_Link01	U	Nakapiri	Eastern	Moroto	225	0	135	5	36	2	0	0	5	38	3	0	0	1274328
C961	15.546	30.638	15	C961_Link01	U	Amudat	Eastern	Moroto	225	0	135	5	36	2	0	0	5	38	3	0	0	1237113
C961	30.638	30.731	0	C961_Link01	U	0	Eastern	Moroto	225	0	135	5	36	2	0	0	5	38	3	0	0	7623
C962	0	32.741	33	C962_Link01	U	Amudat	Eastern	Moroto	72	1	39	1	6	1	0	0	1	22	1	1	0	857718
C963	0	28.078	28	C963_Link01	U	Moroto	Eastern	Moroto	97	1	53	1	8	1	0	0	2	30	1	1	0	996566
C963	28.078	28.704	1	C963_Link02	U	Moroto	Eastern	Moroto	97	1	53	1	8	1	0	0	2	30	1	1	0	22218
C963	28.704	90.933	62	C963_Link02	U	Amudat	Eastern	Moroto	97	1	53	1	8	1	0	0	2	30	1	1	0	2208680
C963	90.933	147.663	57	C963_Link03	U	Amudat	Eastern	Moroto	222	30	147	9	44	1	1	0	14	6	0	30	0	4602298
C964	0	36.976	37	C964_Link01	U	Amuria	Eastern	Soroti	396	256	329	14	35	3	0	0	7	8	0	256	0	5343266
C964	36.976	37.213	0	C964_Link01	U	Katakwi	Eastern	Soroti	396	256	329	14	35	3	0	0	7	8	0	256	0	34248

C964	37.213	54.73	18	C964_Link02	U	Katakwi	Eastern	Soroti	396	256	329	14	35	3	0	0	7	8	0	256	0	2531317
C964	54.73	74.014	19	C964_Link03	U	Katakwi	Eastern	Soroti	396	256	329	14	35	3	0	0	7	8	0	256	0	2786660
C964	74.014	74.674	1	C964_Link03	U	0	Eastern	Soroti	396	256	329	14	35	3	0	0	7	8	0	256	0	95374
C965	0	46.325	46	C965_Link01	U	Napak	Eastern	Moroto	184	247	80	2	43	9	1	1	15	30	2	247	0	3112242
C966	0	37.196	37	C966_Link01	U	Napak	Eastern	Moroto	105	140	45	1	24	6	1	1	8	17	1	140	0	1430205
C967	0	17.517	18	C967_Link01	U	Napak	Eastern	Moroto	236	215	108	19	65	12	1	0	17	10	5	215	0	1509909
C968	0	29.827	30	C968_Link01	U	Napak	Eastern	Moroto	105	140	45	1	24	6	1	1	8	17	1	140	0	1146863
C969	0	23.396	23	C969_Link01	U	Napak	Eastern	Moroto	105	140	45	1	24	6	1	1	8	17	1	140	0	899588
C969	23.396	48.197	25	C969_Link02	U	Napak	Eastern	Moroto	105	140	45	1	24	6	1	1	8	17	1	140	0	953611
C969	48.197	48.23	0	C969_Link03	U	Napak	Eastern	Moroto	105	140	45	1	24	6	1	1	8	17	1	140	0	1269
C969	48.23	49.967	2	C969_Link03	U	Napak	Eastern	Kotido	105	140	45	1	24	6	1	1	8	17	1	140	0	66789
C969	49.967	51.043	1	C969_Link04	U	Napak	Eastern	Kotido	29	13	15	2	8	0	0	0	2	1	0	13	0	11366
C969	51.043	69.102	18	C969_Link04	U	Abim	Eastern	Kotido	29	13	15	2	8	0	0	0	2	1	0	13	0	190763
C970	0	0.952	1	C970_Link01	U	Moroto	Eastern	Moroto	105	140	45	1	24	6	1	1	8	17	1	140	0	36605
C971	0	31.744	32	C971_Link01	U	Moroto	Eastern	Moroto	105	140	45	1	24	6	1	1	8	17	1	140	0	1220573
C972	0	85	85	C972_Link01	U	0	Eastern	Moroto	29	13	15	2	8	0	0	0	2	1	0	13	0	897883
C973	0	5.652	6	C973_Link01	U	Napak	Eastern	Moroto	105	140	45	1	24	6	1	1	8	17	1	140	0	217322
C974	0	1.232	1	C974_Link01	U	Napak	Eastern	Moroto	105	140	45	1	24	6	1	1	8	17	1	140	0	47371
C975	0	10.567	11	C975_Link01	U	Moroto	Eastern	Moroto	105	140	45	1	24	6	1	1	8	17	1	140	0	406307
C976	0	1.584	2	C976_Link01	U	0	Eastern	Kotido	72	1	39	1	6	1	0	0	1	22	1	1	0	41496
C979	0	17.799	18	C979_Link01	U	0	Eastern	Kotido	1071	837	816	54	64	8	5	0	87	24	13	837	0	6956617
C979	17.799	17.7995	0	C979_Link01	U	0	Eastern	0	1071	837	816	54	64	8	5	0	87	24	13	837	0	195
C979	17.7995	17.8	0	C979_Link01	U	0	Eastern	0	1071	837	816	54	64	8	5	0	87	24	13	837	0	195
C980	0	56.739	57	C980_Link01	U	Abim	Eastern	Kotido	15	10	15	0	0	0	0	0	0	0	0	10	0	311663
C980	56.739	57.258	1	C980_Link01	U	0	Eastern	Kotido	15	10	15	0	0	0	0	0	0	0	0	10	0	2851
C981	0	6.354	6	C981_Link01	U	Kaabong	Eastern	Kotido	8	3	6	0	2	0	0	0	0	0	0	3	0	18793
C981	6.354	19.062	13	C981_Link02	U	Kaabong	Eastern	Kotido	8	3	6	0	2	0	0	0	0	0	0	3	0	37587
C981	19.062	19.146	0	C981_Link02	U	0	Eastern	Kotido	8	3	6	0	2	0	0	0	0	0	0	3	0	248
C982	0	38.535	39	C982_Link01	U	Kaabong	Eastern	Kotido	35	45	22	1	5	0	0	0	1	6	0	45	0	488469
C982	38.535	38.709	0	C982_Link01	U	0	Eastern	Kotido	35	45	22	1	5	0	0	0	1	6	0	45	0	2206
C983	0	0.057	0	C983_Link01	U	Kotido	Eastern	Kotido	72	31	36	6	20	0	1	0	6	2	1	31	0	1493
C983	0.057	11.171	11	C983_Link02	U	Kotido	Eastern	Kotido	72	31	36	6	20	0	1	0	6	2	1	31	0	291154
C983	11.171	37.491	26	C983_Link02	U	0	Eastern	Kotido	46	21	23	3	13	0	1	0	3	1	1	21	0	444843
C984	0	0.619	1	C984_Link01	U	Kotido	Eastern	Kotido	29	13	15	2	8	0	0	0	2	1	0	13	0	6539
C985	0	33.621	34	C985_Link01	U	Kaabong	Eastern	Kotido	27	6	19	0	6	0	0	0	2	0	0	6	0	326738
C988	0	7.745	8	C988_Link01	U	Kaabong	Eastern	Kotido	16	3	12	0	3	0	0	0	1	0	0	3	0	45815
C989	0	40.124	40	C989_Link01	U	Kaabong	Eastern	Kotido	29	13	15	2	8	0	0	0	2	1	0	13	0	423843
C990	0	32	32	C990_Link01	U	0	Eastern	Kotido	29	13	15	2	8	0	0	0	2	1	0	13	0	338027
C991	0	13.39	13	C991_Link01	U	0	Eastern	Kotido	41	17	20	3	10	0	1	0	3	1	1	17	0	198020
C992	0	50	50	C992_Link01	U	0	Eastern	Kotido	29	13	15	2	8	0	0	0	2	1	0	13	0	528166
C993	0	38	38	C993_Link01	U	0	Eastern	Kotido	29	13	15	2	8	0	0	0	2	1	0	13	0	401406
C994	0	3.21	3	C994_Link01	U	0	Northern	Kotido	1370	1071	1044	70	81	10	6	0	111	31	16	1071	0	1605662
C996	0	8.824	9	C996_Link01	U	Agago	Northern	Kitgum	256	230	196	15	24	1	0	1	12	6	1	230	0	825504
C996	8.824	8.828	0	C996_Link01	U	0	Northern	Kitgum	256	230	196	15	24	1	0	1	12	6	1	230	0	374
C997	0	10.415	10	C997_Link01	U	Alebtong	Northern	Lira	1370	1071	1044	70	81	10	6	0	111	31	16	1071	0	5209649
C998	0	24.864	25	C998_Link01	U	Otuke	Northern	Lira	1370	1071	1044	70	81	10	6	0	111	31	16	1071	0	12437129
C998	24.864	37.267	12	C998_Link02	U	Otuke	Northern	Lira	1370	1071	1044	70	81	10	6	0	111	31	16	1071	0	6204059
C998	37.267	37.324	0	C998_Link02	U	0	Northern	Lira	1370	1071	1044	70	81	10	6	0	111	31	16	1071	0	28512
C999	0	14.526	15	C999_Link01	U	Dokolo	Northern	Lira	738	947	646	9	28	9	0	0	37	9	0	947	0	3911855
C999	14.526	14.56	0	C999_Link01	U	0	Northern	Lira	738	947	646	9	28	9	0	0	37	9	0	947	0	9156

Appendix 4: Visual Condition Summary Unpaved roads

RoadName	Link ID	Link Name	Length	Date	Road type	VCI	VCI rating
B101	B101_Link04	River Nile - Mbulamuti - Kamuli	13.531	20200221	G	58	Fair
B103	B103_Link02	Villa Maria - Sembabule	79.286	20200225	G	92	Very Good
B103	B103_Link03	Nkonge - Kibula - Magege - Kasambya	46.425	20200225	G	71	Good
B103	B103_Link04	Kasambya - Lusalira	17.289	20200225	G	80	Good
B203	B203_Link01	Mubende - Kiboyo - Kakumiro	30.499	20200225	G	100	Very Good
B250	B250_Link01	Atiak - Moyo	91.58	20200220	G	60	Fair
B250	B250_Link02	Moyo - Yumbe	65.954	20200220	G	67	Fair
B250	B250_Link03	Yumbe - Manibe	77.123	20200220	G	44	Poor
B252	B252_Link01	Ngetta - Puranga Bridge	61.718	20200224	G	81	Good
B252	B252_Link02	Puranga Bridge - Corner Kilak - Pejule - Acholibur	42.829	20200224	G	84	Good
B253	B253_Link02	Masindi Port-Akokoro-Apac-Aduku	103.421	20200224	G	72	Good
B253	B253_Link03	Aduku - Lira	35.018	20200224	G	70	Fair
B300	B300_Link03	Muyembe - Namalu	72.178	20200219	G	38	Poor
B300	B300_Link04	Namalu - Nakapiripirit	5.557	20200219	G	38	Poor
B302	B302_Link02	Abim - Kilak	83.189	20200224	G	75	Good
B306	B306_Link01	Tororo(Malaba junction) - Busia	24.235	20200219	G	51	Fair
B307	B307_Link03	Kamuli - Nawantale	15.86	20200221	G	57	Fair
B307	B307_Link04	Nawantale - Bukungu	51.319	20200221	G	58	Fair
C041	C041_Link01	Namataba - Kyampisi	40.806	20200224	G	83	Good
C045	C045_Link01	Kabimbiri - Misindye	38.549	20200224	G	69	Fair
C046	C046_Link01	Zirobwe - Lwajjali - Kasawo - Kabimbiri	22.974	20200224	G	69	Fair
C154	C154_Link02	Kapeka-Butalangwa	18.24	20200224	G	86	Very Good
C160	C160_Link01	Mpigi-Kasanje-Buwaya	19.789	20200225	G	51	Fair
C162	C162_Link01	Mpigi - Kanoni	59.028	20200225	G	100	Very Good
C162	C162_Link02	Kanoni - Kabulasoke	11.347	20200225	G	100	Very Good
C162	C162_Link03	Kabulasoke - Madu	19.701	20200225	G	100	Very Good
C162	C162_Link04	Madu - Kasambya	36.155	20200225	G	54	Fair
C162	C162_Link05	Kasambya - Nabakazi	29.857	20200225	G	62	Fair
C163	C163_Link01	MitalaMaria-Bulo-Kanoni	28.257	20200225	G	57	Fair
C164	C164_Link01	MatalaMaria Loop	4.303	20200225	G	83	Good
C165	C165_Link01	Buwama - Katebo Port	12.54	20200225	G	48	Poor
C167	C167_Link01	Kyayi - Kasambya	7.668	20200225	G	64	Fair

C179	C179_Link01	Old Masaka Road (Kyengera -Kabojja Secondary)	1.598	20200225	G	0	Very Poor
C180	C180_Link01	Nakawuka - Namutamala - Katende - Bujuko	35.426	20200225	G	55	Fair
C181	C181_Link01	Access to Kakiri Army Barracks	1.989	20200224	G	75	Good
C183	C183_Link01	Buloba PTTC	0.785	20200225	G	51	Fair
C184	C184_Link01	Kakiri-Masulita-Danze-Mawale	23.168	20200224	G	57	Fair
C185	C185_Link01	Gobero-Segenga-Kakonda	14.357	20200224	G	65	Fair
C186	C186_Link01	Namyumba-Kakonda-Wabikokoma-Semuto	14.651	20200224	G	49	Poor
C187	C187_Link01	Namayumba - Kitalya Prison - Kamuli	19.252	20200224	G	80	Good
C188	C188_Link01	Kyabadaza - Kibibi	14.67	20200225	G	58	Fair
C189	C189_Link01	Kayenje - Nkinga - Nakatoke	9.933	20200225	G	50	Poor
C190	C190_Link01	Kayabwe - Nkozi - Kinyika - Ngando - Wab	38.574	20200225	G	75	Good
C191	C191_Link01	Katonga - Ggolo	11.119	20200225	G	48	Poor
C194	C194_Link01	Matugga - Kasangati	9.544	20200224	G	69	Fair
C194	C194_Link02	Kasangati - Kyaliwajala	8.393	20200224	G	74	Good
C195	C195_Link01	Nakawuka Kasanje	9.452	20200225	G	50	Poor
C196	C196_Link01	Bujuuko Railway Access	2.889	20200225	G	35	Poor
C200	C200_Link01	Lukolo-Bunjako	13.855	20200225	G	50	Poor
C201	C201_Link01	Kabasanda-Kakindu-Zigoti	21.105	20200225	G	72	Good
C214	C214_Link01	Lyantonde - Lumbugu	48.889	20200225	G	64	Fair
C218	C218_Link01	Masaka - Kidda - Buwunga - Nkuke - Kyana	31.956	20200224	G	73	Good
C219	C219_Link01	Masaka army barracks	1.018	20200225	G	77	Good
C220	C220_Link01	Degeya PTTC off Masaka Township	3.757	20200225	G	56	Fair
C221	C221_Link01	Kalisizo - Lusakalwamese	8.033	20200225	G	76	Good
C221	C221_Link02	Lusakalwamese - Bikira	24.712	20200225	G	71	Good
C222	C222_Link01	Kyesiga-Malembo Landing site	13.114	20200225	G	72	Good
C223	C223_Link01	Taba -Kyeesiga-Ddimo Landing site	17.097	20200225	G	59	Fair
C224	C224_Link01	Kyapa - Kasensero	41.903	20200225	G	69	Fair
C225	C225_Link01	Kyabakuza - Kiwangala - Ndagwe - Namabal	58.928	20200225	G	61	Fair
C227	C227_Link01	Lyantonde - Kaliro - Nabitanga - Ntusi	44.311	20200227	G	67	Fair
C228	C228_Link01	Ntusi - Nabitanga	12.339	20200227	G	51	Fair
C228	C228_Link02	Nabitanga - Rushere	29.727	20200225	G	73	Good
C260	C260_Link01	Mityana - Busunju	28.372	20200225	G	56	Fair
C261	C261_Link01	Matte - Sekanyonyi	33.19	20200224	G	64	Fair

C261	C261_Link02	Sekanyonyi - Kikonge	13.567	20200225	G	62	Fair
C262	C262_Link01	Mityana-Misigi-Kanoni	36.594	20200225	G	71	Good
C263	C263_Link01	Myanzi loop	1.839	20200225	G	71	Good
C264	C264_Link01	Nabingoola - Kasambya	15.45	20200225	G	79	Good
C265	C265_Link01	Kitenga-Masozi	17.769	20200225	G	75	Good
C265	C265_Link02	Masozi- Madu	20.742	20200225	G	97	Very Good
C266	C266_Link01	Kiganda Loop	1.07	20200225	G	93	Very Good
C267	C267_Link01	Mityana - Katakala - Naama	0.137	20200225	G	77	Good
C268	C268_Link01	Mityana - Katakala - Naama	7.471	20200225	G	71	Good
C270	C270_Link01	Mityana railway access	8.09	20200225	G	70	Fair
C271	C271_Link01	Wakitundu - Bulera - Mutetema	18.662	20200225	G	79	Good
C271	C271_Link02	Mutetema-Kyamusisi - Bukuya	22.976	20200225	G	89	Very Good
C271	C271_Link03	Kyamusisi- Kikoloto - Kitumbi Bridge (Kayindiyindi)	26.499	20200225	G	73	Good
C271	C271_Link04	Kitumbi Bridge - Bukwiri	39.386	20200225	G	23	Very Poor
C272	C272_Link01	Hoima Road/Kituuma-Kiryoka-Mutetema	20.08	20200225	G	58	Fair
C273	C273_Link01	Myanzi - Kasanda	16.86	20200225	G	79	Good
C273	C273_Link02	Kasanda - Bukuya	14.88	20200225	G	84	Good
C273	C273_Link03	Bukuya - Kiboga	29.925	20200225	G	66	Fair
C274	C274_Link01	Kasanda - Madudu	20.227	20200225	G	83	Good
C274	C274_Link02	Madudu - Kiyuya	39.462	20200225	G	74	Good
C275	C275_Link01	Mate - Kabulamuliro-Kakinga	5	20200225	G	41	Poor
C276	C276_Link01	Musozi Railway access from Kalamba	16.5	20200225	G	69	Fair
C277	C277_Link01	Kitenga -Ikula-Kanyogoga	43.59	20200225	G	75	Good
C279	C279_Link01	Kabamba/ Karama army barracks off Mubende	0.431	20200225	G	100	Very Good
C280	C280_Link01	Rwebituti-Gold Mines Spur	7.73	20200225	G	75	Good
C281	C281_Link01	Mubende-Biwanga	4.879	20200225	G	74	Good
C300	C300_Link01	Kayunga-Bale-Galiraya-Lake Kyoga	87.401	20200224	G	76	Good
C301	C301_Link01	Zirobwe -Kikyusa - Luweero	37.188	20200224	G	62	Fair
C302	C302_Link02	Zirobwe-Bamunanika	11.501	20200224	G	92	Very Good
C302	C302_Link03	Bamunanika-Wobulenzi	11.606	20200224	G	92	Very Good
C303	C303_Link01	Kalule - Bamunanika	11.055	20200224	G	80	Good
C304	C304_Link01	Kisule - Nakaseke - Kapeeka	34.106	20200224	G	65	Fair
C305	C305_Link01	Busunju - Kapeeka	15.493	20200224	G	54	Fair

C306	C306_Link01	Luwero-Kiwoko-Butalangwa	28.761	20200224	G	79	Good
C307	C307_Link01	Butalangwa - Ngoma - Bulyamusenyu	82.212	20200224	G	58	Fair
C310	C310_Link01	Kamuli - Namasagali	20.749	20200221	G	53	Fair
C311	C311_Link01	Bombo - Ndejje - Kalasa	18.41	20200224	G	50	Poor
C312	C312_Link01	Kalule - Bowa - Nakaseke	20.579	20200224	G	56	Fair
C312	C312_Link02	Nakaseke - Kiwoko	14.97	20200224	G	46	Poor
C313	C313_Link01	Katikamu - Kikyusa	16.881	20200224	G	83	Good
C315	C315_Link01	Kyankwazi - Ngoma	8	20200224	G	70	Fair
C316	C316_Link01	Ngoma-Buwana-Kinyogogga	27.15	20200224	G	37	Poor
C317	C317_Link01	Katuugo-Kinyogogga	31.905	20200224	G	60	Fair
C317	C317_Link02	Kinyogogga-Kaweweeta Barracks	8.984	20200224	G	74	Good
C318	C318_Link01	Sasira-Namika	22.082	20200222	G	80	Good
C320	C320_Link01	Kapeeka - Singo Military Barracks - Kituuma	19.513	20200222	G	72	Good
C325	C325_Link01	Kikyusa- Bamugolode - Kazwama - Nakasongola	83.131	20200222	G	85	Good
C326	C326_Link01	Nakasongola - Lwampanga - Zengebe Access	31.981	20200222	G	60	Fair
C326	C326_Link02	Lwampanga - Lwabyata - Kafu	38.09	20200222	G	86	Very Good
C326	C326_Link03	Lwabyata - Kafu	7.895	20200222	G	69	Fair
C327	C327_Link01	Ngoma-Lugogo	7.457	20200222	G	21	Very Poor
C328	C328_Link01	Kakinga-Mate-Kabulamuliro	9.015	20200222	G	61	Fair
C329	C329_Link01	Kayindu-Kalagala-Kyabakadde	27.65	20200222	G	61	Fair
C330	C330_Link01	Kakooge - Nansaka - Wabusana	29.735	20200222	G	73	Good
C331	C331_Link01	Migeera-Nabisweera	7.079	20200222	G	56	Fair
C332	C332_Link01	Kasiso-Mazzi-Kalungi	57.024	20200222	G	62	Fair
C333	C333_Link01	Kiwoko-Kalagala-Ngogolo	34.8	20200222	G	57	Fair
C334	C334_Link01	Kakinga -Kalungu - Dwaniro	32	20200222	G	45	Poor
C351	C351_Link01	Isingiro-Kityanza	22.203	20200227	G	81	Good
C351	C351_Link02	Kityanza-Nakabanga	69.108	20200225	G	76	Good
C351	C351_Link03	Nakabanga-Rakai	40.058	20200225	G	65	Fair
C352	C352_Link01	Kityaza-Burema-Bugango(Uganda/Tanzania border)	25.217	20200225	G	60	Fair
C353	C353_Link01	Nsongezi-Kyaka	13.783	20200225	G	54	Fair
C356	C356_Link02	Kazo-Buremba	29.938	20200225	G	68	Fair
C357	C357_Link01	Muzizi-Buremba	53.483	20200225	G	64	Fair
C357	C357_Link02	Buremba-Remiyaga	32.53	20200225	G	60	Fair

C358	C358_Link02	Kijuma-Rwakitura	31.257	20200225	G	72	Good
C359	C359_Link01	Rugaaga-Rushasha-Rwentaha	49.707	20200225	G	56	Fair
C359	C359_Link02	Rwentaha-Endizi	5.209	20200225	G	57	Fair
C360	C360_Link01	Ekitindo - Ngarama - Kasheshe	54.358	20200225	G	70	Fair
C361	C361_Link01	Ntantamukyi - Kamwema	16.544	20200225	G	62	Fair
C363	C363_Link01	Kabingo - Nyakitunda - Kabuyanda - Kyezi	39.36	20200225	G	59	Fair
C364	C364_Link01	Ruti - Mwizi - Kabuyanda - Kikagati	63.63	20200225	G	53	Fair
C365	C365_Link01	Nyakiraguju - Ruzinga (Bugamba) Chitwe	32.825	20200225	G	51	Fair
C365	C365_Link02	Ruzinga (Bugamba) Chitwe	19.497	20200225	G	57	Fair
C366	C366_Link01	Nyamukana-Kahambo-Kashuro	23.33	20200225	G	73	Good
C367	C367_Link01	Biharwe - Rushozi - Ruhengere - Kikatsi	49.51	20200225	G	61	Fair
C368	C368_Link01	Biharwe - Bwizibwera	22.944	20200225	G	62	Fair
C369	C369_Link01	Lubingo-Kacwangobe-Kashenshama	20.465	20200225	G	65	Fair
C370	C370_Link01	Ruhumba - Byanamira	6.301	20200225	G	61	Fair
C370	C370_Link02	Byanamira - Kashwa	25.047	20200225	G	60	Fair
C371	C371_Link01	Kashongi - Kantaganya	24.475	20200225	G	72	Good
C372	C372_Link01	Kyankanda-Bitsya	17.099	20200225	G	52	Fair
C372	C372_Link02	Bitsya-Ruhoko	24.89	20200225	G	49	Poor
C373	C373_Link01	Ruhoko - Kabujogera	14.531	20200225	G	72	Good
C373	C373_Link02	Kabujogera - Mahyoro Junction	21.03	20200225	G	62	Fair
C374	C374_Link01	Mahyoro Junction- Mahyoro landing site	4.605	20200225	G	99	Very Good
C375	C375_Link01	Ishongororo - Bisheshe	24.126	20200225	G	69	Fair
C376	C376_Link01	Kanyarigiri-Nyamarebe-Ishongororo	23.427	20200225	G	66	Fair
C377	C377_Link01	Kiburara T/c - Kiburara Prison Fram	1.487	20200225	G	66	Fair
C379	C379_Link01	Saano - Endizi Junction	10.941	20200225	G	70	Fair
C380	C380_Link01	Engarusya - Buremba	24.312	20200225	G	61	Fair
C382	C382_Link01	Ntare-Mutonto-Kacwangobe	17.736	20200225	G	69	Fair
C384	C384_Link01	Nyakayojo TC-Kibingo PTC	2.839	20200225	G	67	Fair
C385	C385_Link01	Bihanga Army Barracks Access	1.71	20200225	G	70	Fair
C386	C386_Link01	Kiyoora PTC Access	0.229	20200225	G	81	Good
C387	C387_Link01	Kyambura-Kashaka	19.055	20200225	G	62	Fair
C411	C411_Link01	Muhanga-Kisiizi-Kebisoni	59.882	20200221	G	74	Good
C413	C413_Link01	Kalengyere bypass-Katojo-Rubuguri	28.218	20200221	G	70	Fair

C414	C414_Link01	Katunguru - Ishasha	87.025	20200221	G	50	Poor
C415	C415_Link01	Kabwohe - Nyakambu Bihanga	21.129	20200225	G	67	Fair
C415	C415_Link02	Bihanga - Bwizibwera	14.057	20200225	G	66	Fair
C416	C416_Link01	Bihanga - Nsiika	13.222	20200225	G	59	Fair
C416	C416_Link02	Nsiika - Bihanga -Katerera(Ishaka T/C)	44.31	20200225	G	57	Fair
C418	C418_Link01	Kakukuru - Rubale	11.343	20200221	G	59	Fair
C419	C419_Link01	Kafunzo-Kikagati	30.111	20200225	G	60	Fair
C421	C421_Link01	Kahunga - Nyakyera-Rukoni	25.134	20200225	G	69	Fair
C422	C422_Link01	Rwentobo - Ngoma - Kizinga	18.188	20200221	G	60	Fair
C423	C423_Link01	Rutobo - Kamwezi	17.685	20200221	G	52	Fair
C424	C424_Link01	Old Kabale Road (Kigata - Kabunyonyi - N	20.068	20200221	G	67	Fair
C425	C425_Link01	Katuna - Rubaya - Muko	66.59	20200221	G	50	Poor
C426	C426_Link01	Kabale - Lake Bunyonyi	7.874	20200221	G	72	Good
C427	C427_Link01	Access to Kacwekano Agriculture Research	0.404	20200221	G	80	Good
C429	C429_Link01	Butobere - Muyumbu - Rwamucucu	18.254	20200221	G	67	Fair
C430	C430_Link01	Rwashamaire - Rwahi	37.745	20200224	G	60	Fair
C431	C431_Link01	Rubaare - Kyempene	7.88	20200224	G	51	Fair
C431	C431_Link02	Kyempene - Rubirizi	15.755	20200224	G	54	Fair
C432	C432_Link01	Kanungu - Rugyeyo - Kabaranga	30.663	20200224	G	55	Fair
C432	C432_Link02	Kabaranga - Kisiizi	6.429	20200224	G	72	Good
C433	C433_Link01	Ikumba - Kanungu	46.813	20200224	G	73	Good
C434	C434_Link01	Ikumba - Nfasha - Ruhija - Mpungu - Hama	63.56	20200224	G	51	Fair
C436	C436_Link01	Kisoro - Nyabwishenya	1.964	20200224	G	39	Poor
C436	C436_Link02	Nyabwishenya - Nteko	42.736	20200224	G	52	Fair
C438	C438_Link01	Kisoro - Nyarusiza	3.986	20200224	G	47	Poor
C438	C438_Link02	Nyarusiza - Muhabura	4.886	20200224	G	49	Poor
C439	C439_Link01	Natete - Busanza - Mpaka	18.389	20200224	G	75	Good
C440	C440_Link01	Kanyantorogo - Butogota	17.31	20200224	G	62	Fair
C440	C440_Link02	Butogota - Kyeshero-Buhom	14.115	20200224	G	79	Good
C441	C441_Link01	Katojo - Kihihi	16.961	20200224	G	55	Fair
C442	C442_Link02	Ruerere - Mitaano	21.211	20200224	G	56	Fair
C442	C442_Link03	Mitaano - Kanungu	11.933	20200224	G	54	Fair
C443	C443_Link01	Bugangari - Rwerere	10.63	20200224	G	73	Good

C444	C444_Link01	Access to Rukungiri PTTC	1.402	20200224	G	54	Fair
C445	C445_Link01	Katobo - Bugangari	9.909	20200224	G	50	Poor
C445	C445_Link02	Bugangari - Bwambara	33.754	20200224	G	66	Fair
C446	C446_Link01	Kihihi - Nyamirama - Kikongi - Burama	25.066	20200224	G	67	Fair
C447	C447_Link01	Kabwohe - Kitagata - Kabira(Mitooma)	58.486	20200224	G	63	Fair
C448	C448_Link01	Mgahinga - Ntebeko	9.365	20200224	G	31	Poor
C449	C449_Link01	Nyakabirizi-Burere-Nsiika	43.812	20200225	G	62	Fair
C450	C450_Link01	Kyambura - Katerera	18.566	20200225	G	60	Fair
C450	C450_Link02	Katerera - Buhindagye	8.864	20200225	G	61	Fair
C450	C450_Link03	Buhindagye - Mahyoro	8.269	20200225	G	57	Fair
C452	C452_Link01	Rukungiri - Station Boundary	45.043	20200224	G	67	Fair
C454	C454_Link01	Rwashameire-Kyafora-Kiyenje	18.84	20200224	G	59	Fair
C455	C455_Link01	Muhanga-Kyogo-Kamwezi	20.134	20200224	G	54	Fair
C458	C458_Link01	Kalengyere - Katojo	3.725	20200224	G	77	Good
C510	C510_Link01	Mubuku-Maliba-Nyakalingijo	15.32	20200224	G	56	Fair
C512	C512_Link01	Rugendabara - Kaswangali	24.661	20200224	G	64	Fair
C513	C513_Link01	Kinyamaseke-Kisinga	12.747	20200224	G	50	Poor
C513	C513_Link02	Kisinga-Kyarumba-Kibirizi	26.445	20200224	G	70	Fair
C514	C514_Link01	Kiburara -Kisinga	8.012	20200224	G	56	Fair
C514	C514_Link02	Kisinga-Nsenyi	2.142	20200224	G	63	Fair
C515	C515_Link01	Katojo-Mundongo-Bwera	14.656	20200224	G	63	Fair
C516	C516_Link01	Katojo-Katwe-Rwentale	38.816	20200224	G	73	Good
C516	C516_Link02	Rwentale-Lake George	16.422	20200224	G	48	Poor
C518	C518_Link01	Hima army barracks off Kasese FP- Redone	3.722	20200226	G	62	Fair
C519	C519_Link01	Nkenda - Bugoye	10.267	20200226	G	53	Fair
C520	C520_Link01	Bwera - Kithoma	5.477	20200226	G	53	Fair
C520	C520_Link02	Kithoma - Kiraro	8.016	20200226	G	48	Poor
C521	C521_Link01	Muruseghe - Ihandiro	6.827	20200226	G	39	Poor
C522	C522_Link01	Nchwera-Rwenshama	6.709	20200226	G	63	Fair
C523	C523_Link01	Chanya-Nyuyo Institute	2.869	20200226	G	35	Poor
C541	C541_Link01	Karugutu - Ntoroko	50.281	20200225	G	34	Poor
C542	C542_Link01	Fortportal - Kijura - Kabende Bridge-Sogahe-Kyarusozi	59.78	20200225	G	41	Poor
C543	C543_Link01	Bubandi - Bundibugyo Army Barracks - Butama Health Center	4.75	20200225	G	54	Fair

C544	C544_Link01	Bubandi - Kahuka -Malindi	6.971	20200225	G	23	Very Poor
C545	C545_Link01	Nyahuka - Busalu - Butoogo	12.565	20200225	G	22	Very Poor
C546	C546_Link01	Kigarama-Gweri-Harubaho	6.415	20200225	G	41	Poor
C548	C548_Link01	Rugombe-Kyarusozi-Katooke	36.378	20200225	G	38	Poor
C551	C551_Link01	Kyegegwa-Hapuyo-kibale	73.102	20200225	G	56	Fair
C552	C552_Link01	Nyakaliiro-Kabagole	10.156	20200225	G	92	Very Good
C552	C552_Link02	Kabagole-Kyegegwa	40.784	20200225	G	98	Very Good
C553	C553_Link01	Kibaale-Kyebando - Pacwa	92.536	20200225	G	47	Poor
C554	C554_Link01	Ntandi - Kicyo - Bundibugyo	19.926	20200225	G	15	Very Poor
C555	C555_Link01	Nyakigumba-Katebwa	6.477	20200225	G	31	Poor
C556	C556_Link01	Bukuku - Rubona	16.879	20200225	G	35	Poor
C558	C558_Link01	Kakara - Rwebisengo	26.152	20200225	G	46	Poor
C560	C560_Link01	Butiti PTTC Access	1.855	20200225	G	45	Poor
C561	C561_Link01	Access to Canon Apollo PTTC	5.047	20200225	G	61	Fair
C562	C562_Link01	Access to Muhooti Army Barracks	4.426	20200225	G	46	Poor
C563	C563_Link01	Muhooro-Ndaiga-L. Albert	60.504	20200225	G	32	Poor
C564	C564_Link01	Kitumba-Harubako	2.948	20200225	G	55	Fair
C564	C564_Link02	Harubako-Kasusu	2.876	20200225	G	43	Poor
C565	C565_Link01	Kyenzige-Rugashali-Mabaale	60.17	20200225	G	44	Poor
C566	C566_Link01	Isunga-Bugwara	17.306	20200225	G	27	Very Poor
C566	C566_Link02	Bugwara-Kikwaya	55.182	20200225	G	28	Very Poor
C568	C568_Link01	Kihura - Bwizi	27.714	20200225	G	50	Poor
C568	C568_Link02	Bwizi - Bisozi	19.735	20200225	G	46	Poor
C568	C568_Link03	Bisozi - Kahunge	19.567	20200225	G	43	Poor
C569	C569_Link01	Mpara - Kazinga - Bwizi	37.837	20200225	G	37	Poor
C572	C572_Link01	Rwenjaza - Kabujogera	33.454	20200225	G	61	Fair
C574	C574_Link01	Accesses to Rwimi Prisons	1.047	20200226	G	77	Good
C575	C575_Link01	Kibuku - Nyabushozi	27.71	20200225	G	42	Poor
C578	C578_Link01	Accesses to Ibuga	7.169	20200226	G	71	Good
C591	C591_Link01	Kabwoya - Kituti	41.302	20200225	G	64	Fair
C593	C593_Link01	Bugambe-Buseruka	19.172	20200225	G	51	Fair
C594	C594_Link01	Bugambe-Kidoma	27.202	20200225	G	31	Poor
C595	C595_Link01	Mairirwe-Wambabya	7.361	20200225	G	57	Fair

C597	C597_Link01	Kyehooro Link 1	0.143	20200225	G	77	Good
C597	C597_Link02	Kyehooro Link 1	0.236	20200225	G	60	Fair
C599	C599_Link01	Kaiso-Tonya	23.123	20200225	G	60	Fair
C600	C600_Link01	Katasiiha-Waki	32.735	20200225	G	42	Poor
C601	C601_Link01	Buseruka-Kigorobya	17.582	20200225	G	27	Very Poor
C602	C602_Link01	Bulera PTC Access	0.583	20200225	G	31	Poor
C603	C603_Link01	Waki 2 - Katanga - Karongo	18.116	20200225	G	39	Poor
C604	C604_Link01	Buseruka-Tonya	9.325	20200225	G	16	Very Poor
C606	C606_Link01	Rwera-Kaseeta	15.448	20200225	G	43	Poor
C607	C607_Link01	Bukwiri-Byerima-Kikuya	18.153	20200225	G	44	Poor
C608	C608_Link01	Kyenda-Banda-River Mayanja	16.324	20200225	G	44	Poor
C609	C609_Link01	Sebagoro Link	8.063	20200225	G	55	Fair
C620	C620_Link01	Bukwiri - Kyankwanzi	28.829	20200225	G	56	Fair
C621	C621_Link01	Rekunye - Masindi	35.426	20200219	G	69	Fair
C627	C627_Link01	Masoode-Nkooko	35.684	20200225	G	42	Poor
C627	C627_Link02	Nkooko-Nalweyo	34.868	20200225	G	54	Fair
C629	C629_Link01	Kyenda - Mpongo Swamp - Kisita	33.373	20200225	G	59	Fair
C630	C630_Link01	Ikooba - Ntoma	12.973	20200225	G	54	Fair
C630	C630_Link02	Ntoma - Bwijanga	34.777	20200225	G	55	Fair
C631	C631_Link01	Bwijanga - Isimba Prisons	3.187	20200225	G	64	Fair
C632	C632_Link01	Isimba-Ntoma	6.504	20200225	G	48	Poor
C635	C635_Link01	Katulikile - Mutunda - Atura / Nanda	23.301	20200219	G	47	Poor
C636	C636_Link01	Kirasa-Kamurasi-Kiwanana (Kisengya)	2.552	20200219	G	54	Fair
C637	C637_Link01	(Kisengya)	1.543	20200225	G	52	Fair
C638	C638_Link01	Ihungu - Kijunjubwa	3.449	20200225	G	67	Fair
C638	C638_Link02	Kijunjubwa - Bulyamusenyu (Kafu	37.29	20200225	G	62	Fair
C639	C639_Link01	Bukommero-Dwaniro-Kyankwanzi	68.528	20200225	G	42	Poor
C650	C650_Link01	Lira - Akia	122.268	20200222	G	84	Good
C651	C651_Link01	Agwata - Aduku	30.306	20200222	G	52	Fair
C652	C652_Link01	Agwata - Kachung	9.141	20200222	G	76	Good
C653	C653_Link01	Dokolo-Ochero	45.661	20200222	G	83	Good
C653	C653_Link02	Ochero-Namasale	42.292	20200222	G	89	Very Good
C654	C654_Link01	Kamdini-Zambia	28.852	20200222	G	100	Very Good

C654	C654_Link02	Zambia-Minakulu	17.756	20200222	G	99	Very Good
C655	C655_Link01	Bobi-Aboke-Ayer	54.222	20200222	G	87	Very Good
C656	C656_Link01	Namasale - Alemere	40.907	20200222	G	52	Fair
C656	C656_Link02	Alemere - Muntu	11.26	20200222	G	36	Poor
C657	C657_Link01	Odyek - Muntu	9.255	20200222	G	14	Very Poor
C658	C658_Link01	Aduku-Nambieso	18.065	20200222	G	59	Fair
C659	C659_Link01	Ami-Kidilani	16.38	20200222	G	86	Very Good
C660	C660_Link01	Cegere-Kidilani	14.83	20200222	G	53	Fair
C661	C661_Link01	Apac-Cegere	12.278	20200222	G	88	Very Good
C661	C661_Link02	Cegere-Teboke	14.621	20200222	G	92	Very Good
C662	C662_Link01	Aduku-Teboke-Loro	34.272	20200222	G	54	Fair
C663	C663_Link01	Loro Prisons Access	1.935	20200222	G	54	Fair
C664	C664_Link01	Atopi Prisons Access	0.648	20200224	G	83	Good
C665	C665_Link01	Loro - Anyeke	11.857	20200224	G	67	Fair
C665	C665_Link02	Anyeke-Minakulu	20.679	20200224	G	57	Fair
C666	C666_Link01	Aber-Anyeke-Ngai	36.755	20200224	G	64	Fair
C666	C666_Link02	Ngai-Abok-Otwal-Aromo	50.098	20200224	G	57	Fair
C667	C667_Link01	Agweng-Arom	18.392	20200224	G	79	Good
C667	C667_Link02	Arom-Awere	11.04	20200224	G	84	Good
C670	C670_Link01	Lira - Boroboro - Abako - Okude	59.43	20200224	G	74	Good
C670	C670_Link02	Okude - Amuria	34.046	20200225	G	53	Fair
C671	C671_Link01	Aloi - Aboko - Bata - Dokolo	42.37	20200224	G	64	Fair
C672	C672_Link01	Ogur - Apala	12.72	20200224	G	82	Good
C672	C672_Link02	Apala-Aloi	20.683	20200224	G	64	Fair
C673	C673_Link01	Ngetta-Apala	19.803	20200224	G	75	Good
C673	C673_Link02	Apala-Adwari	27.187	20200224	G	85	Good
C674	C674_Link01	Patongo-Okee Bridge	22.085	20200224	G	85	Good
C674	C674_Link02	Okee Bridge-Adwari	15.95	20200224	G	83	Good
C675	C675_Link01	Pajule - Pader	9.216	20200224	G	90	Very Good
C675	C675_Link02	Pader - Kwonkwic (Palwo)	18.135	20200224	G	84	Good
C676	C676_Link01	Pader - Kalongo	37.1	20200224	G	92	Very Good
C677	C677_Link01	Patongo - Kalongo	31.986	20200224	G	86	Very Good
C677	C677_Link02	Kalongo - Kitgum Matidi	31.009	20200224	G	90	Very Good

C677	C677_Link03	Kalongo - Kitgum Matidi	14.605	20200224	G	85	Good
C678	C678_Link01	Naamokora - Lokapel	37.201	20200224	G	80	Good
C678	C678_Link02	Lokapel - Adilang	37.26	20200224	G	81	Good
C682	C682_Link01	Gulu - Logere - Adee	57	20200227	G	72	Good
C685	C685_Link01	Katikati - Tenumu - Nwoya	34.538	20200224	G	89	Very Good
C686	C686_Link01	Lamogi - Amuru Junction	31.103	20200225	G	84	Good
C686	C686_Link02	Amuru Junction - Awee	43.976	20200225	G	30	Very Poor
C686	C686_Link03	Awee - Omee Rhino Camp	23.043	20200225	G	40	Poor
C687	C687_Link01	Packwach Railway Access	0.21	20200227	G	10	Very Poor
C688	C688_Link01	Amuru Junction - Mungula	24.652	20200227	G	56	Fair
C688	C688_Link02	Mungula - Adjumani	59.454	20200227	G	69	Fair
C689	C689_Link01	Pakele - Pabbo	59.895	20200227	G	70	Fair
C690	C690_Link01	Pabbo - Ajulu - Uyama	20.022	20200227	G	77	Good
C691	C691_Link01	Gulu Army Barracks Access	3.961	20200225	G	58	Fair
C692	C692_Link01	Gulu Railway Access	1.633	20200225	G	50	Poor
C693	C693_Link01	Atapara-Aber-Atura-Kidilani	23.087	20200225	G	73	Good
C700	C700_Link01	Atiak-Palabek	37.795	20200225	G	69	Fair
C700	C700_Link02	Palabek-Kitgum	70.241	20200225	G	78	Good
C701	C701_Link01	Kitgum-Lukung-Ngomoromo	67.331	20200227	G	55	Fair
C702	C702_Link01	Madi Opei-Agoro Hills	49.063	20200227	G	79	Good
C703	C703_Link01	Kitgum - Orom	79.113	20200227	G	63	Fair
C704	C704_Link01	Palabek - Padibe	24.86	20200227	G	53	Fair
C705	C705_Link01	Padibe - Paloga	16.832	20200227	G	60	Fair
C705	C705_Link02	Paloga - Madiopei	18.978	20200227	G	73	Good
C706	C706_Link01	Paloga-Potika	16.307	20200227	G	50	Poor
C706	C706_Link02	Potika - Lututur	12.038	20200227	G	40	Poor
C707	C707_Link01	Acholi Pii Army Baracks Access	1.342	20200225	G	62	Fair
C708	C708_Link01	Ngomoromo - Nyimur - Bibia	42.085	20200227	G	56	Fair
C709	C709_Link01	Potika - Aweno Olwiyo - Ngomoromo	37.125	20200227	G	80	Good
C710	C710_Link01	Orom - Locomo - Karenga	41.4	20200227	G	65	Fair
C711	C711_Link01	Pajimo-Army Barracks	1.264	20200225	G	42	Poor
C720	C720_Link01	Moyo - Sudan border	10.662	20200227	G	63	Fair
C721	C721_Link01	Obongi - Kulikulinga	45.546	20200227	G	39	Poor

C722	C722_Link01	Moyo - Obongi	53.037	20200221	G	64	Fair
C723	C723_Link01	Access to Adjumani Prison	3.441	20200221	G	53	Fair
C725	C725_Link01	Dzaipi - Tete	6.638	20200225	G	92	Very Good
C726	C726_Link01	Adjumani - Sinyanya Ferry landing	34.352	20200221	G	57	Fair
C727	C727_Link01	Tete - Nimule Border	14.329	20200221	G	60	Fair
C740	C740_Link01	Koboko - Yumbe	36.23	20200221	G	58	Fair
C741	C741_Link01	Wandi - Rhino camp	51.549	20200221	G	56	Fair
C742	C742_Link01	Rhino camp-Ogoko-Inde	22.638	20200221	G	51	Fair
C743	C743_Link01	Pakwach-Inde	59.771	20200221	G	68	Fair
C743	C743_Link02	Inde-Ocoko	33.019	20200221	G	45	Poor
C745	C745_Link01	Nebbi - Goli	15.141	20200221	G	56	Fair
C746	C746_Link01	Packwach - Panyimur	33.96	20200221	G	61	Fair
C747	C747_Link01	Panyimur - Paidha Via Erusi-Goli	52.029	20200221	G	61	Fair
C748	C748_Link01	Okullo - Inde	28.15	20200221	G	64	Fair
C749	C749_Link01	Eruba - Logiri	23.257	20200221	G	50	Poor
C750	C750_Link01	Arua - Muni PTTC - Eruba	5.971	20200221	G	71	Good
C751	C751_Link01	Arua - Girigiri - Ovisoni	14.61	20200221	G	50	Poor
C752	C752_Link01	Arua - Lia	15.205	20200220	G	61	Fair
C753	C753_Link01	Ragem Prisons Access	7.3	20200225	G	60	Fair
C755	C755_Link01	Owaffa - Kubala	14.557	20200220	G	62	Fair
C756	C756_Link01	Lomunga - Bidibidi - Kochi	44.148	20200220	G	44	Poor
C757	C757_Link01	Keri - Lima - Midigo - Kerila	38.536	20200224	G	51	Fair
C758	C758_Link01	Keriri - Midigo	14.013	20200224	G	44	Poor
C758	C758_Link02	Midigo - Kerwa	21.733	20200224	G	39	Poor
C759	C759_Link01	Vurra Customs - Odramacaku	34.206	20200224	G	47	Poor
C760	C760_Link01	Logiri - Bondo	16.845	20200224	G	50	Poor
C761	C761_Link01	Lodonga - Iti - Otumbari	17.651	20200224	G	50	Poor
C762	C762_Link01	Arua - Biliafe	0.098	20200224	G	51	Fair
C762	C762_Link02	Biliafe - Otrevu	36.66	20200224	G	59	Fair
C763	C763_Link01	Paidha-Zombo	68.339	20200224	G	58	Fair
C763	C763_Link02	Zombo-Vurra	14.935	20200220	G	63	Fair
C764	C764_Link01	Katrini - Nyadri	22.055	20200220	G	54	Fair
C765	C765_Link01	Packwach-Railway Access	0.274	20200220	G	36	Poor

C766	C766_Link01	Elefe - Odokibo (Iti)	9.455	20200220	G	48	Poor
C767	C767_Link01	Omugo-Kubala	6.688	20200220	G	66	Fair
C768	C768_Link01	Yuku - Lobe spur	10.228	20200220	G	24	Very Poor
C780	C780_Link01	Iganga-Kitayungwa	50.041	20200224	G	61	Fair
C780	C780_Link02	Kitayungwa-Kamuli	7.185	20200224	G	59	Fair
C781	C781_Link01	Iganga - Mayuge	20.406	20200224	G	63	Fair
C781	C781_Link02	Mayuge - Kaluuba	9.061	20200224	G	53	Fair
C781	C781_Link03	Kaluuba - Bugadde - Bwondha	29.851	20200224	G	70	Fair
C782	C782_Link02	Nankoma-Namayingo-Lumino	64.084	20200225	G	100	Very Good
C783	C783_Link01	Namayingo - Lugala	16.928	20200225	G	53	Fair
C784	C784_Link02	Kaliro-Nawaikoke-Irundu	42.209	20200224	G	59	Fair
C785	C785_Link01	Buwenge-Nakabugu	23.051	20200224	G	45	Poor
C785	C785_Link02	Nakabugu-Kaliro	24.376	20200224	G	52	Fair
C786	C786_Link01	Kaliro - Kamuli	45.284	20200224	G	53	Fair
C787	C787_Link01	Nawangasi-Busesa	11.37	20200224	G	49	Poor
C787	C787_Link02	Busesa-Nakivumbi	8.39	20200224	G	57	Fair
C788	C788_Link01	Iganga - Buniantole	15.286	20200224	G	50	Poor
C789	C789_Link01	Kamuli Railway access	5.883	20200224	G	57	Fair
C790	C790_Link01	Nawantale-Nakabila	6.532	20200224	G	57	Fair
C792	C792_Link01	Kaitabawaala - Buyala - Namagera	18.484	20200224	G	50	Poor
C792	C792_Link02	Namagera - Lubanyi	25.516	20200224	G	52	Fair
C793	C793_Link01	Mbulamuti railway access	2.157	20200224	G	47	Poor
C794	C794_Link01	Kamuli railway access	2.403	20200224	G	33	Poor
C795	C795_Link01	Namaganda railway access	8.719	20200224	G	36	Poor
C796	C796_Link01	Magamaga - Bugolooza - Namasiga - Iziru - Bugobya	7.996	20200224	G	26	Very Poor
C797	C797_Link01	Bugembe - Kakira	7.052	20200224	G	77	Good
C797	C797_Link02	Kakira - Namasiga	12.018	20200224	G	78	Good
C797	C797_Link03	Namasiga - Bulongo	19.146	20200224	G	67	Fair
C798	C798_Link01	Kakira railway access	3.519	20200224	G	71	Good
C800	C800_Link01	Bugiri - Nankoma	16.699	20200224	G	71	Good
C801	C801_Link01	Lwangosha - Lufudu	12.645	20200225	G	28	Very Poor
C802	C802_Link01	Iganga railway access	0.913	20200224	G	31	Poor
C803	C803_Link01	Idudi - Busembatya	17.93	20200224	G	54	Fair

C803	C803_Link02	Busembatya - Namakoko	32.09	20200224	G	69	Fair
C804	C804_Link01	Bugiri - Kisetaka - Nabukalu - Naigaga	19.174	20200224	G	69	Fair
C805	C805_Link01	Namalemba-Nawampandhu-Bulange	10.517	20200224	G	72	Good
C805	C805_Link02	Bulange - Kisoro	15.61	20200224	G	55	Fair
C807	C807_Link01	Busoko - Busaba	0.773	20200221	G	31	Poor
C808	C808_Link01	Kaliro railway access	1.017	20200221	G	38	Poor
C809	C809_Link01	Kaliro - Namwiwa	22.26	20200221	G	58	Fair
C810	C810_Link01	Pallisa - Kasodo - Saaka	10.418	20200221	G	60	Fair
C811	C811_Link01	Kamuli - Nabirumba	10.427	20200221	G	75	Good
C811	C811_Link02	Nabirumba - Iyingo	36.418	20200221	G	70	Fair
C812	C812_Link01	Nabirumbi- Buyende - Nkondo - Kidera	46.019	20200221	G	55	Fair
C813	C813_Link01	Namayingo - Bumeru (Namayingo - Lugala)	30.368	20200225	G	51	Fair
C815	C815_Link01	Bugobya-Mugulula-Namagera	19.356	20200221	G	59	Fair
C816	C816_Link01	Muguluka-Namagera	8.052	20200221	G	47	Poor
C817	C817_Link01	Nankoma - Kaluba	23.866	20200221	G	70	Fair
C818	C818_Link01	Namalemba-Nambale-Nawandala	12.051	20200221	G	51	Fair
C819	C819_Link01	Nambale-Nawandala	14.874	20200221	G	55	Fair
C820	C820_Link01	Namutumba-Nawansangwa	9.733	20200221	G	48	Poor
C821	C821_Link01	Namutumba-Budumba	20.889	20200221	G	43	Poor
C830	C830_Link01	Busia - Majanji	26.982	20200225	G	100	Very Good
C831	C831_Link01	Tororo - Morukatipe prison	6.523	20200225	G	52	Fair
C832	C832_Link01	Tororo-Nagongera	33.725	20200225	G	52	Fair
C832	C832_Link02	Nagongera-Busolwe	10.101	20200225	G	54	Fair
C833	C833_Link01	Nabumali junction-Busolwe	34.588	20200225	G	69	Fair
C833	C833_Link02	Busolwe-Budumba	16.046	20200225	G	51	Fair
C835	C835_Link01	Magodes-Railway Station	2.278	20200225	G	75	Good
C836	C836_Link01	Nyambogo - Iyolwa - Mulanda	18.9	20200225	G	50	Poor
C836	C836_Link02	Mulanda - Nagongera	8.675	20200225	G	57	Fair
C837	C837_Link01	Nagongera - Merikit - Kidoko	18.218	20200225	G	75	Good
C837	C837_Link02	Kidoko - Busiu - Isikhoye	15.862	20200225	G	70	Fair
C838	C838_Link01	Butiru - Molo - Kidoko	8.213	20200225	G	71	Good
C838	C838_Link02	Kidoko - Kachonga	12.273	20200225	E	73	Good
C839	C839_Link01	Doho - Namulo - Amuro	13.594	20200225	E	59	Fair

C840	C840_Link01	Malaba - Mella - Apokor	10.655	20200225	E	63	Fair
C840	C840_Link02	Apokor - Kwapa - Tuba	15.083	20200225	E	68	Fair
C841	C841_Link01	Nabaloba - Bukobe	10.9	20200225	E	30	Very Poor
C842	C842_Link01	Tororo Prisons Access	1.036	20200225	E	34	Poor
C844	C844_Link01	Rubongi - Mulanda	17.079	20200225	E	52	Fair
C844	C844_Link02	Mulanda - Nabuyoga - Bubada	14.127	20200225	E	45	Poor
C844	C844_Link03	Bubada - Busaba - Budhumba - Namutumba	5.193	20200225	E	38	Poor
C845	C845_Link01	Bubada - Budhumba Station	15.344	20200225	E	45	Poor
C846	C846_Link01	Budhumba - Busaba	11.982	20200225	E	50	Poor
C847	C847_Link01	Nagongera - Paya - Leresi	18.578	20200225	E	73	Good
C848	C848_Link01	Magale - Bumbo - Lwakhaka	13.149	20200225	E	41	Poor
C849	C849_Link01	Leresi-Bunghaji-Budaka	13.5	20200225	E	68	Fair
C850	C850_Link01	Busoko - Busaba - Nawanjofu - Hisiro	10.244	20200225	E	41	Poor
C861	C861_Link01	Nalugugu-Mutufu-Budadiri	16.245	20200225	E	57	Fair
C862	C862_Link01	Namagumba - Budadiri	18.427	20200225	E	45	Poor
C863	C863_Link01	Mbale - Nkokonjeru	21.067	20200225	E	45	Poor
C864	C864_Link01	Bugema-Busano	11.389	20200225	E	43	Poor
C865	C865_Link01	Magodes-Busumbu	1.917	20200225	E	60	Fair
C865	C865_Link02	Busumbu-Munamba	10.809	20200225	E	54	Fair
C866	C866_Link01	Munamba - Lwakhakha	4.518	20200225	E	77	Good
C867	C867_Link01	Bumbobi-Bubulo	15.402	20200225	E	100	Very Good
C867	C867_Link02	Bubulo-Bududa Circle road	28.482	20200226	G	49	Poor
C870	C870_Link01	Bubulo-Busumbu	15.69	20200226	G	91	Very Good
C870	C870_Link02	Busumbu-Munamba	9.898	20200226	G	61	Fair
C870	C870_Link03	Munamba-Magale - Nangya	23.947	20200226	G	45	Poor
C871	C871_Link01	Simu corner - Kaserem	9.801	20200226	G	36	Poor
C872	C872_Link01	Budaka - Kaderuna	12.488	20200221	G	66	Fair
C872	C872_Link02	Kaderuna - Butebo	8.77	20200221	G	69	Fair
C873	C873_Link01	Nabiganda - Kaiti	3.436	20200226	G	50	Poor
C873	C873_Link02	Kaiti - Naboa	5.864	20200219	G	44	Poor
C875	C875_Link01	Bugema army barracks Access	0.176	20200219	G	41	Poor
C876	C876_Link01	Nabiganda -Nambale - Kamoto - Malukhu	16.265	20200219	G	41	Poor
C877	C877_Link01	Kamonkoli - Kabwangasi - Nakaloke	7.792	20200221	G	50	Poor

C878	C878_Link01	Nakaloke-Kabwangasi-Butebo	28.988	20200221	G	68	Fair
C878	C878_Link02	Butebo-Kadoto	19.56	20200221	G	72	Good
C879	C879_Link01	Morita -Kanyum	12.538	20200226	G	62	Fair
C879	C879_Link02	Kanyum - Kidongole	16.819	20200226	G	70	Fair
C880	C880_Link01	Mbale-Bufumbo	16.458	20200219	G	45	Poor
C881	C881_Link01	Bugusege - Buteza	8.765	20200219	G	50	Poor
C882	C882_Link01	Korir - Sironko	13.552	20200219	G	40	Poor
C883	C883_Link01	Nalugugu - Elgon	20.083	20200219	G	44	Poor
C884	C884_Link01	Buyaga - Buluganya	12.431	20200219	G	26	Very Poor
C885	C885_Link01	Buginyanya Agriculture Research Station	5.121	20200219	G	54	Fair
C887	C887_Link01	Bulugeni - Siyiyi - Bumwambu	7.868	20200219	G	44	Poor
C887	C887_Link02	Bumwambu - Bulaago - Gimadu	6.641	20200219	G	28	Very Poor
C888	C888_Link01	Kapenguria - Kwot	10.629	20200219	G	52	Fair
C889	C889_Link01	Chepsikunya -Girik	26.246	20200219	G	43	Poor
C889	C889_Link02	Girik - Bukwa	29.559	20200219	G	25	Very Poor
C892	C892_Link01	Bulumba - Namwiwa	19.822	20200221	G	60	Fair
C892	C892_Link02	Namwiwa - Saaka	5.85	20200221	G	63	Fair
C893	C893_Link01	Kapnandi-Suam	15.818	20200219	G	33	Poor
C922	C922_Link01	Lira junction-Arapai	8.502	20200226	G	67	Fair
C926	C926_Link01	Kachumbala - Kidongole	15.431	20200221	G	52	Fair
C927	C927_Link01	Kachumbala - Korir	12.293	20200219	G	64	Fair
C927	C927_Link02	Korir - Malera - Kumi	36.241	20200219	G	54	Fair
C928	C928_Link01	Kumi railway access	0.46	20200226	G	58	Fair
C929	C929_Link02	Ongino - Akide	20.15	20200226	G	63	Fair
C930	C930_Link01	Kapir - Ngora	19.678	20200226	G	71	Good
C930	C930_Link02	Ngora - Mukongoro	23.068	20200226	G	70	Fair
C937	C937_Link01	Ngariam-Magoro	27.376	20200226	G	74	Good
C938	C938_Link01	Usuk - Katakwi	10.522	20200226	G	70	Fair
C938	C938_Link02	Katakwi - Toroma	18.849	20200226	G	69	Fair
C939	C939_Link01	Arapai-Amuria	27.813	20200226	G	46	Poor
C939	C939_Link02	Amuria-Acowa-Usuk	39.049	20200226	G	67	Fair
C940	C940_Link01	Amuria-Amucu-Kapelebyong	35.817	20200226	G	73	Good
C941	C941_Link01	Amuria (Kuju) - Obalang	34.058	20200225	G	58	Fair

C941	C941_Link02	Obalang - Alito	17.094	20200225	G	70	Fair
C944	C944_Link01	Kaberamaido - Dokolo	16.332	20200225	G	89	Very Good
C945	C945_Link01	Ngariam - Adachal - Usuku	22.155	20200226	G	78	Good
C960	C960_Link01	Angatun-Nabilatuk-Lokapel	46.817	20200226	G	70	Fair
C961	C961_Link01	Chosan to Amudat	30.731	20200226	G	77	Good
C962	C962_Link01	Girik River - Kalita	32.741	20200226	G	59	Fair
C963	C963_Link01	Moroto-Lokitanyara	28.078	20200226	G	72	Good
C963	C963_Link02	Lokitanyara-Loro-Amudat	62.855	20200226	G	73	Good
C963	C963_Link03	Amudat-Alakasi-Kalita	56.73	20200226	G	68	Fair
C964	C964_Link01	Soroti-Toroma	37.213	20200226	G	68	Fair
C964	C964_Link02	Toroma-Magoro	17.517	20200226	G	69	Fair
C964	C964_Link03	Magoro-Lorachat	9.27	20200226	G	56	Fair
C965	C965_Link01	Apeitolim - Iriri	46.325	20200226	G	71	Good
C966	C966_Link01	Turtuko - Apeitolim	37.196	20200226	G	85	Good
C967	C967_Link01	Kokeris - Lopei	17.517	20200226	G	77	Good
C968	C968_Link01	Matany - Lokopo - Turtuko	29.827	20200225	G	78	Good
C969	C969_Link02	Turtuko - Nyakwae	24.801	20200225	G	78	Good
C971	C971_Link01	Moroto - Rupa - Nakiloro - Nakabat	31.744	20200225	G	68	Fair
C973	C973_Link01	Lokopo Link	5.652	20200225	G	66	Fair
C974	C974_Link01	Lokopo Link 2	1.232	20200225	G	70	Fair
C975	C975_Link01	Tapach - Katikekile	10.567	20200225	G	72	Good
C994	C994_Link01	Okwang-Okwang Subcounty spur	3.21	20200225	G	96	Very Good
C996	C996_Link01	Kalongo - Paimol	8.828	20200225	G	92	Very Good
C997	C997_Link01	Aloi-Aleptong	10.415	20200225	G	75	Good
C998	C998_Link01	Adwari-Okwang	24.864	20200224	G	80	Good
C998	C998_Link02	Okwang-Okee River - Omwonylee	12.46	20200224	G	74	Good
C999	C999_Link01	Corner Chwagera-Ekwera	14.56	20200224	G	62	Fair